Borrower	Elinet Tailor & Jude Thezena					File No.	263-02043
Property Address	866 Lyons Ave						
City	Irvington	County	Essex	State	NJ	Zip Code	07111
Lender/Client	United Mortgage Corp.						

TABLE OF CONTENTS

Letter of Transmittal 1
Small Income 2
Additional Comparables 4-6 9
General Text Addendum 10
Area Market Analysis Report - Page 1 11
Area Market Analysis Report - Page 2 12
Operating Income Statement 13
UAD Definitions Addendum 15
Subject Photos 18
Photograph Addendum 19
Interior Photos - Unit 1 20
Interior Photos - Unit 1 21
Interior Photos - Unit 2 22
Interior Photos - Unit 2 23
Basement Photos - Unit 1 24
Basement Photos - Unit 2 25
Comparable Photos 1-3 26
Comparable Photos 4-6 27
Rentals Photos 1-3 28
Appraiser License 2025-2027 29
E & O Insurance 2025-2026 30
Property Data Sources - Page 1 31
Property Data Sources - Page 2 32
Property Data Sources - Page 3 33
Property Data Sources - Page 4 34
Plat Map 35
Building Sketch 36

ETRAV Appraisal Co., LLC
1523A Stuyvesant Ave
Union, NJ 07083

United Mortgage Corp.
401 Broadhollow Rd
Melville, NY 11747

Re: Property: 866 Lyons Ave
Irvington, NJ 07111
Borrower: Elinet Tailor & Jude Thezena
File No.: 353-0967387

In accordance with your request, we have appraised the above referenced property. The report of that appraisal is attached. This summary appraisal is intended for use by the lender and/or their successors and
assigns for a mortgage finance transaction only. This report is not intended for any other use.
The purpose of this appraisal is to estimate the market value of the property described in this appraisal report, as improved, in unencumbered fee simple title of ownership.

This report is based on a physical analysis of the site and improvements, a locational analysis of the neighborhood and city, and an economic analysis of the market for properties such as the subject. The appraisal was developed and the report was prepared in accordance with the Uniform Standards of Professional Appraisal Practice.

The value conclusions reported are as of the effective date stated in the body of the report and contingent upon the certification and limiting conditions attached. This appraisal is not to be used for any litigation purposes without the written consent of the appraiser.
It has been a pleasure to assist you. Please do not hesitate to contact me or any of my staff if we can be of additional service to you.

Sincerely,

Eugene C Travisano
42RC00150800

Small Residential Income Property Appraisal Report

File # 353-0967387
263-02043

The purpose of this summary appraisal report is to provide the lender/client with an accurate, and adequately supported, opinion of the market value of the subject property.

SUBJECT

Property Address: 866 Lyons Ave | City: Irvington | State: NJ | Zip Code: 07111

Borrower: Elinet Tailor & Jude Thezena | Owner of Public Record: Cesar Munoz | County: Essex

Legal Description: Block 341 Lot 20

Assessor's Parcel #: 1609-00341-0000-00020-0000 | Tax Year: 2025 | R.E. Taxes $: 12,332

Neighborhood Name: Irvington | Map Reference: 35084 | Census Tract: 0121.00

Occupant: [ ] Owner [X] Tenant [ ] Vacant | Special Assessments $: 0.00 | [ ] PUD | HOA $: 0.00 [ ] per year [ ] per month

Property Rights Appraised: [X] Fee Simple [ ] Leasehold [ ] Other (describe)

Assignment Type: [X] Purchase Transaction [ ] Refinance Transaction [ ] Other (describe)

Lender/Client: United Mortgage Corp. | Address: 401 Broadhollow Rd, Suite 150, Melville, NY 11747

Is the subject property currently offered for sale or has it been offered for sale in the twelve months prior to the effective date of this appraisal? [X] Yes [ ] No

Report data source(s) used, offering price(s), and date(s). The subject was listed for sale on the Garden State MLS #3917415 on 08/06/2024 for OLP $409,900.

CONTRACT

I [X] did [ ] did not analyze the contract for sale for the subject purchase transaction. Explain the results of the analysis of the contract for sale or why the analysis was not performed. The sales contract appears to be a standard contract of sale, with typical buyer/seller motivation. There are no seller concessions. No value given to personal property included in the sale. The sale is an arms length transaction.

Contract Price $: 630,000 | Date of Contract: 03/04/2026 | Is the property seller the owner of public record? [X] Yes [ ] No | Data Source(s): NJ Tax Records

Is there any financial assistance (loan charges, sale concessions, gift or downpayment assistance, etc.) to be paid by any party on behalf of the borrower? [ ] Yes [X] No

If Yes, report the total dollar amount and describe the items to be paid. None Known

NEIGHBORHOOD

Note: Race and the racial composition of the neighborhood are not appraisal factors.

Neighborhood Characteristics				2–4 Unit Housing Trends				2–4 Unit Housing			Present Land Use %	
Location	[X] Urban	[ ] Suburban	[ ] Rural	Property Values	[ ] Increasing	[X] Stable	[ ] Declining	PRICE		AGE	One-Unit	50 %
Built-Up	[X] Over 75%	[ ] 25-75%	[ ] Under 25%	Demand/Supply	[ ] Shortage	[X] In Balance	[ ] Over Supply	$ (000)		(yrs)	2-4 Unit	35 %
Growth	[ ] Rapid	[X] Stable	[ ] Slow	Marketing Time	[X] Under 3 mths	[ ] 3-6 mths	[ ] Over 6 mths	300	Low	1	Multi-Family	5 %
Neighborhood Boundaries	City line south & east, Springfield Ave north, Stuyvesant Ave west.							900	High	150	Commercial	10 %
								620	Pred.	95	Other	%

Neighborhood Description: The subject is located on a moderately busy urban street consisting of single and multi-family dwellings of various ages, size and style. Retail, commercial and apartments are typical throughout the neighborhood. These factors are considered typical to the area and do not appear to affect marketability. Neighboring homes are generally well maintained. Schools, shopping, transportation, parks and employment centers are all within close proximity. The area is readily marketable.

Market Conditions (including support for the above conclusions): At present, supply and demand are in balance with stable property values. Marketing time is typically 0-3 months for competitively priced homes. Exposure time is consistent with marketing time and developed using the same MLS data. FHA/VA and CONV financing are most common to the area. Loan discounts and financial concessions are typical.

SITE

Dimensions: 47.5x118.7x48.1x110.9 | Area: 5,487 sf | Shape: Rectangular | View: City/Residential

Specific Zoning Classification: R-2 | Zoning Description: 1 & 2 Family Residential

Zoning Compliance: [X] Legal [ ] Legal Nonconforming (Grandfathered Use) [ ] No Zoning [ ] Illegal (describe)

Is the highest and best use of subject property as improved (or as proposed per plans and specifications) the present use? [X] Yes [ ] No If No, describe

Utilities	Public	Other (describe)		Public	Other (describe)	Off-site Improvements – Type		Public	Private
Electricity	[X]	[ ]	Water	[X]	[ ]	Street	Macadam	[X]	[ ]
Gas	[X]	[ ]	Sanitary Sewer	[X]	[ ]	Alley	None	[ ]	[ ]

FEMA Special Flood Hazard Area: [ ] Yes [X] No | FEMA Flood Zone: X | FEMA Map #: 34013C0151F | FEMA Map Date: 06/04/2007

Are the utilities and/or off-site improvements typical for the market area? [X] Yes [ ] No If No, describe

Are there any adverse site conditions or external factors (easements, encroachments, environmental conditions, land uses, etc.)? [ ] Yes [X] No If Yes, describe

Although requested, neither a deed or survey were provided for the appraiser to review. Should information not made available reflect value affectations, the Certification of Value is immediately removed. Appraiser must be provided sufficient time to reconsider.

IMPROVEMENTS

General Description		Foundation		Exterior Description	materials/condition	Interior	materials/condition
Units	[X] Two [ ] Three [ ] Four	[ ] Concrete Slab	[ ] Crawl Space	Foundation Walls	Brick/Avg	Floors	Carpet/HW/Tile/Avg
[ ] Accessory Unit (describe below)		[X] Full Basement	[ ] Partial Basement	Exterior Walls	Vinyl/Avg	Walls	Sheetrock/Avg
# of Stories	2.5 # of bldgs. 1	Basement Area	1,298 sq.ft.	Roof Surface	Asph Shgle/Avg	Trim/Finish	Wood/Avg
Type	[X] Det. [ ] Att. [ ] S-Det./End Unit	Basement Finish	0 %	Gutters & Downspouts	Alum/Avg	Bath Floor	Tile/Avg
[X] Existing	[ ] Proposed [ ] Under Const.	[X] Outside Entry/Exit	[X] Sump Pump	Window Type	Double Hung/Avg	Bath Wainscot	Tile/Avg
Design (Style)	2 Family	Evidence of	[ ] Infestation	Storm Sash/Insulated	No/Yes/Avg	**Car Storage**	
Year Built	1953	[ ] Dampness	[ ] Settlement	Screens	Yes/Avg	[ ] None	
Effective Age (Yrs)	20	**Heating/Cooling**		**Amenities**		[X] Driveway	# of Cars 1
Attic	[ ] None	[X] FWA	[ ] HWBB [ ] Radiant	[ ] Fireplace(s) #	[ ] Woodstove(s) #	Driveway Surface	Asphalt
[ ] Drop Stair	[ ] Stairs	[ ] Other	Fuel Gas	[ ] Patio/Deck	[ ] Fence	[ ] Garage	# of Cars 0
[ ] Floor	[X] Scuttle	Cooling	[X] Central Air Conditioning	[ ] Pool	[ ] Porch	[ ] Carport	# of Cars 0
[ ] Finished	[ ] Heated	[ ] Individual	[ ] Other	[ ] Other		[ ] Att.	[ ] Det. [ ] Built-in

# of Appliances	Refrigerator	Range/Oven 2	Dishwasher	Disposal	Microwave	Washer/Dryer	Other (describe) 2 Hood Fan

Unit # 1 contains:	6	Rooms	3	Bedrooms	1.1	Bath(s)	1,298 Square Feet of Gross Living Area
Unit # 2 contains:	6	Rooms	3	Bedrooms	1.1	Bath(s)	1,298 Square Feet of Gross Living Area
Unit # 3 contains:		Rooms		Bedrooms		Bath(s)	Square Feet of Gross Living Area
Unit # 4 contains:		Rooms		Bedrooms		Bath(s)	Square Feet of Gross Living Area

Additional features (special energy efficient items, etc.). Utilities: The subject has 2 heating/cooling unit and 2 hot water heaters, 2 gas and electric meters and one water meter. Insulated windows.

Describe the condition of the property (including needed repairs, deterioration, renovations, remodeling, etc.). At the time of inspection the subject was found to be in C3 market condition. No major repairs were noted by or reported to the appraiser. All utilities and mechanical systems were on and operable at the time of inspection. No value placed on on non-realty items. Physical depreciation is attributed to normal wear and tear. All appliances and cabinets were tested and are in working order. The subject property conforms to applicable minimum FHA/HUD standards (Handbook 4000.1).

Form 1025 - "TOTAL" appraisal software by a la mode, inc. - 1-800-ALAMODE

Small Residential Income Property Appraisal Report

File # 353-0967387
263-02043

IMPROVEMENTS

Are there any physical deficiencies or adverse conditions that affect the livability, soundness, or structural integrity of the property? ☐ Yes ☒ No If Yes, describe.

Does the property generally conform to the neighborhood (functional utility, style, condition, use, construction, etc.)? ☒ Yes ☐ No If No, describe.

Is the property subject to rent control? ☐ Yes ☒ No If Yes, describe

COMPARABLE RENTAL DATA

The following properties represent the most current, similar, and proximate comparable rental properties to the subject property. This analysis is intended to support the opinion of the market rent for the subject property.

FEATURE	SUBJECT	COMPARABLE RENTAL # 1	COMPARABLE RENTAL # 2	COMPARABLE RENTAL # 3
Address	866 Lyons Ave Irvington, NJ 07111	134 Park Pl Irvington, NJ 07111	32 Union Pl Irvington, NJ 07111	197 Park Pl Irvington, NJ 07111
Proximity to Subject		1.58 miles NE	2.02 miles NE	0.43 miles NE
Current Monthly Rent	$ 3,800	$ 2,700	$ 5,200	$ 2,600
Rent/Gross Bldg. Area	$ 1.46 sq.ft.	$ 1.16 sq.ft.	$ 2.21 sq.ft.	$ 1.13 sq.ft.
Rent Control	☐ Yes ☒ No	☐ Yes ☒ No	☐ Yes ☒ No	☐ Yes ☒ No
Data Source(s)	Inspection	GSMLS#3993142	GSMLS#3963473	GSMLS#4011783
Date of Lease(s)	Mo/Mo	01/26-01/27	Mo/Mo	Mo/Mo
Location	City/Res/Busy/Com	City/Residential	City/Residential	City/Residential
Actual Age	73	113	73	105
Condition	C3	C3	C3	C3
Gross Building Area	2,596	2,328	2,350	2,310

Unit Breakdown	Rm Count Tot	Rm Count Br	Rm Count Ba	Size Sq. Ft.	Rm Count Tot	Rm Count Br	Rm Count Ba	Size Sq. Ft.	Monthly Rent	Rm Count Tot	Rm Count Br	Rm Count Ba	Size Sq. Ft.	Monthly Rent	Rm Count Tot	Rm Count Br	Rm Count Ba	Size Sq. Ft.	Monthly Rent
				2,596				2,328	2,700				2,350	5,200				2,310	2,600
Unit # 1	6	3	1.1	1,298	7	3	2	1,184	$ 2,700	6	3	1	1,175	$ 2,600	5	3	1	1,540	$ 0
Unit # 2	6	3	1.1	1,298	6	3	1	1,144	$ 0	6	3	1	1,175	$ 2,600	5	3	1	770	$ 2,600
Unit # 3									$					$					$
Unit # 4									$					$					$

Utilities Included			
	Water & Sewer	Water & Sewer	Water & Sewer	Water & Sewer
		Heat & Hot Water		

Analysis of rental data and support for estimated market rents for the individual subject units reported below (including the adequacy of the comparables, rental concessions, etc.) All three comparable rental listings are the most recent rentals of similiar competitive units in the subject market area. Rental concessions are not common in the area as the demand for apartments is more or less in balance with the supply.

SUBJECT RENT SCHEDULE

Rent Schedule: The appraiser must reconcile the applicable indicated monthly market rents to provide an opinion of the market rent for each unit in the subject property.

Leases			Actual Rents			Opinion of Market Rent		
	Lease Date		Per Unit		Total	Per Unit		Total
Unit #	Begin Date	End Date	Unfurnished	Furnished	Rents	Unfurnished	Furnished	Rents
1	Mo/Mo	Mo/Mo	$ 1,900	$	$ 1,900	$ 2,650	$	$ 2,650
2	Mo/Mo	Mo/Mo	1,900		1,900	2,650		2,650
3								
4								

Comment on lease data					
No leases available.	Total Actual Monthly Rent	$ 3,800	Total Gross Monthly Rent	$ 5,300
Rental information received from MLS Data.	Other Monthly Income (itemize)	$ 0	Other Monthly Income (itemize)	$ 0
	Total Actual Monthly Income	$ 3,800	Total Estimated Monthly Income	$ 5,300

Utilities included in estimated rents ☐ Electric ☒ Water ☒ Sewer ☐ Gas ☐ Oil ☒ Trash collection ☐ Cable ☐ Other

Comments on actual or estimated rents and other monthly income (including personal property) Estimated rents are based on Comparable Rental Data derived from the subject market. Estimated rents used in the Sales Comparison Approach for the subject and comparable sales were taken from the same market research.

PRIOR SALE HISTORY

I ☒ did ☐ did not research the sale or transfer history of the subject property and comparable sales. If not, explain

My research ☐ did ☒ did not reveal any prior sales or transfers of the subject property for the three years prior to the effective date of this appraisal.

Data Source(s) GSMLS/njactb.org

My research ☐ did ☒ did not reveal any prior sales or transfers of the comparable sales for the year prior to the date of sale of the comparable sale.

Data Source(s) GSMLS/njactb.org

Report the results of the research and analysis of the prior sale or transfer history of the subject property and comparable sales (report additional prior sales on page 3).

ITEM	SUBJECT	COMPARABLE SALE # 1	COMPARABLE SALE # 2	COMPARABLE SALE # 3
Date of Prior Sale/Transfer				
Price of Prior Sale/Transfer				
Data Source(s)	GSMLS/njactb.org	GSMLS/njactb.org	GSMLS/njactb.org	GSMLS/njactb.org
Effective Date of Data Source(s)	03/27/2026	03/27/2026	03/27/2026	03/27/2026

Analysis of prior sale or transfer history of the subject property and comparable sales No sales of the subject within 3 years or comparables within 1 year unless noted above.

Form 1025 - "TOTAL" appraisal software by a la mode, inc. - 1-800-ALAMODE

Small Residential Income Property Appraisal Report

File # 353-0967387
263-02043

There are 5 comparable properties currently offered for sale in the subject neighborhood ranging in price from $ 620,000 to $ 685,000

There are 12 comparable sales in the subject neighborhood within the past twelve months ranging in sale price from $ 620,000 to $ 685,000

SALES COMPARISON APPROACH

FEATURE	SUBJECT	COMPARABLE SALE # 1		COMPARABLE SALE # 2		COMPARABLE SALE # 3	
Address	866 Lyons Ave Irvington, NJ 07111	777 Stuyvesant Ave Irvington, NJ 07111		67 Kuna Ter Irvington, NJ 07111		32 Union Pl Irvington, NJ 07111	
Proximity to Subject		0.96 miles NE		0.06 miles NW		0.36 miles W	
Sale Price	$ 630,000		$ 620,000		$ 670,000		$ 685,000
Sale Price/Gross Bldg. Area	$ 243.00 sq.ft.	$ 230.23 sq.ft.		$ 292.83 sq.ft.		$ 291.49 sq.ft.	
Gross Monthly Rent	$ 5,300	$ 5,300		$ 5,500		$ 5,600	
Gross Rent Multiplier	118.87	116.98		121.82		122.32	
Price per Unit	$ 315,000	$ 310,000		$ 335,000		$ 342,500	
Price per Room	$ 52,500	$ 41,333		$ 55,833		$ 57,083	
Price per Bedroom	$ 105,000	$ 124,000		$ 111,667		$ 114,167	
Rent Control	☐ Yes ☒ No	☐ Yes ☒ No		☐ Yes ☒ No		☐ Yes ☒ No	
Data Source(s)		GSMLS# 3996347 DOM 28		GSMLS# 3986598 DOM 61		GSMLS# 3963473 DOM 181	
Verification Source(s)		GSMLS/njactb.org		GSMLS/njactb.org		GSMLS/njactb.org	
VALUE ADJUSTMENTS	DESCRIPTION	DESCRIPTION	+(–) Adjustment	DESCRIPTION	+(–) Adjustment	DESCRIPTION	+(–) Adjustment
Sale or Financing		FHA		FHA		Conventional	
Concessions		None Known		None Known		None Known	
Date of Sale/Time		03/25/2026	0	01/16/2026	0	11/10/2025	0
Location	City/Res/Busy/Com	City/Res/Busy/Com		City/Residential	-20,000	City/Residential	-20,000
Leasehold/Fee Simple	Fee Simple	Fee Simple		Fee Simple		Fee Simple	
Site	5,487 sf	2,700 sf	0	3,300 sf	0	2,870 sf	0
View	City/Residential	City/Residential		City/Residential		City/Residential	
Design (Style)	2 Family	2 Family		2 Family		2 Family	
Quality of Construction	Q4	Q4		Q4		Q4	
Actual Age	73	73		100	0	73	
Condition	C3	C3		C3		C3	
Gross Building Area	2,596	2,693		2,288	+12,320	2,350	+9,840
Unit Breakdown	Total / Bdrms / Baths	Total / Bdrms / Baths		Total / Bdrms / Baths		Total / Bdrms / Baths	
Unit # 1	6 / 3 / 1.1	6 / 2 / 1	+2,000	5 / 3 / 1	+2,000	6 / 3 / 1	+2,000
Unit # 2	6 / 3 / 1.1	9 / 3 / 1	+2,000	7 / 3 / 1	+2,000	6 / 3 / 1	+2,000
Unit # 3							
Unit # 4							
Basement Description	1,298 Sq.Ft.	Full Bsmt		Full Bsmt		Partial Bsmt	0
Basement Finished Rooms	Unfinished	Unfinished		2 Rms/Bath	-6,000	2 Rms/Bath	-6,000
Functional Utility	Adequate	Adequate		Adequate		Adequate	
Heating/Cooling	2-FA/CAC	1-Stm/None	+7,500	2-Stm/None	+5,000	2-HW/None	+5,000
Energy Efficient Items	Insul Windows	Insul Windows		Insul Windows		Insul Windows	
Parking On/Off Site	Driveway	Driveway		2 Car Garage	-10,000	2 Car Garage	-10,000
Porch/Patio/Deck	None	Deck/Porch	-4,000	None		Patio	-2,000
Net Adjustment (Total)		☒ + ☐ –	$ 7,500	☐ + ☒ –	$ -14,680	☐ + ☒ –	$ -19,160
Adjusted Sale Price of Comparables		Net Adj. 1.2 % Gross Adj. 2.5 %	$ 627,500	Net Adj. 2.2 % Gross Adj. 8.6 %	$ 655,320	Net Adj. 2.8 % Gross Adj. 8.3 %	$ 665,840
Adjusted Price Per Unit (Adj. SP Comp / # of Comp Units)		$ 313,750		$ 327,660		$ 332,920	
Adjusted Price Per Room (Adj. SP Comp / # of Comp Rooms)		$ 41,833		$ 54,610		$ 55,487	
Adjusted Price Per Bedrm (Adj. SP Comp / # of Comp Bedrooms)		$ 125,500		$ 109,220		$ 110,973	

Value per Unit $ 315,000 X 2 Units = $ 630,000 Value per GBA $ 243.00 X 2,596 GBA = $ 630,828

Value per Rm. $ 52,500 X 12 Rooms = $ 630,000 Value per Bdrms. $ 109,220 X 6 Bdrms. = $ 655,320

Summary of Sales Comparison Approach including reconciliation of the above indicators of value.

All comparable sales are 2 family dwellings, adjusted accordingly for their differences in amenities and are considered to be sufficiently similiar to measure the value of the subject. GLA was obtained from the Municipal Tax Assessor or estimated based upon an exterior inspection when not available and adj at $40.00 psf (min 100 sf). BR/Room adj. included with the GLA adj. Bathroom adj. top line. No site adj. as all lots provide adequate enjoyment for the area. No age adj as all comps are considered to have similiar effective age. Due to the limited number of comparables available, the appraiser was forced to use some sales that have closed in excess of 90 days. All comparables are from similiar competing neighborhoods within the subject market area. Although all sales were considered in the estimate of value, additional weight was given to Sale 1 because of it's lowest gross adjustment.

Indicated Value by Sales Comparison Approach $ 630,000

INCOME

Total gross monthly rent $ 5,300 X gross rent multiplier (GRM) 119.00 = $ 630,700 Indicated value by the Income Approach

Comments on income approach including reconciliation of the GRM N/A

RECONCILIATION

Indicated Value by: **Sales Comparison Approach $** 630,000 **Income Approach $** 630,700 **Cost Approach (if developed) $** 635,123

The Market Data Approach reflects direct buyer/seller activity and was the only Approach considered. The Income Approach was not utilized as two family properties do not typically sell for income potential. The Cost Approach was not utilized because of the subjective nature of estimating depreciation for owner occupied two family dwellings.

This appraisal is made ☒ "as is", ☐ subject to completion per plans and specifications on the basis of a hypothetical condition that the improvements have been completed, ☐ subject to the following repairs or alterations on the basis of a hypothetical condition that the repairs or alterations have been completed, or ☐ subject to the following required inspection based on the extraordinary assumption that the condition or deficiency does not require alteration or repair: No conditions placed upon this appraisal report.

Based on a complete visual inspection of the interior and exterior areas of the subject property, defined scope of work, statement of assumptions and limiting conditions, and appraiser's certification, my (our) opinion of the market value, as defined, of the real property that is the subject of this report is $ 630,000 **, as of** 03/27/2026 **, which is the date of inspection and the effective date of this appraisal.**

Form 1025 - "TOTAL" appraisal software by a la mode, inc. - 1-800-ALAMODE

Small Residential Income Property Appraisal Report

File # 353-0967387
263-02043

ADDITIONAL COMMENTS

Scope of Work:
This report is not a home inspection. The appraiser only performed a visual inspection of accessible areas and this report cannot be relied upon to disclose conditions and/or defects in the property. Because a borrower or third party may receive a copy of this appraisal report, it does not mean either is an Intended User as that term is defined in this form.

Intended User/intended User Statement.
The intended use of this appraisal report is solely to assist FHA in assessing the risk of the Property securing the FHA- insured Mortgage, subject to the stated Scope of Work, purpose of the appraisal, reporting requirements of this appraisal report report form, and the Definition of Market Value. The Intended User of this appraisal report is the Lender/Client. The intended users of the appraisal report are the lender/client and HUD / FHA. No additional intended users are identified by the appraiser.

USPAP 3 year Disclosure:
I have not performed services, as an appraiser or in any other capacity, regarding the property that is the subject of this report, within the three year period immediately preceeding acceptance of this assignment.

Exposure Time:
Opinion of reasonable Exposure Time (0-90 days).

FHA Appraisals:
FHA appraisals are no guarantee that the property is free from defects. The appraisal only establishes the value of the property for mortgage insurance purposes. Buyers need to secure their own home inspections through the services of a qualified inspector and satisfy themselves about the condition of the property.

Cost Approach:
The cost approach has only been developed by the appraiser as an analysis to support their opinion of the property's market value. Use of this data, in whole or part, for other purposes is not intended by the appraiser. Nothing set forth in the appraisal should be relied upon for the purpose of determining the amount or type of insurance coverage to be placed upon the subject property. The appraiser assumes no liability for and does not guarantee that any insurable value estimate inferred from this report will result in the subject property being fully insured for any loss that may be sustained. Further, the cost approach may may not be a reliable indication of replacement or reproduction cost for any date other than the effective date of this appraisal due to changing costs of labor and materials and due to changing building codes and government regulations and requirements.

Fastapp Appraisal Management Company has agreed to compensate ETRAV Appraisal Co., LLC $550.
Fastapp Appraisal Management Company registration number #42AC00012300

COST APPROACH

COST APPROACH TO VALUE (not required by Fannie Mae)

Provide adequate information for the lender/client to replicate the below cost figures and calculations.

Support for the opinion of site value (summary of comparable land sales or other methods for estimating site value): Due to the lack of vacant land sales available to produce a credible site value, the appraiser relied upon the Extraction Method using effective age and remaining economic life estimates to calculate the depreciated value of the improvements, then subtracting the depreciated value of the improvements from the sales price to produce a viable land value.

ESTIMATED ☐ REPRODUCTION OR ☒ REPLACEMENT COST NEW

Source of cost data: Marshall & Swift Residental Cost Handbook

Quality rating from cost service: Avg — Effective date of cost data: 12/2025

Comments on Cost Approach (gross building area calculations, depreciation, etc.)
The Marshall & Swift Residential Cost Handbook was used as a guide in the selection of the Cost Approach factors. See attached Sketch Addendum for square foot calculations. The high land to value ratio is typical of the area. The subject property conforms to applicable minimum FHA/HUD property requirements (Handbook 4000.1).

OPINION OF SITE VALUE				=$ 200,000
DWELLING	2,596 Sq.Ft. @ $	136.42		=$ 354,146
Basement	1,298 Sq.Ft. @ $	68.48		=$ 88,887
				=$
Garage/Carport	Sq.Ft. @ $			=$
Total Estimate of Cost-New				=$ 443,033
Less	Physical	Functional	External	
Depreciation	132,910			=$(132,910)
Depreciated Cost of Improvements				=$ 310,123
"As-is" Value of Site Improvements				=$ 125,000
INDICATED VALUE BY COST APPROACH				=$ 635,123

Estimated Remaining Economic Life (HUD and VA only): 40 Years

PUD INFORMATION

PROJECT INFORMATION FOR PUDs (if applicable)

Is the developer/builder in control of the Homeowners' Association (HOA)? ☐ Yes ☐ No Unit type(s) ☐ Detached ☐ Attached

Provide the following information for PUDs ONLY if the developer/builder is in control of the HOA and the subject property is an attached dwelling unit.

Legal Name of Project

Total number of phases | Total number of units | Total number of units sold

Total number of units rented | Total number of units for sale | Data source(s)

Was the project created by the conversion of existing building(s) into a PUD? ☐ Yes ☐ No If Yes, date of conversion.

Does the project contain any multi-dwelling units? ☐ Yes ☐ No Data Source

Are the units, common elements, and recreation facilities complete? ☐ Yes ☐ No If No, describe the status of completion.

Are the common elements leased to or by the Homeowners' Association? ☐ Yes ☐ No If Yes, describe the rental terms and options.

Describe common elements and recreational facilities.

Form 1025 - "TOTAL" appraisal software by a la mode, inc. - 1-800-ALAMODE

Small Residential Income Property Appraisal Report

File # 353-0967387
263-02043

This report form is designed to report an appraisal of a two- to four-unit property, including a two- to four-unit property in a planned unit development (PUD). A two- to four-unit property located in either a condominium or cooperative project requires the appraiser to inspect the project and complete the project information section of the Individual Condominium Unit Appraisal Report or the Individual Cooperative Interest Appraisal Report and attach it as an addendum to this report.

This appraisal report is subject to the following scope of work, intended use, intended user, definition of market value, statement of assumptions and limiting conditions, and certifications. Modifications, additions, or deletions to the intended use, intended user, definition of market value, or assumptions and limiting conditions are not permitted. The appraiser may expand the scope of work to include any additional research or analysis necessary based on the complexity of this appraisal assignment. Modifications or deletions to the certifications are also not permitted. However, additional certifications that do not constitute material alterations to this appraisal report, such as those required by law or those related to the appraiser's continuing education or membership in an appraisal organization, are permitted.

SCOPE OF WORK: The scope of work for this appraisal is defined by the complexity of this appraisal assignment and the reporting requirements of this appraisal report form, including the following definition of market value, statement of assumptions and limiting conditions, and certifications. The appraiser must, at a minimum: (1) perform a complete visual inspection of the interior and exterior areas of the subject property, (2) inspect the neighborhood, (3) inspect each of the comparable sales from at least the street, (4) research, verify, and analyze data from reliable public and/or private sources, and (5) report his or her analysis, opinions, and conclusions in this appraisal report.

INTENDED USE: The intended use of this appraisal report is for the lender/client to evaluate the property that is the subject of this appraisal for a mortgage finance transaction.

INTENDED USER: The intended user of this appraisal report is the lender/client.

DEFINITION OF MARKET VALUE: The most probable price which a property should bring in a competitive and open market under all conditions requisite to a fair sale, the buyer and seller, each acting prudently, knowledgeably and assuming the price is not affected by undue stimulus. Implicit in this definition is the consummation of a sale as of a specified date and the passing of title from seller to buyer under conditions whereby: (1) buyer and seller are typically motivated; (2) both parties are well informed or well advised, and each acting in what he or she considers his or her own best interest; (3) a reasonable time is allowed for exposure in the open market; (4) payment is made in terms of cash in U. S. dollars or in terms of financial arrangements comparable thereto; and (5) the price represents the normal consideration for the property sold unaffected by special or creative financing or sales concessions* granted by anyone associated with the sale.

*Adjustments to the comparables must be made for special or creative financing or sales concessions. No adjustments are necessary for those costs which are normally paid by sellers as a result of tradition or law in a market area; these costs are readily identifiable since the seller pays these costs in virtually all sales transactions. Special or creative financing adjustments can be made to the comparable property by comparisons to financing terms offered by a third party institutional lender that is not already involved in the property or transaction. Any adjustment should not be calculated on a mechanical dollar for dollar cost of the financing or concession but the dollar amount of any adjustment should approximate the market's reaction to the financing or concessions based on the appraiser's judgment.

STATEMENT OF ASSUMPTIONS AND LIMITING CONDITIONS: The appraiser's certification in this report is subject to the following assumptions and limiting conditions:

1. The appraiser will not be responsible for matters of a legal nature that affect either the property being appraised or the title to it, except for information that he or she became aware of during the research involved in performing this appraisal. The appraiser assumes that the title is good and marketable and will not render any opinions about the title.

2. The appraiser has provided a sketch in this appraisal report to show the approximate dimensions of the improvements, including each of the units. The sketch is included only to assist the reader in visualizing the property and understanding the appraiser's determination of its size.

3. The appraiser has examined the available flood maps that are provided by the Federal Emergency Management Agency (or other data sources) and has noted in this appraisal report whether any portion of the subject site is located in an identified Special Flood Hazard Area. Because the appraiser is not a surveyor, he or she makes no guarantees, express or implied, regarding this determination.

4. The appraiser will not give testimony or appear in court because he or she made an appraisal of the property in question, unless specific arrangements to do so have been made beforehand, or as otherwise required by law.

5. The appraiser has noted in this appraisal report any adverse conditions (such as needed repairs, deterioration, the presence of hazardous wastes, toxic substances, etc.) observed during the inspection of the subject property or that he or she became aware of during the research involved in performing this appraisal. Unless otherwise stated in this appraisal report, the appraiser has no knowledge of any hidden or unapparent physical deficiencies or adverse conditions of the property (such as, but not limited to, needed repairs, deterioration, the presence of hazardous wastes, toxic substances, adverse environmental conditions, etc.) that would make the property less valuable, and has assumed that there are no such conditions and makes no guarantees or warranties, express or implied. The appraiser will not be responsible for any such conditions that do exist or for any engineering or testing that might be required to discover whether such conditions exist. Because the appraiser is not an expert in the field of environmental hazards, this appraisal report must not be considered as an environmental assessment of the property.

6. The appraiser has based his or her appraisal report and valuation conclusion for an appraisal that is subject to satisfactory completion, repairs, or alterations on the assumption that the completion, repairs, or alterations of the subject property will be performed in a professional manner.

Form 1025 - "TOTAL" appraisal software by a la mode, inc. - 1-800-ALAMODE

Small Residential Income Property Appraisal Report

File # 353-0967387
263-02043

APPRAISER'S CERTIFICATION: The Appraiser certifies and agrees that:

1. I have, at a minimum, developed and reported this appraisal in accordance with the scope of work requirements stated in this appraisal report.

2. I performed a complete visual inspection of the interior and exterior areas of the subject property, including all units. I reported the condition of the improvements in factual, specific terms. I identified and reported the physical deficiencies that could affect the livability, soundness, or structural integrity of the property.

3. I performed this appraisal in accordance with the requirements of the Uniform Standards of Professional Appraisal Practice that were adopted and promulgated by the Appraisal Standards Board of The Appraisal Foundation and that were in place at the time this appraisal report was prepared.

4. I developed my opinion of the market value of the real property that is the subject of this report based on the sales comparison and income approaches to value. I have adequate market data to develop reliable sales comparison and income approaches to value for this appraisal assignment. I further certify that I considered the cost approach to value but did not develop it, unless otherwise indicated in this report.

5. I researched, verified, analyzed, and reported on any current agreement for sale for the subject property, any offering for sale of the subject property in the twelve months prior to the effective date of this appraisal, and the prior sales of the subject property for a minimum of three years prior to the effective date of this appraisal, unless otherwise indicated in this report.

6. I researched, verified, analyzed, and reported on the prior sales of the comparable sales for a minimum of one year prior to the date of sale of the comparable sale, unless otherwise indicated in this report.

7. I selected and used comparable sales that are locationally, physically, and functionally the most similar to the subject property.

8. I have not used comparable sales that were the result of combining a land sale with the contract purchase price of a home that has been built or will be built on the land.

9. I have reported adjustments to the comparable sales that reflect the market's reaction to the differences between the subject property and the comparable sales.

10. I verified, from a disinterested source, all information in this report that was provided by parties who have a financial interest in the sale or financing of the subject property.

11. I have knowledge and experience in appraising this type of property in this market area.

12. I am aware of, and have access to, the necessary and appropriate public and private data sources, such as multiple listing services, tax assessment records, public land records and other such data sources for the area in which the property is located.

13. I obtained the information, estimates, and opinions furnished by other parties and expressed in this appraisal report from reliable sources that I believe to be true and correct.

14. I have taken into consideration the factors that have an impact on value with respect to the subject neighborhood, subject property, and the proximity of the subject property to adverse influences in the development of my opinion of market value. I have noted in this appraisal report any adverse conditions (such as, but not limited to, needed repairs, deterioration, the presence of hazardous wastes, toxic substances, adverse environmental conditions, etc.) observed during the inspection of the subject property or that I became aware of during the research involved in performing this appraisal. I have considered these adverse conditions in my analysis of the property value, and have reported on the effect of the conditions on the value and marketability of the subject property.

15. I have not knowingly withheld any significant information from this appraisal report and, to the best of my knowledge, all statements and information in this appraisal report are true and correct.

16. I stated in this appraisal report my own personal, unbiased, and professional analysis, opinions, and conclusions, which are subject only to the assumptions and limiting conditions in this appraisal report.

17. I have no present or prospective interest in the property that is the subject of this report, and I have no present or prospective personal interest or bias with respect to the participants in the transaction. I did not base, either partially or completely, my analysis and/or opinion of market value in this appraisal report on the race, color, religion, sex, age, marital status, handicap, familial status, or national origin of either the prospective owners or occupants of the subject property or of the present owners or occupants of the properties in the vicinity of the subject property or on any other basis prohibited by law.

18. My employment and/or compensation for performing this appraisal or any future or anticipated appraisals was not conditioned on any agreement or understanding, written or otherwise, that I would report (or present analysis supporting) a predetermined specific value, a predetermined minimum value, a range or direction in value, a value that favors the cause of any party, or the attainment of a specific result or occurrence of a specific subsequent event (such as approval of a pending mortgage loan application).

19. I personally prepared all conclusions and opinions about the real estate that were set forth in this appraisal report. If I relied on significant real property appraisal assistance from any individual or individuals in the performance of this appraisal or the preparation of this appraisal report, I have named such individual(s) and disclosed the specific tasks performed in this appraisal report. I certify that any individual so named is qualified to perform the tasks. I have not authorized anyone to make a change to any item in this appraisal report; therefore, any change made to this appraisal is unauthorized and I will take no responsibility for it.

20. I identified the lender/client in this appraisal report who is the individual, organization, or agent for the organization that ordered and will receive this appraisal report.

Form 1025 - "TOTAL" appraisal software by a la mode, inc. - 1-800-ALAMODE

Small Residential Income Property Appraisal Report

File # 353-0967387
263-02043

21. The lender/client may disclose or distribute this appraisal report to: the borrower; another lender at the request of the borrower; the mortgagee or its successors and assigns; mortgage insurers; government sponsored enterprises; other secondary market participants; data collection or reporting services; professional appraisal organizations; any department, agency, or instrumentality of the United States; and any state, the District of Columbia, or other jurisdictions; without having to obtain the appraiser's or supervisory appraiser's (if applicable) consent. Such consent must be obtained before this appraisal report may be disclosed or distributed to any other party (including, but not limited to, the public through advertising, public relations, news, sales, or other media).

22. I am aware that any disclosure or distribution of this appraisal report by me or the lender/client may be subject to certain laws and regulations. Further, I am also subject to the provisions of the Uniform Standards of Professional Appraisal Practice that pertain to disclosure or distribution by me.

23. The borrower, another lender at the request of the borrower, the mortgagee or its successors and assigns, mortgage insurers, government sponsored enterprises, and other secondary market participants may rely on this appraisal report as part of any mortgage finance transaction that involves any one or more of these parties.

24. If this appraisal report was transmitted as an "electronic record" containing my "electronic signature," as those terms are defined in applicable federal and/or state laws (excluding audio and video recordings), or a facsimile transmission of this appraisal report containing a copy or representation of my signature, the appraisal report shall be as effective, enforceable and valid as if a paper version of this appraisal report were delivered containing my original hand written signature.

25. Any intentional or negligent misrepresentation(s) contained in this appraisal report may result in civil liability and/or criminal penalties including, but not limited to, fine or imprisonment or both under the provisions of Title 18, United States Code, Section 1001, et seq., or similar state laws.

SUPERVISORY APPRAISER'S CERTIFICATION: The Supervisory Appraiser certifies and agrees that:

1. I directly supervised the appraiser for this appraisal assignment, have read the appraisal report, and agree with the appraiser's analysis, opinions, statements, conclusions, and the appraiser's certification.

2. I accept full responsibility for the contents of this appraisal report including, but not limited to, the appraiser's analysis, opinions, statements, conclusions, and the appraiser's certification.

3. The appraiser identified in this appraisal report is either a sub-contractor or an employee of the supervisory appraiser (or the appraisal firm), is qualified to perform this appraisal, and is acceptable to perform this appraisal under the applicable state law.

4. This appraisal report complies with the Uniform Standards of Professional Appraisal Practice that were adopted and promulgated by the Appraisal Standards Board of The Appraisal Foundation and that were in place at the time this appraisal report was prepared.

5. If this appraisal report was transmitted as an "electronic record" containing my "electronic signature," as those terms are defined in applicable federal and/or state laws (excluding audio and video recordings), or a facsimile transmission of this appraisal report containing a copy or representation of my signature, the appraisal report shall be as effective, enforceable and valid as if a paper version of this appraisal report were delivered containing my original hand written signature.

APPRAISER

Original Digital Signature

Signature

Name: Eugene C Travisano
Company Name: ETRAV Appraisal Co., LLC
Company Address: 1523A Stuyvesant Ave, Union, NJ 07083

Telephone Number: (908) 688-4220
Email Address: etravappraisal@gmail.com
Date of Signature and Report: 03/30/2026
Effective Date of Appraisal: 03/27/2026
State Certification #: 42RC00150800
or State License #:
or Other (describe): State #:
State: NJ
Expiration Date of Certification or License: 12/31/2027

SUPERVISORY APPRAISER (ONLY IF REQUIRED)

Signature
Name
Company Name
Company Address

Telephone Number
Email Address
Date of Signature
State Certification #
or State License #
State
Expiration Date of Certification or License

ADDRESS OF PROPERTY APPRAISED

866 Lyons Ave
Irvington, NJ 07111

APPRAISED VALUE OF SUBJECT PROPERTY $ 630,000

LENDER/CLIENT

Name: Appraisal Links, Inc
Company Name: United Mortgage Corp.
Company Address: 401 Broadhollow Rd, Suite 150, Melville, NY 11747

Email Address

SUBJECT PROPERTY

- [ ] Did not inspect subject property
- [ ] Did inspect exterior of subject property from street
  Date of Inspection
- [ ] Did inspect interior and exterior of subject property
  Date of Inspection

COMPARABLE SALES

- [ ] Did not inspect exterior of comparable sales from street
- [ ] Did inspect exterior of comparable sales from street
  Date of Inspection

Form 1025 - "TOTAL" appraisal software by a la mode, inc. - 1-800-ALAMODE

Small Residential Income Property Appraisal Report

File # 353-0967387
263-02043

SALES COMPARISON APPROACH

FEATURE	SUBJECT	COMPARABLE SALE # 4		COMPARABLE SALE # 5		COMPARABLE SALE # 6	
Address	866 Lyons Ave Irvington, NJ 07111	166 Maple Ave Irvington, NJ 07111					
Proximity to Subject		2.02 miles NE					
Sale Price	$ 630,000		$ 650,000		$		$
Sale Price/Gross Bldg. Area	$ 243.00 sq.ft.	$ 245.38 sq.ft.		$ sq.ft.		$ sq.ft.	
Gross Monthly Rent	$ 5,300	$ 5,300		$		$	
Gross Rent Multiplier	118.87	122.64					
Price per Unit	$ 315,000	$ 325,000		$		$	
Price per Room	$ 52,500	$ 46,429		$		$	
Price per Bedroom	$ 105,000	$ 72,222		$		$	
Rent Control	☐ Yes ☒ No	☐ Yes ☒ No		☐ Yes ☐ No		☐ Yes ☐ No	
Data Source(s)		GSMLS# 4015046 DOM 11					
Verification Source(s)		GSMLS/njactb.org					
VALUE ADJUSTMENTS	DESCRIPTION	DESCRIPTION	+(–) Adjustment	DESCRIPTION	+(–) Adjustment	DESCRIPTION	+(–) Adjustment
Sale or Financing Concessions		N/A					
Date of Sale/Time		Active Listing	0				
Location	City/Res/Busy/Com	City/Residential	-20,000				
Leasehold/Fee Simple	Fee Simple	Fee Simple					
Site	5,487 sf	6,800 sf	0				
View	City/Residential	City/Residential					
Design (Style)	2 Family	2 Family					
Quality of Construction	Q4	Q4					
Actual Age	73	112	0				
Condition	C3	C3					
Gross Building Area	2,596	2,649	0				

Unit Breakdown	Total	Bdrms	Baths	Total	Bdrms	Baths		Total	Bdrms	Baths		Total	Bdrms	Baths	
Unit # 1	6	3	1.1	5	3	1.1									
Unit # 2	6	3	1.1	9	6	1.1									
Unit # 3															
Unit # 4															

Basement Description	Full Bsmt	Full Bsmt					
Basement Finished Rooms	Unfinished	Unfinished					
Functional Utility	Adequate	Adequate					
Heating/Cooling	2-FA/CAC	2-ElecBB/None	+5,000				
Energy Efficient Items	Insul Windows	Insul Windows					
Parking On/Off Site	Driveway	2 Car Garage	-10,000				
Porch/Patio/Deck	None	Open Porch	-2,000				
Net Adjustment (Total)		☐ + ☒ –	$ -27,000	☐ + ☐ –	$	☐ + ☐ –	$
Adjusted Sale Price of Comparables		Net Adj. 4.2 % Gross Adj. 5.7 %	$ 623,000	Net Adj. % Gross Adj. %	$	Net Adj. % Gross Adj. %	$
Adjusted Price Per Unit (Adj. SP Comp / # of Comp Units)		$ 311,500		$		$	
Adjusted Price Per Room (Adj. SP Comp / # of Comp Rooms)		$ 44,500		$		$	
Adjusted Price Per Bedrm (Adj. SP Comp / # of Comp Bedrooms)		$ 69,222		$		$	

SALE HISTORY

Report the results of the research and analysis of the prior sale or transfer history of the subject property and comparable sales (report additional prior sales on page 3).

ITEM	SUBJECT	COMPARABLE SALE # 4	COMPARABLE SALE # 5	COMPARABLE SALE # 6
Date of Prior Sale/Transfer				
Price of Prior Sale/Transfer				
Data Source(s)	GSMLS/njactb.org	GSMLS/njactb.org		
Effective Date of Data Source(s)	03/27/2026	03/27/2026		

Analysis of prior sale or transfer history of the subject property and comparable sales

ANALYSIS / COMMENTS

Analysis/Comments

Form 1025.(AC) - "TOTAL" appraisal software by a la mode, inc. - 1-800-ALAMODE

Supplemental Addendum

File No. 263-02043

Borrower	Elinet Tailor & Jude Thezena						
Property Address	866 Lyons Ave						
City	Irvington	County	Essex	State	NJ	Zip Code	07111
Lender/Client	United Mortgage Corp.						

Highest and Best Use:
The subject property was being used as a 2 family residential dwelling at the time of inspection. After reviewing the neighborhood characteristics during the Scope of Work the opinion of highest and best use was developed as of the effective date of the report.

GLA Adjustment Support:
The appraiser arrived at the GLA adjustment figure by an average of the Sale Price/GLA of the comparable sales in the report. 20% of this figure was used as GLA represents one of the five basic components of value (rounded).

Amenities Adjustments:
All adjustments for amenities are market based. The basis for the adjustment amounts have been derived from interviews with local Realtors and Builders, Marshall & Swift Cost Handbook and are considered to be typical for the subject market area. The appraiser has relied upon this information because the local MLS does not provide the appraiser with the information required for an accurate paired sales analysis.

Time & Negotiation Adjustments:
Time adjustments for declining markets are determined by using yearly comparisons from the local MLS to determine the percentage. Negotiation adjustments to listing/pending comparables are determined by the yearly Sales Price as % of List Price, up to 10%.

Design Adjustment:
Due to the lack of information available on the local MLS, the appraiser has relied upon interviews with leading Realtors and Builders in the subject market area for determining appropriate adjustment amounts for the difference in home designs.

Site & Location Adjustments:
Due to the lack of information available for an accurate paired sales analysis the appraiser relied upon information received from local Realtors and Builders to support site and location adjustments. In instances where the differnce does not contribute any additional value beyond what is considered necessary for "reasonable enjoyment" no adjustment is made.

My Comparable Search Results:
The appraiser's comparable search parameters began with an MLS search for 2 family homes sold within 90 days of the inspection date, located within one mile of the subject property, built within a +/- 10 year age difference and containing no more than a 10% GLA difference. When there is a lack of recent sale activity, the search parameters are extended to two miles and 365 days. The comparable sales used in the appraisal were the most recent and proximate similiar sales available. The listings used in the report were provided to illustrate competition within close proximity to the subject and were adjusted for anticipated sale/list price ratio.

Basement Summary:
Basement square footage and finished area for comparable sales was obtained from municipal records or other public sources. When not available it was estimated based on the total square footage obtained through the same sources. The appraiser has viewed on-line photos of the finished basement area where available. Finished area, regardless of square footage was adjusted at $2,000 per room, full bathrooms at $2,000 and half baths at $1,000. These factors wer determined by market reaction as provided by local realtors. Unfinished area was unadjusted if found to offer no additional value beyond what is considered as reasonably functional. If found that the estimated basement square footage or finished area is incorrect, the appraiser reserves the right to amend this appraisal.

Area Market Analysis Report - Page 1

3/14/26, 1:37 PM

Area Market Analysis Report

AREA MARKET ANALYSIS REPORT - BY DATE COMPARISON (Six Months Back)

SEARCH CRITERIA **County Code: 16** **Town Code: 1609** **Period 1: 2/2026** **Period 2: 8/2025**

PROPERTY TYPE: MUL

BY TOWN: Irvington Twp. (1609)

MMM,YYYY	Active Listings			New Listings			Under Contract				Sold Listings					
	#	Avg. LP	Med. LP	#	Avg. LP	Med. LP	#	Avg. LP	Med. LP	Avg. DOM	#	Avg. SP	Med. SP	Avg. DOM	SP/LP	SP/OLP
Feb,2026	68	$671,806	$650,000	26	$636,254	$600,000	14	$648,700	$650,000	69	10	$572,550	$565,500	102	100%	97%
Aug,2025	54	$644,746	$617,500	19	$580,295	$599,999	10	$588,490	$627,450	44	7	$573,768	$528,877	26	109%	109%
Jan,2026	65	$696,698	$699,000	28	$636,724	$599,494	11	$597,345	$550,000	68	7	$632,857	$640,000	69	104%	103%
Jul,2025	48	$657,527	$632,000	16	$601,731	$577,000	9	$582,967	$599,900	65	8	$657,500	$647,500	39	109%	112%
Dec,2025	58	$695,773	$699,000	9	$675,755	$699,999	15	$657,982	$679,000	68	8	$576,250	$605,000	57	99%	97%
Jun,2025	51	$665,988	$650,000	21	$616,128	$599,900	9	$674,100	$684,999	34	14	$632,500	$620,000	73	103%	103%
Nov,2025	66	$680,997	$650,000	16	$642,846	$662,500	14	$639,928	$604,500	66	8	$712,500	$665,000	57	103%	101%
May,2025	51	$655,312	$650,000	18	$644,655	$650,000	12	$558,108	$564,500	80	8	$659,750	$650,000	72	102%	103%
Oct,2025	68	$674,516	$627,000	20	$656,890	$639,000	13	$628,000	$599,000	85	14	$640,286	$605,000	62	103%	67%
Apr,2025	50	$650,316	$648,944	12	$544,142	$543,000	10	$604,779	$632,000	27	11	$545,636	$578,000	30	105%	102%
Sep,2025	61	$659,297	$624,900	22	$650,704	$637,500	10	$551,380	$514,500	57	11	$611,773	$655,000	73	104%	102%
Mar,2025	52	$659,405	$648,944	23	$657,773	$648,888	8	$586,500	$575,000	50	11	$566,364	$610,000	90	99%	98%
Period 1:				121	$646,211						58	$623,431		70	102%	92%
Period 2:				109	$613,342						59	$604,091		58	104%	104%
Summary Period 1:				121	$646,211						58	$623,431		70	102%	92%
Summary Period 2:				109	$613,342						59	$604,091		58	104%	104%

Copyright, Garden State MLS, L.L.C.

Info. deemed RELIABLE but not GUARANTEED - ALL Room Sizes are Approx.

EUGENE TRAVISANO

Form SCNLTR - "TOTAL" appraisal software by a la mode, inc. - 1-800-ALAMODE

Area Market Analysis Report - Page 2

3/14/26, 1:38 PM

Print GSMLS

AREA STATISTICS - BY DATE (Twelve Months Back) Date: **3/2025 - 2/2026** Property Type: **MUL**

TOWN: Irvington Twp. (1609)

Average Price

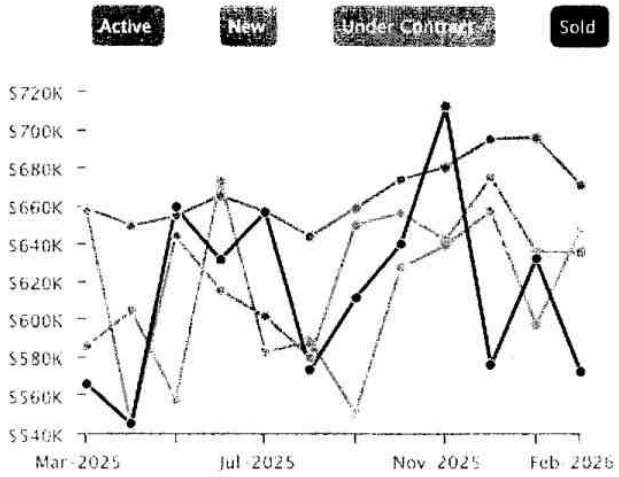

Median Price

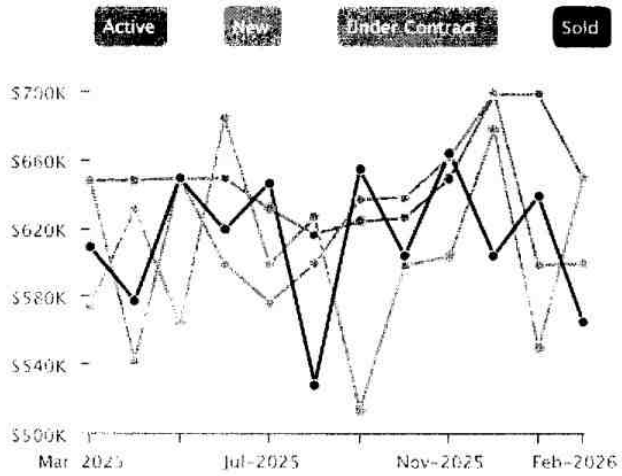

Month,Year	Active Listings			New Listings			Under Contract				Sold Listings					
	#	Avg. LP	Med. LP	#	Avg. LP	Med. LP	#	Avg. LP	Med. LP	Avg. DOM	#	Avg. SP	Med. SP	Avg. DOM	SP/LP	SP/OLP
Mar,2025	52	$659,405	$648,944	23	$657,773	$648,888	8	$586,500	$575,000	50	11	$566,364	$610,000	90	99%	98%
Apr,2025	50	$650,316	$648,944	12	$544,142	$543,000	10	$604,779	$632,000	27	11	$545,636	$578,000	30	105%	102%
May,2025	51	$655,312	$650,000	18	$644,655	$650,000	12	$558,108	$564,500	80	8	$659,750	$650,000	72	102%	103%
Jun,2025	51	$665,988	$650,000	21	$616,128	$599,900	9	$674,100	$684,999	34	14	$632,500	$620,000	73	103%	103%
Jul,2025	48	$657,527	$632,000	16	$601,731	$577,000	9	$582,967	$599,900	65	8	$657,500	$647,500	39	109%	112%
Aug,2025	54	$644,746	$617,500	19	$580,295	$599,999	10	$588,490	$627,450	44	7	$573,768	$528,877	26	109%	109%
Sep,2025	61	$659,297	$624,900	22	$650,704	$637,500	10	$551,380	$514,500	57	11	$611,773	$655,000	73	104%	102%
Oct,2025	68	$674,516	$627,000	20	$656,890	$639,000	13	$628,000	$599,000	85	14	$640,286	$605,000	62	103%	67%
Nov,2025	66	$680,997	$650,000	16	$642,846	$662,500	14	$639,928	$604,500	66	8	$712,500	$665,000	57	103%	101%
Dec,2025	58	$695,773	$699,000	9	$675,755	$699,999	15	$657,982	$679,000	68	8	$576,250	$605,000	57	99%	97%
Jan,2026	65	$696,698	$699,000	28	$636,724	$599,494	11	$597,345	$550,000	68	7	$632,857	$640,000	69	104%	103%
Feb,2026	68	$671,806	$650,000	26	$636,254	$600,000	14	$648,700	$650,000	69	10	$572,550	$565,500	102	100%	97%
Period 1:				230	$630,634						117	$613,678		64	103%	98%
Summary Period 1:				230	$630,634						117	$613,678		64	103%	98%

FHA/VA Case No. 353-0967387
263-02043

Operating Income Statement

One- to Four-Family Investment Property and Two- to Four-Family Owner-Occupied Property

Property Address

866 Lyons Ave	Irvington	NJ	07111
Street	City	State	Zip Code

General Instructions: This form is to be prepared jointly by the loan applicant, the appraiser, and the lender's underwriter. The applicant must complete the following schedule indicating each unit's rental status, lease expiration date, current rent, market rent, and the responsibility for utility expenses. Rental figures must be based on the rent for an "unfurnished" unit.

	Currently Rented		Expiration Date	Current Rent Per Month	Market Rent Per Month	Utility Expense	Paid By Owner	Paid By Tenant
Unit No. 1	Yes ☒	No ☐	Mo/Mo	$ 1,900	$ 2,650	Electricity	☒	☒
Unit No. 2	Yes ☒	No ☐	Mo/Mo	$ 1,900	$ 2,650	Gas	☒	☒
Unit No. 3	Yes ☐	No ☐		$	$	Fuel Oil	☐	☐
Unit No. 4	Yes ☐	No ☐		$	$	Fuel (Other)	☒	☒
Total				$ 3,800	$ 5,300	Water/Sewer	☒	☐
						Trash Removal	☒	☐

The applicant should complete all of the income and expense projections and for existing properties provide actual year-end operating statements for the past two years (for new properties the applicant's projected income and expenses must be provided). This Operating Income Statement and any previous operating statements the applicant provides must then be sent to the appraiser for review, comment, and/or adjustments next to the applicant's figures (e.g. Applicant/Appraiser 288/300). If the appraiser is retained to complete the form instead of the applicant, the lender must provide to the appraiser the aforementioned operating statements, mortgage insurance premium, HOA dues, leasehold payments, subordinate financing, and/or any other relevant information as to the income and expenses of the subject property received from the applicant to substantiate the projections. The underwriter should carefully review the applicant's/appraiser's projections and the appraiser's comments concerning those projections. The underwriter should make any final adjustments that are necessary to more accurately reflect any income or expense items that appear unreasonable for the market. (Real estate taxes and insurance on these types of properties are included in PITI and not calculated as an annual expense item) Income should be based on the current rents, but should not exceed market rents. When there are no current rents because the property is proposed, new, or currently vacant, market rents should be used.

Annual Income and Expense Projection for Next 12 months

Income (Do not include income for owner-occupied units)	By Applicant/Appraiser	Adjustments by Lender's Underwriter
Gross Annual Rental (from unit(s) to be rented)	$ 31,800	$
Other Income (include sources)	+ 0	+
Total	$ 31,800	$
Less Vacancy/Rent Loss	− 1,590 (5 %)	− (%)
Effective Gross Income	$ 30,210	$

Expenses (Do not include expenses for owner-occupied units)	By Applicant/Appraiser	Adjustments by Lender's Underwriter
Electricity		
Gas		
Fuel Oil		
Fuel (Type -)		
Water/Sewer	300	
Trash Removal included in taxes		
Pest Control		
Other Taxes or Licenses		
Casual Labor This includes the costs for public area cleaning, snow removal, etc., even though the applicant may not elect to contract for such services.	100	
Interior Paint/Decorating This includes the costs of contract labor and materials that are required to maintain the interiors of the living unit.	100	
General Repairs/Maintenance This includes the costs of contract labor and materials that are required to maintain the public corridors, stairways, roofs, mechanical systems, grounds, etc.	100	
Management Expenses These are the customer expenses that a professional management company would charge to manage the property.		
Supplies This includes the costs of items like light bulbs, janitorial supplies, etc.	100	
Total Replacement Reserves - See Schedule on Pg. 2	1,948	
Miscellaneous	100	
Total Operating Expenses	$ 2,748	$

ETRAV Appraisal Co., LLC
Form INC2 - "TOTAL" appraisal software by a la mode, inc. - 1-800-ALAMODE

Replacement Reserve Schedule

Adequate replacement reserves must be calculated regardless of whether actual reserves are provided for on the owner's operating statements or are customary in the local market. This represents the total average yearly reserves. Generally, all equipment and components that have a remaining life of more than one year - such as refrigerators, stoves, clothes washers/dryers, trash compactors, furnaces, roofs, and carpeting, etc. - should be expensed on a replacement cost basis.

Equipment		Replacement Cost		Remaining Life				By Applicant/ Appraiser	Lender Adjustments
Stoves/Ranges	@	$ 700	ea. ÷	10	Yrs. x	2	Units =	$ 140	$
Refrigerators	@	$	ea. ÷		Yrs. x		Units =	$	$
Dishwashers	@	$	ea. ÷		Yrs. x		Units =	$	$
A/C Units	@	$ 2,500	ea. ÷	15	Yrs. x	2	Units =	$ 333	$
C. Washer/Dryers	@	$	ea. ÷		Yrs. x		Units =	$	$
HW Heaters	@	$ 750	ea. ÷	10	Yrs. x	2	Units =	$ 150	$
Furnace(s)	@	$ 3,000	ea. ÷	15	Yrs. x	2	Units =	$ 400	$
(Other) Hood Fan	@	$ 250	ea. ÷	10	Yrs. x	2	Units =	$ 50	$
Roof	@	$ 17,500	÷	20	Yrs. x	One Bldg. =		$ 875	$

Carpeting (Wall to Wall)

					Remaining Life			
(Units)		Total Sq. Yds. @	$	Per Sq. Yd. ÷		Yrs. =	$	$
(Public Areas)		Total Sq. Yds. @	$	Per Sq. Yd. ÷		Yrs. =	$	$

Total Replacement Reserves. (Enter on Pg. 1) $ 1,948 $

Operating Income Reconciliation

$ 30,210	−	$ 2,748	=	$ 27,462	÷ 12 =	$ 2,289
Effective Gross Income		Total Operating Expenses		Operating Income		Monthly Operating Income
$ 2,289	−	$	=	$		
Monthly Operating Income		Monthly Housing Expense		Net Cash Flow		

(Note: Monthly Housing Expense includes principal and interest on the mortgage, hazard insurance premiums, real estate taxes, mortgage insurance premiums, HOA dues, leasehold payments, and subordinate financing payments.)

Underwriter's instructions for 2-4 Family Owner-Occupied Properties

- If Monthly Operating Income is a positive number, enter as "Net Rental Income" in the "Gross Monthly Income" section of Freddie Mac Form 65/Fannie Mae Form 1003. If Monthly Operating Income is a negative number, it must be included as a liability for qualification purposes.
- The borrower's monthly housing expense-to-income ratio must be calculated by comparing the total Monthly Housing Expense for the subject property to the borrower's stable monthly income.

Underwriter's instructions for 1-4 Family Investment Properties

- If Net Cash Flow is a positive number, enter as "Net Rental Income" in the "Gross Monthly Income" section of Freddie Mac Form 65/Fannie Mae Form 1003. If Net Cash Flow is a negative number, it must be included as a liability for qualification purposes.
- The borrower's monthly housing expense-to-income ratio must be calculated by comparing the total monthly housing expense for the borrower's primary residence to the borrower's stable monthly income.

Appraiser's Comments (Including sources for data and rationale for the projections)

Income and expense data was obtained from the subject market area, from sources deemed as reliable and accurate. The appraiser assumes that one apartment will be owner occupied.

Eugene C Travisano	Eugene C. Travisano	03/30/2026
Appraiser Name	Appraiser Signature	Date

Underwriter's Comments and Rationale for Adjustments

Underwriter Name	Underwriter Signature	Date

Form INC2 - "TOTAL" appraisal software by a la mode, inc. - 1-800-ALAMODE

UNIFORM APPRAISAL DATASET (UAD) DEFINITIONS ADDENDUM

(Source: Fannie Mae UAD Appendix D: UAD Field-Specific Standardization Requirements)

Condition Ratings and Definitions

C1

The improvements have been recently constructed and have not been previously occupied. The entire structure and all components are new and the dwelling features no physical depreciation.

Note: Newly constructed improvements that feature recycled or previously used materials and/or components can be considered new dwellings provided that the dwelling is placed on a 100 percent new foundation and the recycled materials and the recycled components have been rehabilitated/remanufactured into like-new condition. Improvements that have not been previously occupied are not considered “new” if they have any significant physical depreciation (that is, newly constructed dwellings that have been vacant for an extended period of time without adequate maintenance or upkeep).

C2

The improvements feature no deferred maintenance, little or no physical depreciation, and require no repairs. Virtually all building components are new or have been recently repaired, refinished, or rehabilitated. All outdated components and finishes have been updated and/or replaced with components that meet current standards. Dwellings in this category are either almost new or have been recently completely renovated and are similar in condition to new construction.

Note: The improvements represent a relatively new property that is well maintained with no deferred maintenance and little or no physical depreciation, or an older property that has been recently completely renovated.

C3

The improvements are well maintained and feature limited physical depreciation due to normal wear and tear. Some components, but not every major building component, may be updated or recently rehabilitated. The structure has been well maintained.

Note: The improvement is in its first-cycle of replacing short-lived building components (appliances, floor coverings, HVAC, etc.) and is being well maintained. Its estimated effective age is less than its actual age. It also may reflect a property in which the majority of short-lived building components have been replaced but not to the level of a complete renovation.

C4

The improvements feature some minor deferred maintenance and physical deterioration due to normal wear and tear. The dwelling has been adequately maintained and requires only minimal repairs to building components/mechanical systems and cosmetic repairs. All major building components have been adequately maintained and are functionally adequate.

Note: The estimated effective age may be close to or equal to its actual age. It reflects a property in which some of the short-lived building components have been replaced, and some short-lived building components are at or near the end of their physical life expectancy; however, they still function adequately. Most minor repairs have been addressed on an ongoing basis resulting in an adequately maintained property.

C5

The improvements feature obvious deferred maintenance and are in need of some significant repairs. Some building components need repairs, rehabilitation, or updating. The functional utility and overall livability is somewhat diminished due to condition, but the dwelling remains useable and functional as a residence.

Note: Some significant repairs are needed to the improvements due to the lack of adequate maintenance. It reflects a property in which many of its short-lived building components are at the end of or have exceeded their physical life expectancy but remain functional.

C6

The improvements have substantial damage or deferred maintenance with deficiencies or defects that are severe enough to affect the safety, soundness, or structural integrity of the improvements. The improvements are in need of substantial repairs and rehabilitation, including many or most major components.

Note: Substantial repairs are needed to the improvements due to the lack of adequate maintenance or property damage. It reflects a property with conditions severe enough to affect the safety, soundness, or structural integrity of the improvements.

Quality Ratings and Definitions

Q1

Dwellings with this quality rating are usually unique structures that are individually designed by an architect for a specified user. Such residences typically are constructed from detailed architectural plans and specifications and feature an exceptionally high level of workmanship and exceptionally high-grade materials throughout the interior and exterior of the structure. The design features exceptionally high-quality exterior refinements and ornamentation, and exceptionally high-quality interior refinements. The workmanship, materials, and finishes throughout the dwelling are of exceptionally high quality.

Q2

Dwellings with this quality rating are often custom designed for construction on an individual property owner’s site. However, dwellings in this quality grade are also found in high-quality tract developments featuring residence constructed from individual plans or from highly modified or upgraded plans. The design features detailed, high quality exterior ornamentation, high-quality interior refinements, and detail. The workmanship, materials, and finishes throughout the dwelling are generally of high or very high quality.

UNIFORM APPRAISAL DATASET (UAD) DEFINITIONS ADDENDUM

(Source: Fannie Mae UAD Appendix D: UAD Field-Specific Standardization Requirements)

Quality Ratings and Definitions (continued)

Q3

Dwellings with this quality rating are residences of higher quality built from individual or readily available designer plans in above-standard residential tract developments or on an individual property owner's site. The design includes significant exterior ornamentation and interiors that are well finished. The workmanship exceeds acceptable standards and many materials and finishes throughout the dwelling have been upgraded from "stock" standards.

Q4

Dwellings with this quality rating meet or exceed the requirements of applicable building codes. Standard or modified standard building plans are utilized and the design includes adequate fenestration and some exterior ornamentation and interior refinements. Materials, workmanship, finish, and equipment are of stock or builder grade and may feature some upgrades.

Q5

Dwellings with this quality rating feature economy of construction and basic functionality as main considerations. Such dwellings feature a plain design using readily available or basic floor plans featuring minimal fenestration and basic finishes with minimal exterior ornamentation and limited interior detail. These dwellings meet minimum building codes and are constructed with inexpensive, stock materials with limited refinements and upgrades.

Q6

Dwellings with this quality rating are of basic quality and lower cost; some may not be suitable for year-round occupancy. Such dwellings are often built with simple plans or without plans, often utilizing the lowest quality building materials. Such dwellings are often built or expanded by persons who are professionally unskilled or possess only minimal construction skills. Electrical, plumbing, and other mechanical systems and equipment may be minimal or non-existent. Older dwellings may feature one or more substandard or non-conforming additions to the original structure

Definitions of Not Updated, Updated, and Remodeled

Not Updated

Little or no updating or modernization. This description includes, but is not limited to, new homes.

Residential properties of fifteen years of age or less often reflect an original condition with no updating, if no major components have been replaced or updated. Those over fifteen years of age are also considered not updated if the appliances, fixtures, and finishes are predominantly dated. An area that is 'Not Updated' may still be well maintained and fully functional, and this rating does not necessarily imply deferred maintenance or physical/functional deterioration.

Updated

The area of the home has been modified to meet current market expectations. These modifications are limited in terms of both scope and cost.

An updated area of the home should have an improved look and feel, or functional utility. Changes that constitute updates include refurbishment and/or replacing components to meet existing market expectations. Updates do not include significant alterations to the existing structure.

Remodeled

Significant finish and/or structural changes have been made that increase utility and appeal through complete replacement and/or expansion.

A remodeled area reflects fundamental changes that include multiple alterations. These alterations may include some or all of the following: replacement of a major component (cabinet(s), bathtub, or bathroom tile), relocation of plumbing/gas fixtures/appliances, significant structural alterations (relocating walls, and/or the addition of) square footage). This would include a complete gutting and rebuild.

Explanation of Bathroom Count

Three-quarter baths are counted as a full bath in all cases. Quarter baths (baths that feature only a toilet) are not included in the bathroom count. The number of full and half baths is reported by separating the two values using a period, where the full bath count is represented to the left of the period and the half bath count is represented to the right of the period.

Example:
3.2 indicates three full baths and two half baths.

UNIFORM APPRAISAL DATASET (UAD) DEFINITIONS ADDENDUM

(Source: Fannie Mae UAD Appendix D: UAD Field-Specific Standardization Requirements)

Abbreviations Used in Data Standardization Text

Abbreviation	Full Name	Fields Where This Abbreviation May Appear
A	Adverse	Location & View
ac	Acres	Area, Site
AdjPrk	Adjacent to Park	Location
AdjPwr	Adjacent to Power Lines	Location
ArmLth	Arms Length Sale	Sale or Financing Concessions
AT	Attached Structure	Design (Style)
B	Beneficial	Location & View
ba	Bathroom(s)	Basement & Finished Rooms Below Grade
br	Bedroom	Basement & Finished Rooms Below Grade
BsyRd	Busy Road	Location
c	Contracted Date	Date of Sale/Time
Cash	Cash	Sale or Financing Concessions
Comm	Commercial Influence	Location
Conv	Conventional	Sale or Financing Concessions
cp	Carport	Garage/Carport
CrtOrd	Court Ordered Sale	Sale or Financing Concessions
CtySky	City View Skyline View	View
CtyStr	City Street View	View
cv	Covered	Garage/Carport
DOM	Days On Market	Data Sources
DT	Detached Structure	Design (Style)
dw	Driveway	Garage/Carport
e	Expiration Date	Date of Sale/Time
Estate	Estate Sale	Sale or Financing Concessions
FHA	Federal Housing Authority	Sale or Financing Concessions
g	Garage	Garage/Carport
ga	Attached Garage	Garage/Carport
gbi	Built-in Garage	Garage/Carport
gd	Detached Garage	Garage/Carport
GlfCse	Golf Course	Location
Glfvw	Golf Course View	View
GR	Garden	Design (Style)
HR	High Rise	Design (Style)
in	Interior Only Stairs	Basement & Finished Rooms Below Grade
Ind	Industrial	Location & View
Listing	Listing	Sale or Financing Concessions
Lndfl	Landfill	Location
LtdSght	Limited Sight	View
MR	Mid-rise	Design (Style)
Mtn	Mountain View	View
N	Neutral	Location & View
NonArm	Non-Arms Length Sale	Sale or Financing Concessions
o	Other	Basement & Finished Rooms Below Grade
O	Other	Design (Style)
op	Open	Garage/Carport
Prk	Park View	View
Pstrl	Pastoral View	View
PwrLn	Power Lines	View
PubTrn	Public Transportation	Location
Relo	Relocation Sale	Sale or Financing Concessions
REO	REO Sale	Sale or Financing Concessions
Res	Residential	Location & View
RH	USDA - Rural Housing	Sale or Financing Concessions
rr	Recreational (Rec) Room	Basement & Finished Rooms Below Grade
RT	Row or Townhouse	Design (Style)
s	Settlement Date	Date of Sale/Time
SD	Semi-detached Structure	Design (Style)
Short	Short Sale	Sale or Financing Concessions
sf	Square Feet	Area, Site, Basement
sqm	Square Meters	Area, Site
Unk	Unknown	Date of Sale/Time
VA	Veterans Administration	Sale or Financing Concessions
w	Withdrawn Date	Date of Sale/Time
wo	Walk Out Basement	Basement & Finished Rooms Below Grade
Woods	Woods View	View
Wtr	Water View	View
WtrFr	Water Frontage	Location
wu	Walk Up Basement	Basement & Finished Rooms Below Grade

Subject Photo Page

Borrower	Elinet Tailor & Jude Thezena						
Property Address	866 Lyons Ave						
City	Irvington	County	Essex	State	NJ	Zip Code	07111
Lender/Client	United Mortgage Corp.						

Subject Front

866 Lyons Ave

Sales Price	630,000
G.B.A.	2,596
Age/Yr.Blt.	73

Subject Rear



Subject Street

Photograph Addendum

Borrower	Elinet Tailor & Jude Thezena						
Property Address	866 Lyons Ave						
City	Irvington	County	Essex	State	NJ	Zip Code	07111
Lender/Client	United Mortgage Corp.						

Alternate Street Scene

Subject Front & Side

CO2/Smoke Detector

CO2/Smoke Detector

CO2/Smoke Detector

CO2/Smoke Detector

Interior Photos - Unit 1

Borrower	Elinet Tailor & Jude Thezena						
Property Address	866 Lyons Ave						
City	Irvington	County	Essex	State	NJ	Zip Code	07111
Lender/Client	United Mortgage Corp.						



Unit 1 Living Room

Unit 1 Dining Room

Unit 1 Kitchen



Unit 1 1/2 Bathroom



Unit 1 Bedroom

Unit 1 Bedroom

Interior Photos - Unit 1

Borrower	Elinet Tailor & Jude Thezena						
Property Address	866 Lyons Ave						
City	Irvington	County	Essex	State	NJ	Zip Code	07111
Lender/Client	United Mortgage Corp.						



Unit 1 Bathroom



Unit 1 Bedroom

Unit 1 Electric Panel

Attic-Unit 1 HVAC

Interior Photos - Unit 2

Borrower	Elinet Tailor & Jude Thezena						
Property Address	866 Lyons Ave						
City	Irvington	County	Essex	State	NJ	Zip Code	07111
Lender/Client	United Mortgage Corp.						



Unit 2 Living Room



Unit 2 Dining Room

Unit 2 Kitchen



Unit 2 1/2 Bathroom

Unit 2 Electric Panel



Unit 2 Bedroom

Interior Photos - Unit 2

Borrower	Elinet Tailor & Jude Thezena						
Property Address	866 Lyons Ave						
City	Irvington	County	Essex	State	NJ	Zip Code	07111
Lender/Client	United Mortgage Corp.						



Unit 2 Bathroom

Unit 2 Bedroom



Unit 2 Bedroom

Attic-Unit 2 HVAC

Basement Photos - Unit 1

Borrower	Elinet Tailor & Jude Thezena						
Property Address	866 Lyons Ave						
City	Irvington	County	Essex	State	NJ	Zip Code	07111
Lender/Client	United Mortgage Corp.						

Water Heater

Basement



Basement

Basement Photos - Unit 2

Borrower	Elinet Tailor & Jude Thezena						
Property Address	866 Lyons Ave						
City	Irvington	County	Essex	State	NJ	Zip Code	07111
Lender/Client	United Mortgage Corp.						



Water Heater

Basement

Gas Meter

Basement

Comparable Photo Page

Borrower	Elinet Tailor & Jude Thezena						
Property Address	866 Lyons Ave						
City	Irvington	County	Essex	State	NJ	Zip Code	07111
Lender/Client	United Mortgage Corp.						

Comparable 1

777 Stuyvesant Ave

Sales Price	620,000
G.B.A.	2,693
Borrower/Client	73
Lender	

Comparable 2

67 Kuna Ter

Sales Price	670,000
G.B.A.	2,288
Age/Yr. Blt.	100



Comparable 3

32 Union Pl

Sales Price	685,000
G.B.A.	2,350
Age/Yr. Blt.	73

FHA/VA Case No. 353-0967387

Comparable Photo Page

Borrower	Elinet Tailor & Jude Thezena						
Property Address	866 Lyons Ave						
City	Irvington	County	Essex	State	NJ	Zip Code	07111
Lender/Client	United Mortgage Corp.						



Comparable 4

166 Maple Ave

Sales Price	650,000
G.B.A.	2,649
Age/Yr. Blt.	112

Comparable 5

Sales Price	
G.B.A.	
Age/Yr. Blt.	

Comparable 6

Sales Price	
G.B.A.	
Age/Yr. Blt.	

Rental Photo Page

Borrower	Elinet Tailor & Jude Thezena						
Property Address	866 Lyons Ave						
City	Irvington	County	Essex	State	NJ	Zip Code	07111
Lender/Client	United Mortgage Corp.						

Rental 1

134 Park Pl

Proximity to Subj.	1.58 miles NE
GBA	2,328
Age/Year Built	113



Rental 2

32 Union Pl

Proximity to Subj.	2.02 miles NE
GBA	2,350
Age/Year Built	73

Rental 3

197 Park Pl

Proximity to Subj.	0.43 miles NE
GBA	2,310
Age/Year Built	105

Appraiser License 2025-2027

BACKGROUND AND MULTIPLE SECURITY FEATURES. PLEASE VERIFY AUTHENTICITY.

State Of New Jersey
New Jersey Office of the Attorney General
Division of Consumer Affairs

THIS IS TO CERTIFY THAT THE

REAL ESTATE APPRAISERS BOARD

HAS CERTIFIED

EUGENE C. TRAVISANO
1523A Stuyvesant Ave
Union NJ 07083

FOR PRACTICE IN NEW JERSEY AS A(N): Cert Residential Appraiser

11/02/2025 TO 12/31/2027
VALID

Signature of Licensee/Registrant/Certificate Holder

42RC00150800
LICENSE/REGISTRATION/CERTIFICATION #

ACTING DIRECTOR

E & O Insurance 2025-2026

GREAT AMERICAN INSURANCE GROUP

301 E. Fourth Street, Cincinnati, OH 45202

DECLARATIONS
for
REAL ESTATE APPRAISERS ERRORS & OMISSIONS INSURANCE POLICY

THIS IS BOTH A CLAIMS MADE AND REPORTED INSURANCE POLICY.

THIS POLICY APPLIES TO THOSE CLAIMS THAT ARE FIRST MADE AGAINST THE INSURED AND REPORTED IN WRITING TO THE COMPANY DURING THE POLICY PERIOD.

Insurance is afforded by the company indicated below: (A capital stock corporation)

☒ Great American Assurance Company

Note: The Insurance Company selected above shall herein be referred to as the **Company**.

Policy Number: **RAP4116840-25** Renewal of: **RAP4116840-24**

Program Administrator: **Herbert H. Landy Insurance Agency Inc.**
100 River Ridge Drive, Suite 301 Norwood, MA 02062

Item 1. **Named Insured**: **Eugene Travisano**

Item 2. **Address**: **1523A Stuyvesant Ave**

City, State, Zip Code: **Union, NJ 07083**

Item 3. **Policy Period**: From **07/22/2025** (*Month, Day, Year*) To **07/22/2026** (*Month, Day, Year*)
(Both dates at 12:01 a.m. Standard Time at the address of the **Named Insured** as stated in Item 2.)

Item 4. **Limits of Liability**:

A. $ **1,000,000** **Damages** Limit of Liability – Each **Claim**

B. $ **1,000,000** **Claim Expenses** Limit of Liability – Each **Claim**

C. $ **2,000,000** **Damages** Limit of Liability – Policy Aggregate

D. $ **2,000,000** **Claim Expenses** Limit of Liability – Policy Aggregate

Item 5. **Deductible** (Inclusive of **Claim Expenses**): $ **500** Each **Claim**

Item 6. **Premium**: $ **468.00** **Additional 0.3% NJ Guaranty Fund Surcharge $1.40**

Item 7. **Retroactive Date** (if applicable): **07/22/1992**

Item 8. **Forms, Notices and Endorsements attached**:

D42100 (06/24) D42300 NJ (05/13) IL7324 (07/21)
D42402 (05/13) D42414 (06/24)

Bessy a Magnuson
Authorized Representative

Form SCNLTR - "TOTAL" appraisal software by a la mode, inc. - 1-800-ALAMODE

Property Data Sources - Page 1

Essex County Property Assessment Search Hub - Property Data

Created on 03/28/2026

Owner Information

Name	Munoz, Cesar
Street	82 Nesbit Terr
City&State	Irvington, NJ
Zip	07111

Sale Information

Date	06/11/2015
Deed Book	12566
Deed Page	04737
Price	$67,000
Assessment	$149,900
Property Use Code	
SR1A NU Code	31

Sales History

Date	Price	Assessment
09/15/2014	$100	$149,900
11/04/2005	$1	$24,000
06/05/2003	$180,000	$24,000

Assessment History

Year	Class	Land Value	Improvement	Net
2026	2	$141,100	$335,600	$476,700
2025	2	$141,100	$335,600	$476,700
2024	2	$30,200	$153,500	$183,700
2023	2	$30,200	$153,500	$183,700

Exempt Property Information

EPL Code	
Facility	
Initial Filing Date	
Further Filing Date	
Exempt Statute	

Property Information

Last Updated	02/18/2016
Municipality	Irvington Township
Block	341
Lot	20
Qualifier	
Property Location	866 Lyons Ave.
Property Class Code	2
Building Description	2FAM
Year Built	1953
Building SqFt	2,600
Land Description	47.50 X 112
Acreage	0
Additional Lots 1	
Additional Lots 2	
Map Page	71
Zoning	
Old Block	
Old Lot	
Old Qualifier	
Land Value	$141,100
Improvement Value	$335,600
Exemption Amount #1	
Exemption Amount #2	
Exemption Amount #3	
Exemption Amount #4	
Net Tax Value	$476,700

Property Data Sources - Page 2

Essex Irvington Twp — Property Record Card — 01/27/23 05:36 PM

Block: 341 Lot: 20 Qualifier: Card: 1

Location:

866 LYONS AVE.

Units:	2	Nbhd:	Model:	VCS:	W204
SFLA:	2598	Floor:	Bldg Name:	Map Page:	71
Prop Class:	2	Occupancy:	Zoning:	Year Built:	1953/1963
Bldg Class:	43		Addtl Lot:	NC Interior	RENOVATED
Bldg Desc:	2FAM		Land Dim: 47.50 X 112	NC Exterior	GOOD
Info By:	OWNER		Style: COLONIAL	NC Layout	AVERAGE

Notes:



Room Count

	B	1	2	3	4	T
Living	0	2	0	0	0	2
Dining	0	2	0	0	0	2
Kitchen	0	2	0	0	0	2
Bath	0	0	2	0	0	2
Bed	0	0	6	0	0	6
Rec	0	0	0	0	0	0
Den	0	0	0	0	0	0
Total	0	6	8	0	0	14

Floor Area (footprint)

Item	Bsmnt	First Floor	Uppr Floor	Half Story	Attic
A 2S-B	1,299	1,299	1,299	0	0
Totals	1,299	1,299	1,299	0	0

SqFt Living Area

Item	Area
First Floor	1,299
Upper Floor	1,299
Half Story	0
Fin Attic	0
Living Bsmnt	0
Unfin Area (-)	0
Total Area	2,598

Sketch Areas

Description	Sq Ft
A 2S-B	1,299
B EP	86
C EP	16
D EP	16

Attached Items

Seg	Item	Area
B	ENCL PORCH	86
C	ENCL PORCH	16
D	ENCL PORCH	16
	Total Area	118

Detached Items

Desc	Area
DET. GAR.	486

Miscellaneous

Desc	Number

Write Ins

Desc	Value

Dwelling Detail

Element	Description
Bldg Class	43
Type	MULTFAM 2
Yr Built	1953/1963
Height	2 STORY
Style	COLONIAL
Roof Type	FLAT/SHED
Roof Mat.	ROLL
Bsmnt/Fin	
Foundation	BLK/CONCRT
Exterior	ALUM/VINYL
Interior	DRYWALL
Floor	MIXED
Heat Src	GAS
Heat Sys	2598-RAD/HOT WTR
Air Cond	2598-NONE
Fireplace	NONE
Plumbing	2-3FIX BATH

Assessment History

Year	Class	Land	Improv	Net
2023	2	30,200	153,500	183,700
2022	2	30,200	153,500	183,700
2021	2	30,200	153,500	183,700
2020	2	30,200	153,500	183,700
2019	2	30,200	153,500	183,700

Copyright (c) 2023 BRT Technologies. All Rights Reserved. Be advised that this record may contain information governed by L. 2015, c. 226 and L. 2020, c. 125, which include civil and criminal penalties for improper disclosure.

Property Data Sources - Page 3

3/17/26, 11:08 AM

1: GSMLS REPORTS

TOWNSHIP: IRVINGTON TWP. (1609)

ESSEX COUNTY FULL TAX REPORT

GENERAL INFORMATION

Property Mailing Address: **866 Lyons Ave. Irvington, NJ 07111**
Property Phone:
Owner Name: **Munoz, Cesar**
Owner's Address: **82 Nesbit Ter, Irvington, NJ 07111**

Additional Lots:
Building Descripton: **2FAM**
Acres: **0.12210**
Lotsize: **47.50 X 112**
Year Built: **1953**

Mail Carrier Route: **C013**
Block/Block Suffix: **00341/0000**
Lot/Lot Suffix: **00020/0000**
Qualifier Code:
Tax Parcel Id: **1609-00341-0000-00020-0000-**

TAX INFORMATION

Tax Year: **2025**
Tax District (Township): **9**
Tax Zone:
Tax Special Zone:
Building Class: **45**
Property Class: **2**
Land Assessment: **141,100**
Improvement Assessment: **335,600**
Total Taxable Assessment: **476,700**

Total Tax: **11,383.89**
Tax Map Page: **71**
Deed Book: **12566**
Deed Page: **04737**
Sale Price: **$67,000.00**
Sale Date: **06/11/2015**
Recorded Date: **07/24/2015**
Tax Rate: **2.587**
Tax Ratio: **44.53**
Calculated Tax Amount: **12,332.23**

SALES INFORMATION

Current Sale Price: **$67,000.00**
Current Sale Date: **06/11/2015**
Recorded Date: **07/24/2015**

Previous Sale Price: **$1.00**
Previous Sale Date: **04/23/1994**

Copyright, Garden State MLS, L.L.C.

Info. deemed RELIABLE but not GUARANTEED - ALL Room Sizes are Approx.

EUGENE TRAVISANO

Property Detail Report

For property located at
866 Lyons Ave., Irvington, NJ 07111

Service
State Information

APN: 09-00341-0000-00020-0000
Generation date: 03/17/2026

Owner(s) Information

Owners(s) name	Munoz, Cesar	**Owner For**	11 years
Mailing Address	82 Nesbit Terr	**Absentee**	Yes
City, State Zip	Irvington, NJ 07111	**Corporate Owned**	No

Location Information

County	Essex	**Lot Acres**	0.1221	**Class 4 Code**	
Municipality	Irvington Township	**Lot Sq Ft**	5,318.68	**Building Class**	45
Block / Lot / Qual	341 / 20 / ---	**Land Use**	Residential	**Building Desc**	2FAM
Additional Lots	---	**Land Desc**	47.50 X 112	**Building Sq.Ft.**	2600
Census Code	340130121001007	**Zoning**	---	**Year Constructed**	1953

Tax Information

Assessed Year	2026	**Land Value**	$141,100	**Tax Exemption**	—
Tax Year	2025	**Improved Value**	$335,600	**Deductions (Amount)**	0
Calculated Tax	$12,332.23	**Total Assessed Value**	$476,700	**Tax Rate (2025)**	2.587
Special Tax Codes	—			**Tax Ratio (2025)**	44.53

Last Market Sale

Sale / Rec Date	06/11/2015 - 07/24/2015	**Buyer Name**	MUNOZ, CESAR	**Seller Name**	FANNIE MAE,
Sale Price	$67,000	**Buyer Street**	82 NESBIT TERR	**Seller Street**	PO BOX 650043
Price / Sq.Ft.	$25.77	**Buyer City, State**	IRVINGTON, NJ	**Seller City, State**	DALLAS TEXAS
Book / Page	12566 / 04737				
Assessor Code	031				

FEMA Flood

Flood Zone	Flood Risk	Panel #	Effective Date	Parcel Coverage	SFHA
X	AREA OF MINIMAL FLOOD HAZARD	—	03/17/2026	0.13 (100%)	No

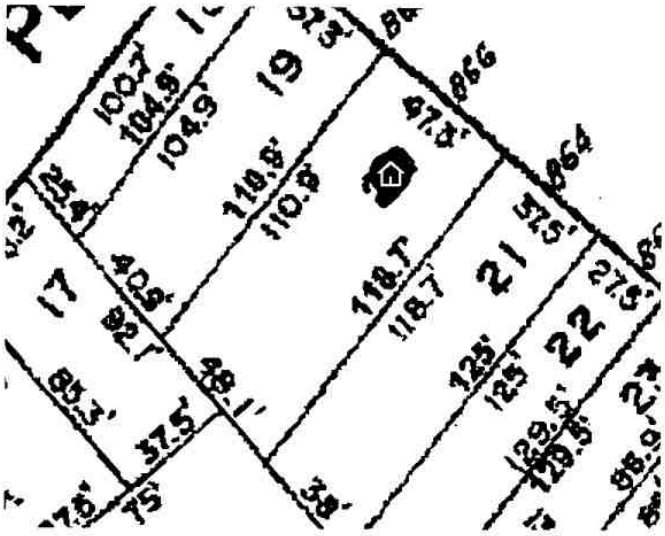

Disclaimer: The property information displayed here is obtained from various public records. AI Real Estate, LLC makes no guarantees on the validity of the data presented. Although deemed reliable, information may not be accurate. Information should be independently confirmed and you use the information displayed here at your own risk.

Plat Map

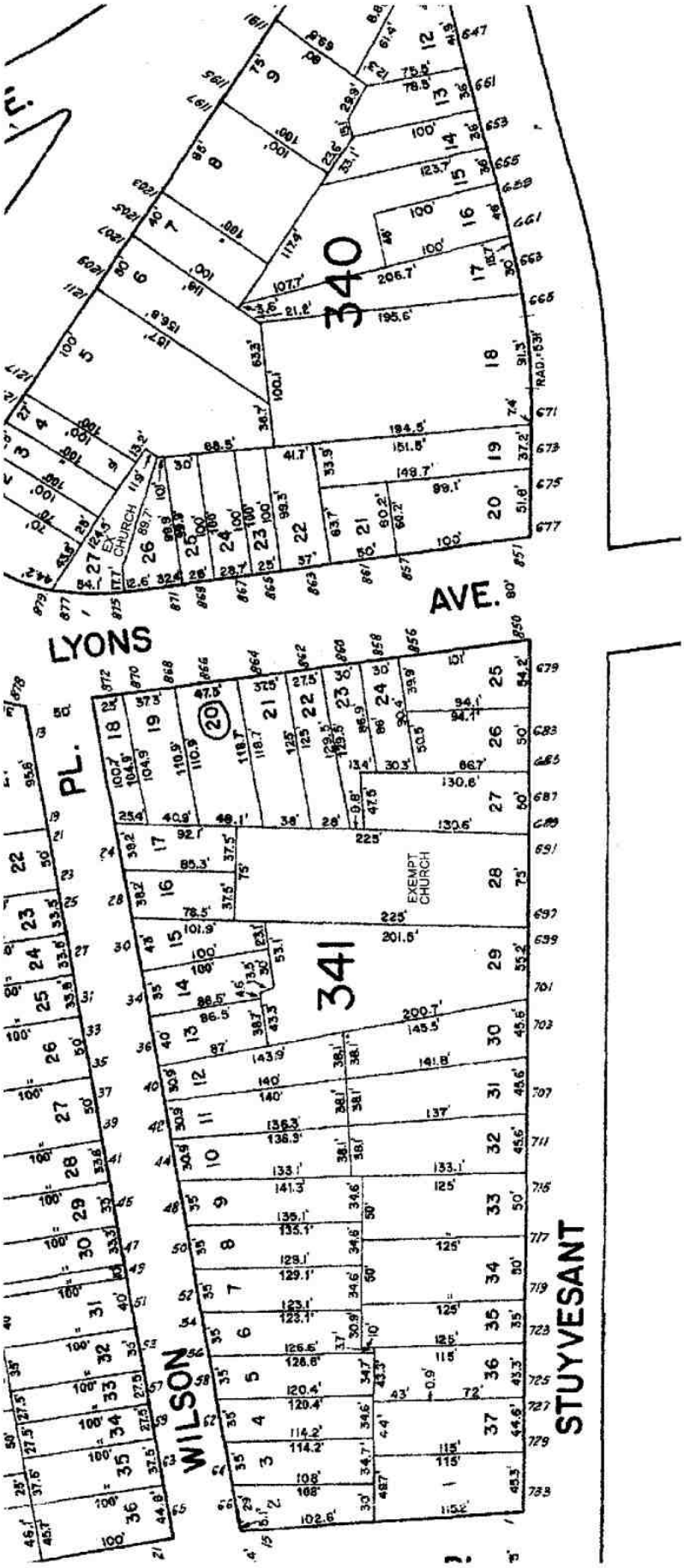
LYONS
AVE.
340
341
EX. CHURCH
EXEMPT CHURCH
WILSON
PL.
STUYVESANT

FHA/VA Case No. 353-0967387

Building Sketch

Borrower	Elinet Tailor & Jude Thezena						
Property Address	866 Lyons Ave						
City	Irvington	County	Essex	State	NJ	Zip Code	07111
Lender/Client	United Mortgage Corp.						

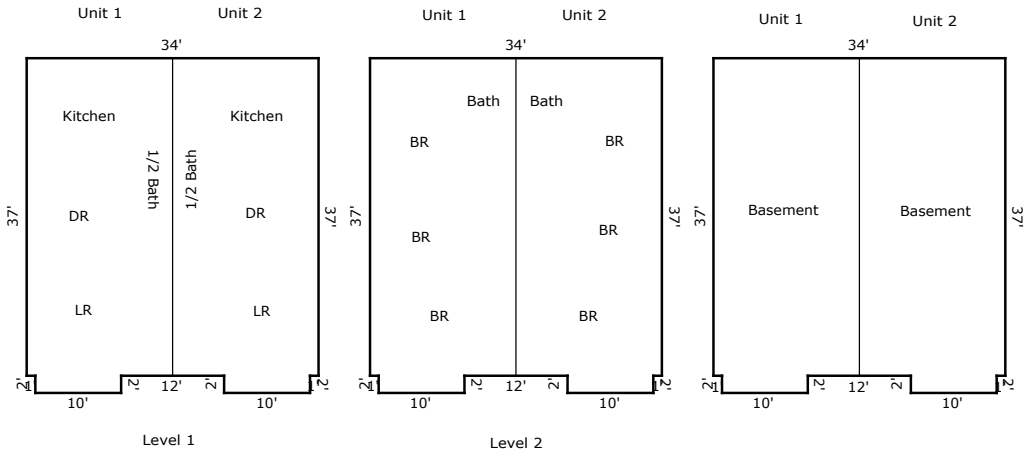

TOTAL Sketch by a la mode

Area Calculations Summary

Living Area		**Calculation Details**
First Floor	1298 Sq ft	34 × 37 = 1258
		10 × 2 = 20
		10 × 2 = 20
Second Floor	1298 Sq ft	10 × 2 = 20
		10 × 2 = 20
		37 × 34 = 1258
Total Living Area (Rounded):	**2596 Sq ft**	
Non-living Area		
Basement	1298 Sq ft	10 × 2 = 20
		10 × 2 = 20
		37 × 34 = 1258