RESIDENTIAL APPRAISAL REPORT



1925 E. 9th STREET

Property Location:	1925 E 9th St Pueblo, CO 81001 LOTS 35 + 36 BLK 195 EAST PUEBLO HEIGHTS SUB 2ND
Borrower:	Belinda Renee Dixon
Lender:	Paramount Residential Mortgage Group, Inc 1265 Corona Pointe Court, Suite 301 Corona, CA 92879
Opinion of Value:	196,000
Effective Date:	03/27/2026
Prepared By:	Scott Hedrick 719-544-7178 alpineappraisal1@gmail.com

PO Box 8781
Pueblo, CO 81008

Uniform Residential Appraisal Report

File # 053-2178236 Eastside

The purpose of this summary appraisal report is to provide the lender/client with an accurate, and adequately supported, opinion of the market value of the subject property.

SUBJECT

Property Address 1925 E 9th St | City Pueblo | State CO | Zip Code 81001

Borrower Belinda Renee Dixon | Owner of Public Record Wayne A Hunter | County Pueblo

Legal Description LOTS 35 + 36 BLK 195 EAST PUEBLO HEIGHTS SUB 2ND

Assessor's Parcel # 429424015 | Tax Year 2025 | R.E. Taxes $ 946

Neighborhood Name Eastside | Map Reference 39380 | Census Tract 0010.00

Occupant ☐ Owner ☐ Tenant ☒ Vacant | Special Assessments $ 0 | ☐ PUD HOA $ 0 ☐ per year ☐ per month

Property Rights Appraised ☒ Fee Simple ☐ Leasehold ☐ Other (describe)

Assignment Type ☒ Purchase Transaction ☐ Refinance Transaction ☐ Other (describe)

Lender/Client Paramount Residential Mortgage Group, Inc | Address 1265 Corona Pointe Court, Suite 301, Corona, CA 92879

Is the subject property currently offered for sale or has it been offered for sale in the twelve months prior to the effective date of this appraisal? ☒ Yes ☐ No

Report data source(s) used, offering price(s), and date(s). DOM 150;Pueblo Association of Realtors MLS #235464. The subject was listed 11/1/2026 for $215,000 with price reductions to its current offering price of $199,900.

CONTRACT

I ☒ did ☐ did not analyze the contract for sale for the subject purchase transaction. Explain the results of the analysis of the contract for sale or why the analysis was not performed. Arms length sale;The fully executed contract was analyzed for dates, seller concessions, and signatures. The source/provider of the contract was Fastapp AMC. Personal property items are excluded in the valuation process.

Contract Price $ 195,000 | Date of Contract 03/12/2026 | Is the property seller the owner of public record? ☒ Yes ☐ No | Data Source(s) Assr Rec/Contract

Is there any financial assistance (loan charges, sale concessions, gift or downpayment assistance, etc.) to be paid by any party on behalf of the borrower? ☒ Yes ☐ No

If Yes, report the total dollar amount and describe the items to be paid. $7,000;;The contract indicates seller concessions for pre-paids, rate buy-down, or closing costs. Typical Concessions in the subject's market is currently 0% to 6%. See the 1004 MC and addendums.

NEIGHBORHOOD

Note: Race and the racial composition of the neighborhood are not appraisal factors.

Neighborhood Characteristics			One-Unit Housing Trends			One-Unit Housing			Present Land Use %	
Location	☐ Urban	☒ Suburban ☐ Rural	Property Values	☐ Increasing	☐ Stable ☒ Declining	PRICE	AGE		One-Unit	60 %
Built-Up	☒ Over 75%	☐ 25-75% ☐ Under 25%	Demand/Supply	☐ Shortage	☒ In Balance ☐ Over Supply	$ (000)	(yrs)		2-4 Unit	10 %
Growth	☐ Rapid	☒ Stable ☐ Slow	Marketing Time	☒ Under 3 mths	☐ 3-6 mths ☐ Over 6 mths	20	Low	1	Multi-Family	10 %
Neighborhood Boundaries Hwy 50 and Belmont (North), The Arkansas River and Blende (South), St. Charles Mesa and Vacant land (East), and the Arkansas River (West).						325	High	135	Commercial	10 %
						158	Pred.	75	Other	10 %

Neighborhood Description Eastside (Pueblo MLS). The market area consists of a comparable mix of employment opportunities, schools, businesses, and recreational opportunities to those found in surrounding and competing neighborhoods. The market area consists primarily of single family residential homes of various styles, construction methods, and building techniques that vary greatly in age, quality, and condition. *The 'other' land use is considered roads, parks, schools, government facilities, and other public areas.*

Market Conditions (including support for the above conclusions) The market area has fluctuated but is considered stable to declining over the past 12 months. There have been (114) SFR sales in last year from date of inspection. Sales range from $19,500 to $325,000. Median sales price = $158,250. Median List price to Sales Price ratio = 99.58%. Median DOM = 76 days. Financing remains available from a variety of sources from Conventional, FHA, VA, and other programs. See addendums.

SITE

Dimensions 50 x 121 sf (Assessor/CRS Data) | Area 6050 sf | Shape Appears Rectangular | View N;Res;

Specific Zoning Classification R-2 (Assessor Records) | Zoning Description R-2 ; Areas designed for development of single family development of medium density.

Zoning Compliance ☒ Legal ☐ Legal Nonconforming (Grandfathered Use) ☐ No Zoning ☐ Illegal (describe)

Is the highest and best use of subject property as improved (or as proposed per plans and specifications) the present use? ☒ Yes ☐ No If No, describe See Addendum.

Utilities	Public	Other (describe)		Public	Other (describe)	Off-site Improvements – Type	Public	Private
Electricity	☒	☐	Water	☒	☐	Street Paved Asphalt	☒	☐
Gas	☒	☐	Sanitary Sewer	☒	☐	Alley Yes -Typical	☒	☐

FEMA Special Flood Hazard Area ☐ Yes ☒ No | FEMA Flood Zone X | FEMA Map # 08101C0514D | FEMA Map Date 08/15/2019

Are the utilities and off-site improvements typical for the market area? ☒ Yes ☐ No If No, describe

Are there any adverse site conditions or external factors (easements, encroachments, environmental conditions, land uses, etc.)? ☐ Yes ☒ No If Yes, describe

Based on a visual inspection of the property for 'any adverse' site conditions or external factors, (easements, encroachments, environmental conditions, land use, ect), I found no readily available visible conditions having a negative impact on the subjects value. Site dimensions and zoning are provided by the county records and are assumed correct, and exact site dimensions and easements are subject to a survey. All structures on the parcel and any renovations/improvements are assumed to be built to current building codes with proper permits.

IMPROVEMENTS

General Description		Foundation		Exterior Description	materials/condition	Interior	materials/condition
Units	☒ One ☐ One with Accessory Unit	☐ Concrete Slab	☒ Crawl Space	Foundation Walls	Concrete-Avg	Floors	Tile/Crpt/HW-Good
# of Stories	1	☐ Full Basement	☒ Partial Basement	Exterior Walls	Frm/Stucco-Avg/Good	Walls	DW/Pnt-Good
Type	☒ Det. ☐ Att. ☐ S-Det./End Unit	Basement Area	360 sq.ft.	Roof Surface	Composition-New	Trim/Finish	Wd/Pnt-Good
☒ Existing	☐ Proposed ☐ Under Const.	Basement Finish	76 %	Gutters & Downspouts	Metal-New	Bath Floor	Tile-Good
Design (Style)	Ranch	☐ Outside Entry/Exit	☐ Sump Pump	Window Type	SP/DP-Avg/Good	Bath Wainscot	Tile-Good
Year Built	1932	Evidence of ☐ Infestation		Storm Sash/Insulated	None	Car Storage	☐ None
Effective Age (Yrs)	20	☐ Dampness	☐ Settlement	Screens	Yes-Avg/Gd	☒ Driveway	# of Cars 1
Attic	☐ None	Heating ☒ FWA	☐ HWBB ☐ Radiant	Amenities	☐ Woodstove(s) # 0	Driveway Surface	Gravel-Typ
☐ Drop Stair	☐ Stairs	☐ Other	Fuel NatGas	☐ Fireplace(s) # 0	☒ Fence Wood/Metal	☐ Garage	# of Cars 0
☐ Floor	☒ Scuttle	Cooling ☒ Central Air Conditioning		☒ Patio/Deck Uncv'd	☒ Porch Uncov'd	☐ Carport	# of Cars 0
☐ Finished	☐ Heated	☐ Individual	☐ Other None	☐ Pool None	☒ Other Shed	☐ Att.	☐ Det. ☐ Built-in

Appliances ☐ Refrigerator ☒ Range/Oven ☒ Dishwasher ☒ Disposal ☐ Microwave ☐ Washer/Dryer ☐ Other (describe)

Finished area **above** grade contains: 5 Rooms 3 Bedrooms 1.0 Bath(s) 1,067 Square Feet of Gross Living Area Above Grade

Additional features (special energy efficient items, etc.). The subject property has newer forced-air heat; newer central AC; newer water heater; and ceiling fans.

Describe the condition of the property (including needed repairs, deterioration, renovations, remodeling, etc.). C3;Kitchen-remodeled-one to five years ago;Bathrooms-remodeled-one to five years ago;The subject is physically sound with less than normal physical depreciation observed. There was no deferred maintenance observed, and no functional or external obsolescence observed. The subject has a remodeled kitchen with newer cabinets, counters, and appliances; remodeled bathroom; new carpet, tile, and laminate hardwood flooring; newer lighting and plumbing fixtures; new interior and exterior paint; a newer roof and gutters; a open porch and open patio; an 18x 24 shed; and a wood/metal fence.

Are there any physical deficiencies or adverse conditions that affect the livability, soundness, or structural integrity of the property? ☐ Yes ☒ No If Yes, describe

The appraiser does not warrant any components of the subject property. The physical 'inspection' is an observation and does not guarantee that the subject is free of defects, and the appraiser assumes no liability to assess any physical, mechanical, structural, plumbing, and electrical elements of the subject property. Disclaimer; the subject property should be examined by a qualified home inspector, contractor, structural engineer, or specialized professionals to ensure the subject property is acceptable to all parties. See addendums.

Does the property generally conform to the neighborhood (functional utility, style, condition, use, construction, etc.)? ☒ Yes ☐ No If No, describe

The subject conforms with the neighborhood and is not considered over-improved, as the style, size, age, quality of construction, and overall appeal of the subject are typical within the market area.

Uniform Residential Appraisal Report

File # 053-2178236 Eastside

There are 11 comparable properties currently offered for sale in the subject neighborhood ranging in price from $ 139,900 to $ 265,000 .

There are 14 comparable sales in the subject neighborhood within the past twelve months ranging in sale price from $ 67,500 to $ 220,000 .

SALES COMPARISON APPROACH

FEATURE	SUBJECT	COMPARABLE SALE # 1		COMPARABLE SALE # 2		COMPARABLE SALE # 3	
Address	1925 E 9th St Pueblo, CO 81001	1601 E 10th St Pueblo, CO 81001		1204 E 6th St Pueblo, CO 81001		1405 E Beech St Pueblo, CO 81001	
Proximity to Subject		0.39 miles W		0.84 miles W		0.91 miles SW	
Sale Price	$ 195,000		$ 210,000		$ 191,900		$ 186,900
Sale Price/Gross Liv. Area	$ 182.76 sq.ft.	$ 204.48 sq.ft.		$ 205.02 sq.ft.		$ 169.91 sq.ft.	
Data Source(s)		PARMLS #235898;DOM 53		PARMLS #232854;DOM 66		PARMLS #234363;DOM 76	
Verification Source(s)		CountyRec/Agent - L/P $194,000		CountyRec/Agent - L/P $194,000		CountyRec/Agent - L/P $189,900	
VALUE ADJUSTMENTS	DESCRIPTION	DESCRIPTION	+(-) $ Adjustment	DESCRIPTION	+(-) $ Adjustment	DESCRIPTION	+(-) $ Adjustment
Sales or Financing Concessions		ArmLth Conv;10000		ArmLth Conv;5757	0	ArmLth FHA;9000	0
Date of Sale/Time		s01/26;c01/26		s08/25;c07/25		s11/25;c10/25	
Location	N;Res;Eastside	N;Res;Eastside		N;Res;Eastside		N;Res;Eastside	
Leasehold/Fee Simple	Fee Simple	Fee Simple		Fee Simple		Fee Simple	
Site	6050 sf	6000 sf	0	6098 sf	0	8799 sf	0
View	N;Res;	N;Res;		N;Res;		N;Res;	
Design (Style)	DT1;Ranch	DT1;Ranch		DT1;Ranch		DT1;Ranch	
Quality of Construction	Q4	Q4		Q4		Q4	
Actual Age	94	97	0	105	0	76	0
Condition	C3	C3		C4	+14,000	C3	
Above Grade Room Count (Total / Bdrms. / Baths)	5 / 3 / 1.0	5 / 2 / 1.0	0	5 / 2 / 1.1	-5,000	6 / 3 / 1.0	0
Gross Living Area	1,067 sq.ft.	1,027 sq.ft.	0	936 sq.ft.	+6,000	1,100 sq.ft.	0
Basement & Finished	360sf274sfin	520sf520sfin	-2,100	252sf252sfin	0	264sf0sfin	0
Rooms Below Grade	1rr0br0.0ba1o	1rr2br1.0ba0o	-3,400	0rr0br0.0ba2o	0		+3,800
Functional Utility	Average	Average		Average		Average	
Heating/Cooling	FWA/Central AC	FWA/Evap	+2,500	FWA/Central AC		FWA/None	+4,000
Energy Efficient Items	None	None		None		None	
Garage/Carport	1dw	1gd1dw	-8,000	2gd2dw	-16,000	1dw	
Porch/Patio/Deck	Porch/Patio	Porch/Patio		Porch/Patio		Porch/Patio	
Fireplace	0 F/P	0 F/P		0 F/P		0 F/P	
Landscaping/Fence	Landscaping/Fence	Landscaping/Fence		Landscaping/Fence		Landscaping/Fence	
Extra Feature	Shed	None	+2,500	None	+2,500	None	+2,500
Net Adjustment (Total)		☐ + ☒ -	$ -8,500	☒ + ☐ -	$ 1,500	☒ + ☐ -	$ 10,300
Adjusted Sale Price of Comparables		Net Adj. 4.0 % Gross Adj. 8.8 %	$ 201,500	Net Adj. 0.8 % Gross Adj. 22.7 %	$ 193,400	Net Adj. 5.5 % Gross Adj. 5.5 %	$ 197,200

I ☒ did ☐ did not research the sale or transfer history of the subject property and comparable sales. If not, explain

My research ☐ did ☒ did not reveal any prior sales or transfers of the subject property for the three years prior to the effective date of this appraisal.

Data Source(s) Pueblo County Assessor/PARMLS/CRS data.

My research ☐ did ☒ did not reveal any prior sales or transfers of the comparable sales for the year prior to the date of sale of the comparable sale.

Data Source(s) Pueblo County Assessor/PARMLS/CRS data.

Report the results of the research and analysis of the prior sale or transfer history of the subject property and comparable sales (report additional prior sales on page 3).

ITEM	SUBJECT	COMPARABLE SALE #1	COMPARABLE SALE #2	COMPARABLE SALE #3
Date of Prior Sale/Transfer				
Price of Prior Sale/Transfer				
Data Source(s)	Pueblo County Assessor/CRS	Pueblo County Assessor/CRS	Pueblo County Assessor/CRS	Pueblo County Assessor/CRS
Effective Date of Data Source(s)	02/23/2026	02/23/2026	02/23/2026	02/23/2026

Analysis of prior sale or transfer history of the subject property and comparable sales

- Subject - Public records indicate the subject's most recent transfer occurred on 6/28/2004 (warranty deed - doc #1573107 recorded on 6/30/2004)

- Comparable 1 - No Sales/Transfers.

- Comparable 2 - No Sales/Transfers.

- Comparable 3 - Unknown Sale/Transfer.

Summary of Sales Comparison Approach See Page 4 addendum

Indicated Value by Sales Comparison Approach $ 196,000

RECONCILIATION

Indicated Value by: Sales Comparison Approach $ 196,000 **Cost Approach (if developed) $** **Income Approach (if developed) $** 0

See Addendum.

This appraisal is made ☒ "as is", ☐ subject to completion per plans and specifications on the basis of a hypothetical condition that the improvements have been completed, ☐ subject to the following repairs or alterations on the basis of a hypothetical condition that the repairs or alterations have been completed, or ☐ subject to the following required inspection based on the extraordinary assumption that the condition or deficiency does not require alteration or repair: **None.**

Based on a complete visual inspection of the interior and exterior areas of the subject property, defined scope of work, statement of assumptions and limiting conditions, and appraiser's certification, my (our) opinion of the market value, as defined, of the real property that is the subject of this report is $ 196,000 **, as of** 03/27/2026 **, which is the date of inspection and the effective date of this appraisal.**

Form 1004UAD - "TOTAL" appraisal software by a la mode, inc. - 1-800-ALAMODE

Uniform Residential Appraisal Report

File # 053-2178236 Eastside

SALES COMPARISON APPROACH

FEATURE	SUBJECT	COMPARABLE SALE # 4		COMPARABLE SALE # 5		COMPARABLE SALE # 6	
Address	1925 E 9th St Pueblo, CO 81001	2120 E 12th St Pueblo, CO 81001		902 E 11th St Pueblo, CO 81001			
Proximity to Subject		0.28 miles NE		1.07 miles W			
Sale Price	$ 195,000		$ 184,000		$ 199,900		$
Sale Price/Gross Liv. Area	$ 182.76 sq.ft.	$ 154.62 sq.ft.		$ 230.30 sq.ft.		$ sq.ft.	
Data Source(s)		PARMLS #228266;DOM 272		PARMLS #237345;DOM 29			
Verification Source(s)		CountyRec/Agent - L/P $189,000		CountyRec/Agent - L/P $209,900			
VALUE ADJUSTMENTS	DESCRIPTION	DESCRIPTION	+(-) $ Adjustment	DESCRIPTION	+(-) $ Adjustment	DESCRIPTION	+(-) $ Adjustment
Sales or Financing Concessions		ArmLth FHA;5250	0	***Listing*** L/SP-99.58%;0	0		
Date of Sale/Time		s07/25;c04/25		***Active***			
Location	N;Res;Eastside	N;Res;Eastside		N;Res;Eastside			
Leasehold/Fee Simple	Fee Simple	Fee Simple		Fee Simple			
Site	6050 sf	6000 sf	0	5760 sf	0		
View	N;Res;	N;Res;		N;Res;			
Design (Style)	DT1;Ranch	DT1;Ranch		DT1;Ranch			
Quality of Construction	Q4	Q4		Q4			
Actual Age	94	74	0	120	0		
Condition	C3	C3		C3			
Above Grade Room Count (Total / Bdrms. / Baths)	5 / 3 / 1.0	6 / 3 / 1.0	0	4 / 2 / 1.0	0	/ /	
Gross Living Area	1,067 sq.ft.	1,190 sq.ft.	-5,700	868 sq.ft.	+9,200	sq.ft.	
Basement & Finished	360sf274sfin	0sf	+2,600	140sf140sfin	+1,300		
Rooms Below Grade	1rr0br0.0ba1o		+3,800	0rr1br0.0ba0o	+1,900		
Functional Utility	Average	Average		Average			
Heating/Cooling	FWA/Central AC	FWA/None	+4,000	FWA/None	+4,000		
Energy Efficient Items	None	None		None			
Garage/Carport	1dw	2dw	0	1gd1dw	-8,000		
Porch/Patio/Deck	Porch/Patio	Porch/Patio		Porch/Patio			
Fireplace	0 F/P	0 F/P		0 F/P			
Landscaping/Fence	Landscaping/Fence	Landscaping/Fence		Landscaping/Fence			
Extra Feature	Shed	Shed		None	+2,500		
Net Adjustment (Total)		☒ + ☐ -	$ 4,700	☒ + ☐ -	$ 10,900	☐ + ☐ -	$
Adjusted Sale Price of Comparables		Net Adj. 2.6 % Gross Adj. 8.8 %	$ 188,700	Net Adj. 5.5 % Gross Adj. 13.5 %	$ 210,800	Net Adj. % Gross Adj. %	$

SALE HISTORY

Report the results of the research and analysis of the prior sale or transfer history of the subject property and comparable sales (report additional prior sales on page 3).

ITEM	SUBJECT	COMPARABLE SALE # 4	COMPARABLE SALE # 5	COMPARABLE SALE # 6
Date of Prior Sale/Transfer				
Price of Prior Sale/Transfer				
Data Source(s)	Pueblo County Assessor/CRS	Pueblo County Assessor/CRS	Pueblo County Assessor/CRS	
Effective Date of Data Source(s)	02/23/2026	02/23/2026	02/23/2026	

Analysis of prior sale or transfer history of the subject property and comparable sales

- Comparable 4 - No sales/transfers.

- Comparable 5 - No sales/transfers.

ANALYSIS / COMMENTS

Analysis/Comments

ADJUSTMENTS (As Necessary)

Location Adjustment - None Warranted.

Site size differences - $.25/sf for sites greater than 1 acre.

Quality/Condition adjustment - $15/sf of the comparable square footage.

Age differences - Considered in the comparable condition adjustment.

Above grade gross living area (GLA) - $46/sf

Below Grade (Basement) adjustments - $9/sf with an additional $14/sf for finished area.

Bedroom Adjustments - Considered in the above grade square footage.

Full Bathroom adjustment - $12,000/bath

Half Bathroom adjustment - $6,000/bath

Garage per stall adjustment - $8,000/stall

Carport per stall adjustment - $4,000/stall

Fireplace/Wood Stove - $3,000

The subject property and comparable sales features, amenities, and characteristics are based on information that can come from the inspection, multiple listing service, county records, realtors, landlords, buyers, sellers, and other appraisers. The information pertaining to the comparable sales utilized in this appraisal report was obtained from the Pueblo Multiple Listing Service, Pueblo County Assessor's records, and CRS Data when available. The appraiser makes the *extraordinary assumption* that the subject property and comparable sales information is true and correct, and the data and information supplied to the appraiser from these information sources is accurate. This data and other reported features may vary from other information sources due to inconsistent collection, measuring, and reporting methods. If conflicting information is collected and analyzed in the data collection process, the source deemed most consistent and accurate is used. If new information is presented or is discovered from the date of inspection or completion of the appraisal, or discrepancies or clerical errors are found; the appraiser reserves the right to re-evaluate the information and possibly change any or all parts of this document, including but not limited to the Opinion of Market Value, or determine any impact on the final value estimate.

Form 1004UAD.(AC) - "TOTAL" appraisal software by a la mode, inc. - 1-800-ALAMODE

Uniform Residential Appraisal Report

File # 053-2178236 Eastside

ADDITIONAL COMMENTS

FHA/HUD COMMENTS

- The intended user is the Lender/Client and HUD/FHA, as identified on the URAR Form.
- The intended use of the appraisal is solely to assist FHA in assessing the risk of the Property securing the FHA-insured Mortgage, for the property that is the subject of this appraisal for a mortgage finance transaction, subject to the stated scope of work, purpose of the appraisal, reporting requirements of this appraisal form and client, and definition of market value. No additional intended users are identified by the appraiser.
- The subject conforms to minimum property standards for housing per HUD Handbook 4000.1 and meets all FHA/HUD minimum guidelines as outlined by HUD handbook 4000.1.
- No deficiencies with HUD's Property Acceptability Criteria are known or observed.
- The appraiser has performed a head and shoulders visual evaluation of the attic, basement/crawl space areas that are accessible, per HUD/FHA appraisal guidelines.
- The utilities and mechanical systems were operational at the time of inspection, per HUD/FHA appraisal guidelines, unless otherwise noted. Seasonal conditions may exist and some components may not be operational or tested.
- All necessary appliances and cabinetry were present and operational at the time of inspection, unless otherwise noted. This does not include garage door openers, intercoms, sound systems, and security systems.
- Personal property items such as washers and dryers, hot tubs, ect are excluded in the valuation process.
- Functional Utility ; Per FHA guidelines the subject and comparables are rated 'Average', 'Superior', or 'Inferior' as a total of the items rated and if adjustments are applied they are addressed and summarized.
- Porch/Patio/Decks - Adjustments are made only when a quantifiable market reaction to significant feature differences are noted.
- Outbuildings/Sheds - Are typical within the market area and are not adjusted unless significant utility and quantifiable market reactions are noted.

ADDITIONAL COMMENTS

- In compliance with Colorado HB 12-1110, the appraiser must disclose in the appraisal report the fee paid to the appraiser for a residential real property appraisal, if the appraiser was engaged by an appraisal management company to complete an appraisal assignment. The compensation fee for this appraisal is $550.00.
- Unless otherwise indicated, I have performed no services, as an appraiser or in any other capacity, regarding the property that is the subject of this report within the three-year period immediately preceding acceptance of this assignment.
- The FNMA 1004 form has basement square footage and finish on the same line in the grid (Basement & Finish). The grid in the basement section, the top line basement adjustments are made based on the total basement area, not including any finished area. The next line of the grid is for "Rooms Below Grade" and adjustments are made for finished basement square footage, and adjustments are not made for bedroom or bathroom count unless specifically noted in the comment section below the grid. The adjustments are made in this configuration to avoid the redundancy of adjusting for finished area on the top line and again under room count.
- Energy Efficient Items are described as Standard or Upgraded. Extra-ordinary energy efficient items such as owned active solar panels/systems, geo-thermal heat, and water collection systems may be identified as line items. Market reaction to these items are researched and adjustments may be applied if warranted.
- The existence of low-voltage power lines is common within residential areas, and will have no impact on value or marketability unless specifically noted.
- This appraisal was prepared in accordance with the requirements of Title XI of FIRREA (1989), as amended (12 U.S. C. 331 et seq.) and any implementing regulations.
- The subject has smoke and carbon monoxide detectors installed at the time of inspection throughout the subject property, unless noted.
- The appraiser followed the Square Footage-Method for Calculating: ANSI® Z765-2021 (American National Standards Institute) Measuring standard - when measuring, calculating and reporting the gross living area and non-gross living areas (basement, additional structures, etc.) of the subject property. See addendum.
- The appraiser E&O policy holder prohibits the inclusion of the E&O declarations page to individual appraisals. A copy of the appraiser E&O is on file with the client/AMC.

COST APPROACH

COST APPROACH TO VALUE (not required by Fannie Mae)

Provide adequate information for the lender/client to replicate the below cost figures and calculations.

Support for the opinion of site value (summary of comparable land sales or other methods for estimating site value) The subject property's land value was derived by one, or a combination of the following: 1) Comparison of current land sales if available. 2) Extraction of site value by deducting depreciated cost. 3) Allocation based on county assessment ratios, which is given the most consideration with the lack of vacant land sales.

ESTIMATED ☐ REPRODUCTION OR ☒ REPLACEMENT COST NEW	OPINION OF SITE VALUE		=$ 15,000
Source of cost data Marshall-Swift/DwellingCost.com	DWELLING	1,067 Sq.Ft. @ $	=$
Quality rating from cost service Avg/4.0 Effective date of cost data 03/26		360 Sq.Ft. @ $	=$
Comments on Cost Approach (gross living area calculations, depreciation, etc.)			=$
See addendum.	Garage/Carport	484 Sq.Ft. @ $	=$
	Total Estimate of Cost-New		=$
	Less Physical	Functional	External
	Depreciation		=$( )
	Depreciated Cost of Improvements		=$
	"As-is" Value of Site Improvements		=$
Estimated Remaining Economic Life (HUD and VA only) 40 Years	**INDICATED VALUE BY COST APPROACH**		**=$**

INCOME

INCOME APPROACH TO VALUE (not required by Fannie Mae)

Estimated Monthly Market Rent $ 0 X Gross Rent Multiplier 0 = $ 0 Indicated Value by Income Approach

Summary of Income Approach (including support for market rent and GRM) N/A. See Addendum.

PUD INFORMATION

PROJECT INFORMATION FOR PUDs (if applicable)

Is the developer/builder in control of the Homeowners' Association (HOA)? ☐ Yes ☐ No Unit type(s) ☐ Detached ☐ Attached

Provide the following information for PUDs ONLY if the developer/builder is in control of the HOA and the subject property is an attached dwelling unit.

Legal Name of Project

Total number of phases Total number of units Total number of units sold

Total number of units rented Total number of units for sale Data source(s)

Was the project created by the conversion of existing building(s) into a PUD? ☐ Yes ☐ No If Yes, date of conversion.

Does the project contain any multi-dwelling units? ☐ Yes ☐ No Data Source

Are the units, common elements, and recreation facilities complete? ☐ Yes ☐ No If No, describe the status of completion.

Are the common elements leased to or by the Homeowners' Association? ☐ Yes ☐ No If Yes, describe the rental terms and options.

Describe common elements and recreational facilities.

Form 1004UAD - "TOTAL" appraisal software by a la mode, inc. - 1-800-ALAMODE

FHA/VA Case No. 053-2178236

RECONCILIATION ADDENDUM

File No. Eastside

Borrower	Belinda Renee Dixon						
Property Address	1925 E 9th St						
City	Pueblo	County	Pueblo	State	CO	Zip Code	81001
Lender/Client	Paramount Residential Mortgage Group, Inc						

RECONCILIATION

Comparable search criteria was sold (closed), active and pending ranch style MLS sales in the Eastside market area, selling within the past 12 months from inspection, with square footage 25% of the subject. The search is then narrowed to the most similar comparable properties in the subject's immediate area and within 1-6 months, if available. The limited sales data produced dated comparable sales which is common due to the lack of similar homes and diversity of the housing stock and large market boundaries as defined by the MLS. If adequate recent market data is not available in the subject's immediate market area, and within 12 months, the search will be expanded as necessary to all home styles to locate the best available and similar comparables.

The Sales Comparison Approach was developed using closed (sold) comparable sales which were compared to the subject property for sales and financing concessions, date of sale, location, site, view, design and appeal, construction methods, age of improvements, condition, GLA, bathroom count, basement area and finish, functional utility, heating and cooling, energy efficient items, garage stalls and other site improvements and amenities. The analysis of market conditions and trends data for the subject's market has been determined to be stable, and the12 month trends have fluctuated but indicate a stable to declining market area with normal seasonal fluctuations and Time/Market adjustments are not made unless there are trend indicators or significant and quantifiable changes in the market/neighborhood.

The appraiser has reviewed the MLS listing sheets/photos, and attempted to confirm with unbiased third-party sources the condition, characteristics, and terms of the comparable sales/listings in this report. In the selection of comparable sales used in this report, each closed comparable and active/pending listing used are considered competitive with the subject, and share some physical and economic similarities to the subject property. The sales used may not be within typical comparable range, bracket all amenities or values or unadjusted values, and have larger than desired adjustments that may exceed typical FNMA percentage ranges. Exact comparable sales may not be available to compare to the subject property, and FNMA, AI, and other GSE's address where sales of properties that are not like the subject property may simply be the best available, and would be the most appropriate for the appraisal analysis.

The adjustments applied to the comparable sales in the comparison analysis grids are market supported and can be based on paired sales analysis, grouped data, sensitivity analysis, and market extracted statistical trend indicators. Due to varying comparable data for market extracted adjustments, some subjectivity has may be applied in addition to interviews with peer appraisers, realtors, and market participants involved with similar use real estate properties. A feature or improvement may return greater than, equal to, less than, or no contributory value depending on confirmable and current market data. If quality/condition, or features/amenities of the comparable sales used differ from subject property and it is determined that no adjustment is warranted, the appraiser will enter a zero (0) for the adjustment. The zero (0) indicates that the appraiser considered the difference and determined that the quality/condition or features/amenity is similar or adjustment should not be made due to insufficient market data.

In the Sales Comparison Approach, Comparables 1-4 are considered among the best representatives of the estimated market value due to their similarities to the subject with respect to age, condition, GLA, and overall comparability. Greatest weight given to Comparables 1 and 2 as they are the most recent sale and proximate sales in the data set with the fewest gross and net adjustments. Comparables 3 and 4 bracket other features of the subject. Comparable 5 is an active listing used to show marketability of competitive homes in the area. No additional comparable or viable active or pending listings identified within this data set.

Based on the principle of substitution, the subject property and selected comparables will compete for the same buyers as they have the same economic and environmental influences, and meets functional and aesthetic expectations of potential market participants. If necessary, adjustments are made to active listings and pending sales (greater than 1%) to account for the difference between the Median sold to list ratio of closed Comparables sales for the entire subject market area as reported in the MLS database. The final value estimate is supported by the comparable data available and conclusions stated above, due to market trends and pricing and demand in this market, and is a reliable indicator of value for the subject property as of the date of inspection. It is reasonable and justifiable to reconcile to the middle of the adjusted range of the comparable sales due the quality and condition of the subject, the offering and contract price of the subject, current market conditions, and active & pending listings in the market that would be competitive with the subject property. The final value estimate expressed herein is an opinion, and is not a guarantee that the indicated value will be achieved at the actual time of sale.

The pending sales contract is the result of negotiations between willing, informed, and motivated, buyers and sellers. The offering data and contract price of the subject property is a piece of data that is relevant to the appraisal problem and can be and indicator of current market activity and buyer and seller motivations. The purchase contract is given secondary consideration and was examined after comparable selection and adjustments and as it is supported by the most similar comparables being a public offering with adequate market exposure.

Line-item adjustments, and Gross and Net adjustments can exceed the 10%; 15%; and 25% guidelines. Occasionally the adjustments will exceed these traditional guidelines due to the quantity and condition of the subject site and improvements in the adjustment process. The appraiser has attempted to locate sales that bracket all features, amenities, and characteristics of the subject, the adjusted and unadjusted comparable sales prices, and the Comparables used were among the best available within the refined data set, as of the date of inspection. The use of dissimilar or non-representative sales or active/pending listings to bracket a particular comparable feature, amenity, or value could result in a misleading value conclusion. This does not imply that subject property is unique within the market area, it promotes the need for wider tolerances within the available comparable data.

The One-Unit Housing entry box on URAR form Page 1 indicates the 'low to high' price range and Predominant Value for SFR homes in the Neighborhood Section. The Predominant Value is for this report is based upon the Median sales price for all SFR sales within the identified market area for the past 12 months and is a continually changing number as real estate markets fluctuate. A wide range of price points within the subject market area is considered normal, and the subjects final value estimate will fall above or below the Predominant Value for the market area, and should never be interpreted that the subject is unique or over/under improved or within the market area. The final value estimate for the subject property will be above or below the predominant value for the residential properties in this market area, as shown on page 1 of the report. The final value estimate for the subject remains within the range of values for the market and refined search criteria and is representative of a typical home within the market area.

Uniform Residential Appraisal Report

This report form is designed to report an appraisal of a one-unit property or a one-unit property with an accessory unit; including a unit in a planned unit development (PUD). This report form is not designed to report an appraisal of a manufactured home or a unit in a condominium or cooperative project.

This appraisal report is subject to the following scope of work, intended use, intended user, definition of market value, statement of assumptions and limiting conditions, and certifications. Modifications, additions, or deletions to the intended use, intended user, definition of market value, or assumptions and limiting conditions are not permitted. The appraiser may expand the scope of work to include any additional research or analysis necessary based on the complexity of this appraisal assignment. Modifications or deletions to the certifications are also not permitted. However, additional certifications that do not constitute material alterations to this appraisal report, such as those required by law or those related to the appraiser's continuing education or membership in an appraisal organization, are permitted.

SCOPE OF WORK: The scope of work for this appraisal is defined by the complexity of this appraisal assignment and the reporting requirements of this appraisal report form, including the following definition of market value, statement of assumptions and limiting conditions, and certifications. The appraiser must, at a minimum: (1) perform a complete visual inspection of the interior and exterior areas of the subject property, (2) inspect the neighborhood, (3) inspect each of the comparable sales from at least the street, (4) research, verify, and analyze data from reliable public and/or private sources, and (5) report his or her analysis, opinions, and conclusions in this appraisal report.

INTENDED USE: The intended use of this appraisal report is for the lender/client to evaluate the property that is the subject of this appraisal for a mortgage finance transaction.

INTENDED USER: The intended user of this appraisal report is the lender/client.

DEFINITION OF MARKET VALUE: The most probable price which a property should bring in a competitive and open market under all conditions requisite to a fair sale, the buyer and seller, each acting prudently, knowledgeably and assuming the price is not affected by undue stimulus. Implicit in this definition is the consummation of a sale as of a specified date and the passing of title from seller to buyer under conditions whereby: (1) buyer and seller are typically motivated; (2) both parties are well informed or well advised, and each acting in what he or she considers his or her own best interest; (3) a reasonable time is allowed for exposure in the open market; (4) payment is made in terms of cash in U. S. dollars or in terms of financial arrangements comparable thereto; and (5) the price represents the normal consideration for the property sold unaffected by special or creative financing or sales concessions* granted by anyone associated with the sale.

*Adjustments to the comparables must be made for special or creative financing or sales concessions. No adjustments are necessary for those costs which are normally paid by sellers as a result of tradition or law in a market area; these costs are readily identifiable since the seller pays these costs in virtually all sales transactions. Special or creative financing adjustments can be made to the comparable property by comparisons to financing terms offered by a third party institutional lender that is not already involved in the property or transaction. Any adjustment should not be calculated on a mechanical dollar for dollar cost of the financing or concession but the dollar amount of any adjustment should approximate the market's reaction to the financing or concessions based on the appraiser's judgment.

STATEMENT OF ASSUMPTIONS AND LIMITING CONDITIONS: The appraiser's certification in this report is subject to the following assumptions and limiting conditions:

1. The appraiser will not be responsible for matters of a legal nature that affect either the property being appraised or the title to it, except for information that he or she became aware of during the research involved in performing this appraisal. The appraiser assumes that the title is good and marketable and will not render any opinions about the title.

2. The appraiser has provided a sketch in this appraisal report to show the approximate dimensions of the improvements. The sketch is included only to assist the reader in visualizing the property and understanding the appraiser's determination of its size.

3. The appraiser has examined the available flood maps that are provided by the Federal Emergency Management Agency (or other data sources) and has noted in this appraisal report whether any portion of the subject site is located in an identified Special Flood Hazard Area. Because the appraiser is not a surveyor, he or she makes no guarantees, express or implied, regarding this determination.

4. The appraiser will not give testimony or appear in court because he or she made an appraisal of the property in question, unless specific arrangements to do so have been made beforehand, or as otherwise required by law.

5. The appraiser has noted in this appraisal report any adverse conditions (such as needed repairs, deterioration, the presence of hazardous wastes, toxic substances, etc.) observed during the inspection of the subject property or that he or she became aware of during the research involved in performing the appraisal. Unless otherwise stated in this appraisal report, the appraiser has no knowledge of any hidden or unapparent physical deficiencies or adverse conditions of the property (such as, but not limited to, needed repairs, deterioration, the presence of hazardous wastes, toxic substances, adverse environmental conditions, etc.) that would make the property less valuable, and has assumed that there are no such conditions and makes no guarantees or warranties, express or implied. The appraiser will not be responsible for any such conditions that do exist or for any engineering or testing that might be required to discover whether such conditions exist. Because the appraiser is not an expert in the field of environmental hazards, this appraisal report must not be considered as an environmental assessment of the property.

6. The appraiser has based his or her appraisal report and valuation conclusion for an appraisal that is subject to satisfactory completion, repairs, or alterations on the assumption that the completion, repairs, or alterations of the subject property will be performed in a professional manner.

Form 1004UAD - "TOTAL" appraisal software by a la mode, inc. - 1-800-ALAMODE

APPRAISER'S CERTIFICATION: The Appraiser certifies and agrees that:

1. I have, at a minimum, developed and reported this appraisal in accordance with the scope of work requirements stated in this appraisal report.

2. I performed a complete visual inspection of the interior and exterior areas of the subject property. I reported the condition of the improvements in factual, specific terms. I identified and reported the physical deficiencies that could affect the livability, soundness, or structural integrity of the property.

3. I performed this appraisal in accordance with the requirements of the Uniform Standards of Professional Appraisal Practice that were adopted and promulgated by the Appraisal Standards Board of The Appraisal Foundation and that were in place at the time this appraisal report was prepared.

4. I developed my opinion of the market value of the real property that is the subject of this report based on the sales comparison approach to value. I have adequate comparable market data to develop a reliable sales comparison approach for this appraisal assignment. I further certify that I considered the cost and income approaches to value but did not develop them, unless otherwise indicated in this report.

5. I researched, verified, analyzed, and reported on any current agreement for sale for the subject property, any offering for sale of the subject property in the twelve months prior to the effective date of this appraisal, and the prior sales of the subject property for a minimum of three years prior to the effective date of this appraisal, unless otherwise indicated in this report.

6. I researched, verified, analyzed, and reported on the prior sales of the comparable sales for a minimum of one year prior to the date of sale of the comparable sale, unless otherwise indicated in this report.

7. I selected and used comparable sales that are locationally, physically, and functionally the most similar to the subject property.

8. I have not used comparable sales that were the result of combining a land sale with the contract purchase price of a home that has been built or will be built on the land.

9. I have reported adjustments to the comparable sales that reflect the market's reaction to the differences between the subject property and the comparable sales.

10. I verified, from a disinterested source, all information in this report that was provided by parties who have a financial interest in the sale or financing of the subject property.

11. I have knowledge and experience in appraising this type of property in this market area.

12. I am aware of, and have access to, the necessary and appropriate public and private data sources, such as multiple listing services, tax assessment records, public land records and other such data sources for the area in which the property is located.

13. I obtained the information, estimates, and opinions furnished by other parties and expressed in this appraisal report from reliable sources that I believe to be true and correct.

14. I have taken into consideration the factors that have an impact on value with respect to the subject neighborhood, subject property, and the proximity of the subject property to adverse influences in the development of my opinion of market value. I have noted in this appraisal report any adverse conditions (such as, but not limited to, needed repairs, deterioration, the presence of hazardous wastes, toxic substances, adverse environmental conditions, etc.) observed during the inspection of the subject property or that I became aware of during the research involved in performing this appraisal. I have considered these adverse conditions in my analysis of the property value, and have reported on the effect of the conditions on the value and marketability of the subject property.

15. I have not knowingly withheld any significant information from this appraisal report and, to the best of my knowledge, all statements and information in this appraisal report are true and correct.

16. I stated in this appraisal report my own personal, unbiased, and professional analysis, opinions, and conclusions, which are subject only to the assumptions and limiting conditions in this appraisal report.

17. I have no present or prospective interest in the property that is the subject of this report, and I have no present or prospective personal interest or bias with respect to the participants in the transaction. I did not base, either partially or completely, my analysis and/or opinion of market value in this appraisal report on the race, color, religion, sex, age, marital status, handicap, familial status, or national origin of either the prospective owners or occupants of the subject property or of the present owners or occupants of the properties in the vicinity of the subject property or on any other basis prohibited by law.

18. My employment and/or compensation for performing this appraisal or any future or anticipated appraisals was not conditioned on any agreement or understanding, written or otherwise, that I would report (or present analysis supporting) a predetermined specific value, a predetermined minimum value, a range or direction in value, a value that favors the cause of any party, or the attainment of a specific result or occurrence of a specific subsequent event (such as approval of a pending mortgage loan application).

19. I personally prepared all conclusions and opinions about the real estate that were set forth in this appraisal report. If I relied on significant real property appraisal assistance from any individual or individuals in the performance of this appraisal or the preparation of this appraisal report, I have named such individual(s) and disclosed the specific tasks performed in this appraisal report. I certify that any individual so named is qualified to perform the tasks. I have not authorized anyone to make a change to any item in this appraisal report; therefore, any change made to this appraisal is unauthorized and I will take no responsibility for it.

20. I identified the lender/client in this appraisal report who is the individual, organization, or agent for the organization that ordered and will receive this appraisal report.

Form 1004UAD - "TOTAL" appraisal software by a la mode, inc. - 1-800-ALAMODE

Uniform Residential Appraisal Report

File # 053-2178236 Eastside

21. The lender/client may disclose or distribute this appraisal report to: the borrower; another lender at the request of the borrower; the mortgagee or its successors and assigns; mortgage insurers; government sponsored enterprises; other secondary market participants; data collection or reporting services; professional appraisal organizations; any department, agency, or instrumentality of the United States; and any state, the District of Columbia, or other jurisdictions; without having to obtain the appraiser's or supervisory appraiser's (if applicable) consent. Such consent must be obtained before this appraisal report may be disclosed or distributed to any other party (including, but not limited to, the public through advertising, public relations, news, sales, or other media).

22. I am aware that any disclosure or distribution of this appraisal report by me or the lender/client may be subject to certain laws and regulations. Further, I am also subject to the provisions of the Uniform Standards of Professional Appraisal Practice that pertain to disclosure or distribution by me.

23. The borrower, another lender at the request of the borrower, the mortgagee or its successors and assigns, mortgage insurers, government sponsored enterprises, and other secondary market participants may rely on this appraisal report as part of any mortgage finance transaction that involves any one or more of these parties.

24. If this appraisal report was transmitted as an "electronic record" containing my "electronic signature," as those terms are defined in applicable federal and/or state laws (excluding audio and video recordings), or a facsimile transmission of this appraisal report containing a copy or representation of my signature, the appraisal report shall be as effective, enforceable and valid as if a paper version of this appraisal report were delivered containing my original hand written signature.

25. Any intentional or negligent misrepresentation(s) contained in this appraisal report may result in civil liability and/or criminal penalties including, but not limited to, fine or imprisonment or both under the provisions of Title 18, United States Code, Section 1001, et seq., or similar state laws.

SUPERVISORY APPRAISER'S CERTIFICATION: The Supervisory Appraiser certifies and agrees that:

1. I directly supervised the appraiser for this appraisal assignment, have read the appraisal report, and agree with the appraiser's analysis, opinions, statements, conclusions, and the appraiser's certification.

2. I accept full responsibility for the contents of this appraisal report including, but not limited to, the appraiser's analysis, opinions, statements, conclusions, and the appraiser's certification.

3. The appraiser identified in this appraisal report is either a sub-contractor or an employee of the supervisory appraiser (or the appraisal firm), is qualified to perform this appraisal, and is acceptable to perform this appraisal under the applicable state law.

4. This appraisal report complies with the Uniform Standards of Professional Appraisal Practice that were adopted and promulgated by the Appraisal Standards Board of The Appraisal Foundation and that were in place at the time this appraisal report was prepared.

5. If this appraisal report was transmitted as an "electronic record" containing my "electronic signature," as those terms are defined in applicable federal and/or state laws (excluding audio and video recordings), or a facsimile transmission of this appraisal report containing a copy or representation of my signature, the appraisal report shall be as effective, enforceable and valid as if a paper version of this appraisal report were delivered containing my original hand written signature.

APPRAISER

Signature
Name Scott Hedrick
Company Name Alpine Appraisal Services, Inc.
Company Address PO Box 8781
Pueblo, CO 81008
Telephone Number 719-544-7178
Email Address alpineappraisal1@gmail.com
Date of Signature and Report 03/30/2026
Effective Date of Appraisal 03/27/2026
State Certification # CR40035528
or State License #
or Other (describe) State #
State CO
Expiration Date of Certification or License 12/31/2027

ADDRESS OF PROPERTY APPRAISED
1925 E 9th St
Pueblo, CO 81001

APPRAISED VALUE OF SUBJECT PROPERTY $ 196,000

LENDER/CLIENT
Name No AMC
Company Name Paramount Residential Mortgage Group, Inc
Company Address 1265 Corona Pointe Court, Suite 301, Corona, CA 92879
Email Address

SUPERVISORY APPRAISER (ONLY IF REQUIRED)

Signature
Name
Company Name
Company Address
Telephone Number
Email Address
Date of Signature
State Certification #
or State License #
State
Expiration Date of Certification or License

SUBJECT PROPERTY

☐ Did not inspect subject property
☐ Did inspect exterior of subject property from street
Date of Inspection
☐ Did inspect interior and exterior of subject property
Date of Inspection

COMPARABLE SALES

☐ Did not inspect exterior of comparable sales from street
☐ Did inspect exterior of comparable sales from street
Date of Inspection

Form 1004UAD - "TOTAL" appraisal software by a la mode, inc. - 1-800-ALAMODE

Addendum

File No. Eastside

Borrower	Belinda Renee Dixon						
Property Address	1925 E 9th St						
City	Pueblo	County	Pueblo	State	CO	Zip Code	81001
Lender/Client	Paramount Residential Mortgage Group, Inc						

APPRAISAL ADDENDUM

This addendum clarifies and explains the scope of work employed in this appraisal and further explains the details and the development process, and is known as 'Clarification of Assumptions, Limiting Conditions, Certifications, and Scope of Work addendum'.

SCOPE OF WORK COMMENTS

As required by Fannie Mae, Freddie Mac, HUD/FHA, the Department of Veterans Affairs, and other users of appraisal services, this appraisal report contains attachments, exhibits, maps, and other information critical for the client and intended user to recognize the scope of work and developed value opinion. The scope of the appraisal is to estimate market value of the subject property identified on the URAR and to prepare an appraisal report of my findings and conclusions. The scope of work is defined by Uniform Standards of Professional Appraisal Practice, as published by the Appraisal Foundation; and the amount and type of information researched and the analysis applied in the assignment.

The Scope of Work is based on key assignment elements including the purpose, intended use, the intended users of the appraisal. The purpose and definition of value provide the basis for determining what kind of information and analysis is to be included in the process. The intended use and users provide an objective basis for deciding how much information and analysis to include in the development and reporting process. These elements are used to identify the relevant property characteristics, the effective date of value and the general assignment conditions, including the extent of the reporting process. There were no additional supplemental standards or assignment conditions agreed upon with the client prior to accepting the assignment unless specifically noted. The Scope of Work outlined here and within the report is considered representative of what typical users of appraisal services would require and what appraisal peers would provide as reasonable, acceptable, and sufficient for credible assignment results with the client's intended use/purpose of the appraisal report. In the development, completion, and delivery of this appraisal document, the client is directed to USPAP Standards Rule comment 1-1 (c), *perfection is impossible to attain, and competence does not require perfection*.

INTENDED USER COMMENTS

The only intended user is the Lender/Client as identified on the URAR Form contained in the report. There are no other intended users are identified by the appraiser or the client at the time of assignment engagement or acceptance. Homeowners, purchasers, sellers, borrowers, agents, or coordinators are NOT intended users of this report. Because a party other than the client, may have paid for appraisal services either directly or indirectly, does not make them an intended user. Any party receiving a copy of this report from the client does not become a party to the appraiser client relationship. Parties who receive a copy of this appraisal or as an appraisal review report as a consequence of disclosure requirements applicable to an appraiser's client, do not become intended users of the report unless they were specifically identified as intended users by the appraiser or client at the time of the assignment.

INTENDED USE COMMENTS

The intended use is to evaluate the property that is the subject of this appraisal for a mortgage finance transaction, subject to the stated scope of work, purpose of the appraisal, reporting requirements of this appraisal form and client, and definition of market value. The report is prepared for the specific use of the client to address and meet the needs of the client per the stated scope of work. No other use of the appraisal is intended, contemplated, or authorized by the appraiser. Regardless of the means of possession of the report, this appraisal may not be used or relied upon for any use other than the stated use, by the intended users. The use of this document in part or in its entirety by any other party than the identified client(s) without consent of the client, appraiser, or appraiser's firm is prohibited and voids this document. Any discussion or consultation with anyone other than the identified intended user regarding this appraisal report will be done so for a fee, with written consent obtained from the lender/client noted in this report prior to appraiser engagement for services.

HIGHEST BEST USE

The concept of highest and best use (HBU) of the subject property and its improvements represent the premise upon which value is based. The four criteria the highest and best use are legal permissibility, physical possibility, financial feasibility, and maximum productivity. The appraisal problem did not warrant an intensive highest and best use study given the nature of the subject real estate, as the appraiser's conclusion of highest and best use was based on logic and observed evidence. The appraiser is not aware of any hidden conditions, easements, or encroachments that might impact any intended or continued use, or build-ability of the subject. The subject appears to be a legally permissible use based on its current reported zoning from assessor records. The subject's lot size and shape allow the present structure and indicate adequate utilization of the improvements. Based on current market conditions, the existing structure as a single-family residence is its financially feasible and maximally productive use. The highest and best use 'as vacant' would be to construct a single-family residential structure to conform within the subject market area. The highest and best use 'as-improved' is continued use as a single-family home. Forecasts of effective demand for the highest and best use or the best fitting and most appropriate use were based on the best available data concerning the residential market as of the date of inspection.

ZONING COMMENTS

The reported zoning determination as reported from county records appears to be compliant and reflects current highest and best use for subject property, based on research of the subject's market area and the inspection of subject property. The appraiser employs the *Extraordinary Assumption* that the reported zoning from online county records and other available sources is accurate, conforming, and legal as of the date of inspection. The reported zoning and observation of compliance are intended only in the most general sense, as zoning and building ordinances vary significantly with different designations and legal uses. The scope of the report does not include a comparison of every potentially significant characteristic of the subject property's site and improvements or potential externalities relating to zoning and building ordinances. The Appraiser is not a surveyor nor an expert in legal matters, and this appraisal cannot be relied upon to determine zoning designation for the subject property, market area, or comparable sales used.

SITE COMMENTS

Site adjustments are not necessary when location and functional utility are considered similar. Lot size adjustments are made when differences in utility are market driven. There were no apparent easements or encroachments observed by the appraiser that might affect the overall value of the subject property. An *Extraordinary Assumption* is employed that the subject property site has typical utility easements and property rights which do not affect the value or marketability. The possibility of recorded or unrecorded easements or property rights on the property may exist that were not disclosed to the appraiser. The appraiser does not investigate nor is qualified to discover easements, encroachments, restrictions, property rights, or covenants that may exist for the subject property. The appraiser is not required to conduct nor is qualified to conduct a legal survey of the property or a formal title search. A current Improvement Location Certificate (ILC) or boundary survey may reveal encroachments, unknown easements, potential zoning discrepancies or violations, or other matters of interest to the intended user. It is always recommended that the client obtain the service of qualified professionals to perform their due diligence to discover any property rights, restrictions, covenants, easements, public or private utilities, or encroachments which may exist on or near the subject property.

MARKET CONDITIONS

The local population has increased over the past 12 years resulting in a steady demand for real estate. The statistical 'Average and Median' Single Family Residential (SFR) pricing in Pueblo County is stabilizing over the past 24 months after years of unprecedented growth through the pandemic-ear surge. Market trends and real estate activity has remained steady into spring throughout most sub-market areas. New construction starts and sales have tapered over the past 2 years with higher labor and material costs which have kept new home pricing at higher levels. Housing affordability remains flat due to steady sales prices, inflation, and fluctuating mortgage rates which have all reduced effective consumer purchasing power. This has pushed potential buyers into rental markets and has increased rental demand with significant increases in monthly rents. New and existing SFR listings entering the market have seen price reductions, increased seller concessions, builder incentives in new construction, discounts, and rate buy-downs which have become common in the market to incentivise potential buyers.

Addendum

File No. Eastside

Borrower	Belinda Renee Dixon						
Property Address	1925 E 9th St						
City	Pueblo	County	Pueblo	State	CO	Zip Code	81001
Lender/Client	Paramount Residential Mortgage Group, Inc						

Marketing and exposure times are stable to increasing, with an increase in listings, fewer offers, and reductions in listing prices. Countywide within the past 12 months, Single Family new listings increased +5.5%; sold listings decreased -11.3%; Median sales price decreased -1.5% to $320,250. Days on Market until sale (DOM) increased +1.7% to 119 days; the Inventory of Homes for Sale decreased -12.0% to 758 homes; and the Months Supply of Inventory decreased -9.8% to 4.6 months. Percentage of List price received increased +0.1% to 97.6%. The analyses conclusions in this appraisal are based on the data available to the appraiser at the time of the assignment and applied only as of the effective date indicated. No analyses, opinions, or conclusions contained in this appraisal should be construed as predictions of future market conditions or value trends. *Statistics herein reflect all of Pueblo County, and are not market area or sub-market area specific.* (Statistics Source-Colorado Association of Realtors MLS Data; 2/2026).

EXPOSURE TIME

An estimate of reasonable time for the subject property was based on the following when possible using statistical information about DOM (Days on Market) of similar properties within the market area. Exposure time is defined by USPAP as the estimated length of time that the property interest being appraised would have been offered on the market prior to the hypothetical consummation of a sale at market value on the effective date of the appraisal. Exposure time is a retrospective opinion based on an analysis of past events assuming a competitive and open market. It is different from marketing time which is the amount of time it might take to sell the property if it was put on the market on the effective date of this report. The subject is considered typical within the market and the estimate of market value was based on the exposure time of 30-180 days. Based upon MLS information of sold homes within the market area, and if competently and aggressively marketed, the subject property should sell at or near the appraised value within 1-6 months from the time marketing began. Marketing times reflect 1-6 months, but can reach past 12 months for unique, unusual, or difficult to market properties.

THE VALUATION PROCESS

The appraiser is made every reasonable effort to employ the three recognized approaches to value. The *Cost Approach* was considered but not developed as current labor and construction material costs do not support current market trends and do not reflect motivations and reactions of market participants. The *Income Approach* to value was omitted as the subject is not currently rented and the lack of rental data to develop a reliable Gross Rent Multiplier. The lack of weighting or development of the Cost Approach or Income Approach does not reduce the reliability of the estimated market value for the subject property. The most widely used and best approach to value is the *Sales Comparison Approach*, which estimates the subject market value by comparing the most similar sold properties in the subject's market area and the individual value indications from comparable sales, which are the most similar to the physical and economic characteristics of the subject property, and are adjusted accordingly. Most weight has been given to the Sales Comparison Approach in the overall value conclusion for the subject property.

The Sales Comparison Approach derives a value indication for the subject property by comparing sales of similar properties to the property being appraised, identifying appropriate units of comparison, and adjusting the comparable sales based on relevant, market-derived elements of comparison. This approach estimates the subject's value by comparing the most similar sold, active, and pending properties that would compete with the subject property and appeal to the typical buyer from within or near the subject's market area. The comparable sales are adjusted to reflect the physical, locational, and financial characteristics of the subject. The adjustments are rounded to the nearest $100, and the comparable sales as adjusted provide a reliable market value indicator for the property being appraised. Typically, the most recently sold, locationally proximate, and most physically similar (GLA/square footage) comparables are given the greatest consideration and weighting in the final value estimate. Pueblo County Assessor's value of the subject property is conducted for tax purposes only and may not reflect current market trends or have any relationship to actual market value.

QUALITY AND CONDITION COMMENTS

The Universal Appraisal Dataset (UAD) format requires the use of a Quality and Condition rating system for the subject property and comparable sales. (See glossary for UAD definition of each Rating). The ratings do not change for every nuance of the property's condition that merits an adjustment. Quality and Condition ratings of the subject and comparable sales may be similar or slightly vary, however perceptible differences can exist due to cosmetics, or updating/remodeling, yet not significant enough to warrant a difference in rating level. A comparable with the same Quality or Condition may fall within the definition of the rating range, but still may warrant adjustments according to market reaction to Quality and Condition variances on a property specific basis. Additionally, the comparable sales may have different Quality and Condition ratings from the subject but are within the same definition of the rating range, and not warrant an adjustment. Fannie Mae's UAD FAQs #26 acknowledges that even though a comparable sale may have the same rating as the subject, quality and condition adjustments may be made if warranted. When condition adjustments are applied, they reflect differences in updating or remodeling or general maintenance levels. Adjustments reflect potential market reaction to general differences in the quality and condition rating and are not based on the cost of needed repairs or recent updating.

COMPARABLE SALES OVER 6 MONTHS OLD & 1 MILE PROXIMITY

Ideally all comparables would have sold within 1 to 6 months from the date of inspection, and be located under 1 mile from the subject. There are appraisal situations where a lack of similar comparable sales data or market areas with minimal sales within the last 6 months making it necessary to expand the comparable search to all property types within the same market area, or to similar and competing market areas. This can produce comparable sales greater than 6 months old and exceed the refined search criteria to attempt to bracket the features, amenities, and overall market appeal of the subject property. Market areas and neighborhoods are not confined to specific distances from the subject property, and is not always bound by streets, landmarks, or geographic boundaries. Market areas and neighborhoods as defined by the MLS can exceed 1 mile in area, and the comparables used may be competitive and have similar market appeal and utility as the subject property. Potential market participants for this type of property are willing to consider those properties, or properties from similar and competing nearby markets. Most neighborhoods are competitive and adjustments for location are typically not required unless noted. The possibility of more recent or proximate sales may exist to the subject property and does not indicate that those sales were overlooked, the best available, or comparable to the subject property. This does not equate to a lack of overall demand or marketability for the subject or market area, but promotes the need for wider tolerances in the data and comparable selection process.

STRUCTURAL/MECHANICAL/ENVIRONMENTAL COMMENT

USPAP defines "Personal Inspection" as: "a physical observation performed to assist in identifying relevant property characteristics in a valuation service." For the purposes of this appraisal report, the term 'Inspection' or 'Inspected' within this appraisal report shall mean 'viewed' or 'observed'. The appraiser can only view reasonably accessible areas of the property to observe the quality, condition, general componentry, and other potential elements of value as the appraiser will not move or disturb anything that obstructs access or visibility. The purpose of the appraiser's inspection/observation is to perform a general economic evaluation of the subject property only, and is not a property formal inspection. The appraisal observation is not technically exhaustive and does not guarantee the subject property is free of defects, structural or environmental issues, deferred maintenance, or externalities. The appraiser and the appraisal company assume no liability for any costs incurred to repair, remediate, or correct any potential deficiencies present in the subject property mechanical systems, plumbing and electrical systems, structural, safety, environmental, externalities, or other components. Acceptance and use of this document by the user/client/homeowner waives any claims for consequential, punitive, exemplary, or extra-contractual damages.

No warranty of the subject is given or implied in the performance of this appraisal. The appraiser is not qualified and does not warrant the mechanical, electrical, plumbing, structural components, roof, foundation, or any condition of any part or whole of the subject property. The appraiser is not an expert in the identification of adverse environmental factors such as radon gas, lead based paint, mold, fungi, asbestos, formaldehyde, ground water contamination, underground storage tanks, etc. The observation and reporting of these items are outside the scope of this assignment and the appraiser assumes no responsibility or liability for such conditions or for any expertise or knowledge required to discover or report them. Items of material interest to the client/intended user will require an expert in that field to be employed and may require a certified professional for discovery, removal, or special containment. The identified user/client/homeowner is encouraged to have the subject property examined by a qualified home inspector, contractor, structural engineer, surveyor, or specialized professionals to make a thorough assessment of the systems and elements to ensure the subject property is acceptable to all parties.

Addendum

File No. Eastside

Borrower	Belinda Renee Dixon						
Property Address	1925 E 9th St						
City	Pueblo	County	Pueblo	State	CO	Zip Code	81001
Lender/Client	Paramount Residential Mortgage Group, Inc						

The appraiser is not an expert or professional in construction materials, methods, techniques, structural components, or their use within single and multi-family homes. The *Extraordinary Assumption* is used in that the subject property's construction including mechanical, electrical and plumbing systems, appliances and necessary componentry (existing or proposed) are/will be in proper working condition and meet local codes. The *Extraordinary Assumption* is used that there are no structural or environmental issues hidden by flooring, walls, ceilings, or any other part of the home or property. The *Extraordinary Assumption* is employed that the roof has minimum 2 year remaining physical life and provides reasonable future utility, durability, and economy of maintenance.

SQUARE FOOTAGE COMMENTS

FNMA requires the following use for the Square Footage-Method for calculating: ANSI Z765-2021 (American National Standards Institute) Measuring standard for measuring, calculating, and reporting gross living area (GLA) and non-GLA areas of subject properties for appraisal requiring interior and exterior inspections for loans sold to Fannie Mae. The subject improvement and any additional structures (attached or non-attached to the subject improvement) were measured utilizing the above standard. The appraiser has made a sketch of the improvements taken from those measurements of the exterior of the structure in accordance with ANSI measurement standards. For detached single family homes, the finished square of each level is the sum of finished areas on that level measured at floor level to the exterior finished surface of the outside walls. The above-grade finished square footage of a house is the sum of the finished areas on the levels that are entirely above grade. Below grade (basement) finished square footage is the sum of finished areas on the levels that are entirely or partially below grade.

The square footage noted in this appraisal has been utilized as a tool for comparison only and should be considered as an estimation. One should rely on independent measurements from qualified professionals for the square footage of the subject property and the comparable sales for exact measurements. Occasionally there are unique floor plans with limited accessibility making measurements difficult to obtain, and minor variations from public sources will have no effect on the final value estimate unless noted. The appraiser notes that data and information from public building records, assessor records, agents, information supplied by owners, and other information sources may differ with respect to the square footage of the building structure.

LOCATION AND FLOOD MAPS

The location map and flood map (if applicable) contained in this appraisal are provided by A La Mode and Interflood® Appraisal Software Company, and their accuracy and cannot be guaranteed. The appraiser assumes no responsibility for the accuracy of the property location maps, assessor and CRS data maps, or FEMA data. The appraiser makes no warranty expressed or implied, regarding these determinations and results. The appraiser recommends a flood certification be done in the event of any information discrepancy or conflicting information regarding flood zones and location maps.

PHOTOGRAPHS

The appraiser discloses that some comparable photos utilized in this report may have been taken earlier than the date of this appraisal due to being utilized for prior appraisals completed at earlier dates. These photos were taken around and or near their closing dates and best represent the properties conditions when sold. Occasionally photos of the improvements provided can be limited by landscaping, topography, and general access to the public, making it necessary to acquire the comparable photos from previous appraisal files or from other information sources. In most cases the photos are taken from a public street and provide useful information to the reader regarding the landscaping, topography, and general appeal of the properties. Due to private property laws, the protective nature of property owners, insurance issues/liabilities, and the safety and security concerns for the appraiser, it is the policy of the appraisal company to limit the taking of comparable sale photographs to those available from public roads and streets. *Photographs will not be taken when people are in front of or near the subject property or comparable sales, and previous appraisal or file photos will be used to protect the safety of the appraiser.*

APPRAISER INDEPENDENCE

No employee, director, officer, or agent of the Seller, or any other third party acting as joint venture partner, independent contractor, appraisal company, appraisal management company, or partner on behalf of the Buyer or Seller has influenced or attempted to influence the development, reporting, result, or review of this assignment through coercion, extortion, collusion, compensation, instruction, inducement, intimidation, bribery or in any other manner. I represent and warrant that, as of the date of this Report, I have had no contact with anyone that would in any way be construed as a violation of the *Appraiser Independence Requirements*; the only individuals with whom I have had any contact regarding my preparation of this Report have been limited to the AMC or representatives of the client identified on the URAR, and the designated individual required for entry into the subject property for purposes of inspection. No agent or representative of lender/client whose name appears on the first page of this report has contacted me directly and I am obligated to and would report any such unauthorized contact, whether in person, by phone, or electronically, to the client immediately.

The opinion of Market Value is not based on bias, prejudice, or stereotype, or homogeneity of the market area (such as the required Census Tract data). The developed conclusions and reported opinion of value is not based upon any protected classes of current or future inhabitants of a market area. The subject property current or future occupants are not researched or included in this analysis, or used as a basis to determine value or market characteristics. The Final Value Estimate/Opinion of Market Value in this report is not based on or relative to any protected personal characteristics per federal, state, or local laws or regulations of any persons connected in any way to this appraisal document.

PRIVACY NOTICE

In the course of performing appraisals, nonpublic information may be collected and provided to the appraiser about the client, borrower, seller, renter, or real estate transaction. The appraiser does not disclose any non-public information in the course of engagement with clients to non-affiliated third parties except as necessary or as required by law. The information contained in this appraisal report is privileged, confidential, and otherwise protected from disclosure. No part of the contents of this report shall be conveyed to any person or entity, other than the appraiser's firm's client through any medium without the expressed written consent and approval of the author, particularly as to value conclusions, the identity of the appraiser or firm in which the appraiser is employed by, or any reference to any professional organizations or designations in which the appraiser is affiliated. If you are not the client or intended user identified in the appraisal report, you are prohibited from copying, disclosing, distributing, disseminating, and/or using any information contained in this appraisal report in any manner. Use of this report or any data in part or whole by any person or business, without written permission of the appraiser, redacts the appraisal certification and any assumed accuracy, reliability, or responsibility, or liability of the certified appraisal report and appraiser. Unauthorized reliance and use of this report in any way regardless of how acquired by any party, other than the identified client in specified in this report by the Appraiser, is prohibited.

The report and information supplied by Scott Hedrick of Alpine Appraisal Services, Inc is a culmination of education, professional experience, personal investigation, and intellectual property, which shall at all times remain the property of Alpine Appraisal Services, Inc/Scott Hedrick. No person, company, institution, or entity shall be entitled to disseminate, data mine, or utilize any component or part of this report, including, but not limited to, market data and analysis, any conclusions, valuations, opinions, or other data compilations herein.

FHA/VA Case No. 053-2178236

053-2178236

Market Conditions Addendum to the Appraisal Report

File No. Eastside

The purpose of this addendum is to provide the lender/client with a clear and accurate understanding of the market trends and conditions prevalent in the subject neighborhood. This is a required addendum for all appraisal reports with an effective date on or after April 1, 2009.

Property Address 1925 E 9th St City Pueblo State CO ZIP Code 81001

Borrower Belinda Renee Dixon

Instructions: The appraiser must use the information required on this form as the basis for his/her conclusions, and must provide support for those conclusions, regarding housing trends and overall market conditions as reported in the Neighborhood section of the appraisal report form. The appraiser must fill in all the information to the extent it is available and reliable and must provide analysis as indicated below. If any required data is unavailable or is considered unreliable, the appraiser must provide an explanation. It is recognized that not all data sources will be able to provide data for the shaded areas below; if it is available, however, the appraiser must include the data in the analysis. If data sources provide the required information as an average instead of the median, the appraiser should report the available figure and identify it as an average. Sales and listings must be properties that compete with the subject property, determined by applying the criteria that would be used by a prospective buyer of the subject property. The appraiser must explain any anomalies in the data, such as seasonal markets, new construction, foreclosures, etc.

MARKET RESEARCH & ANALYSIS

Inventory Analysis	Prior 7–12 Months	Prior 4–6 Months	Current – 3 Months	Overall Trend		
Total # of Comparable Sales (Settled)	7	4	3	☐ Increasing	☐ Stable	☒ Declining
Absorption Rate (Total Sales/Months)	1.17	1.33	1.00	☐ Increasing	☒ Stable	☐ Declining
Total # of Comparable Active Listings	Unavailable	Unavailable	11	☐ Declining	☐ Stable	☐ Increasing
Months of Housing Supply (Total Listings/Ab.Rate)	Unavailable	Unavailable	11.0	☐ Declining	☐ Stable	☐ Increasing

Median Sale & List Price, DOM, Sale/List %	Prior 7–12 Months	Prior 4–6 Months	Current – 3 Months	Overall Trend		
Median Comparable Sale Price	159,000	202,950	175,000	☐ Increasing	☒ Stable	☐ Declining
Median Comparable Sales Days on Market	66	88	53	☐ Declining	☒ Stable	☐ Increasing
Median Comparable List Price	Unavailable	Unavailable	199,900	☐ Increasing	☐ Stable	☐ Declining
Median Comparable Listings Days on Market	Unavailable	Unavailable	59	☐ Declining	☐ Stable	☐ Increasing
Median Sale Price as % of List Price	96.84	100	92.59	☐ Increasing	☒ Stable	☐ Declining
Seller-(developer, builder, etc.)paid financial assistance prevalent? ☒ Yes ☐ No				☐ Declining	☒ Stable	☐ Increasing

Explain in detail the seller concessions trends for the past 12 months (e.g., seller contributions increased from 3% to 5%, increasing use of buydowns, closing costs, condo fees, options, etc.). Seller contributions are considered customary and typical within the subject's market area, and are most prevalent in sales of homes that are being sold through Conventional, FHA, VA, USDA, and CHAFA loan programs. These contributions can range from 1-6% of the purchase price. Although seller concessions maybe deemed as typical, comparables are adjusted for concessions greater than 4% of the list price, or for any obvious creative financing that may have impacted the purchase price. Current market trends indicate that seller concessions have shown to have a minor effect on the sales prices of homes.

Are foreclosure sales (REO sales) a factor in the market? ☒ Yes ☐ No If yes, explain (including the trends in listings and sales of foreclosed properties).

The market area is experiencing a low rate of REO, short sales, and bank-owned transactions at this time and they represent a low amount of sales and listings in the market area over the past 12 months. Any REO sales in the area are typically SFR homes being purchased by first time buyers or investors who are rehabilitating them and selling the homes at prices more reflective of current market values. They do not dictate current pricing in the market area, however they receive larger discounts for liquidation purposes making offering and selling prices vary. An accurate percentage of REO sales compared to market sales is difficult to obtain, as the local MLS service does not track or records this type of statistical data at this time.

Cite data sources for above information. The Market Conditions Addenda was completed with data by Pueblo Association of REALTORS MLS. The appraiser is analyzing only COMPARABLE sales and listings from the refined data set within the past year from the date of inspection in the subject market area. (See addendum search criteria). This data will differ from the Neighborhood Section of the URAR. The MLS does not calculate any the 4-6 month and 7-12 month data.

Summarize the above information as support for your conclusions in the Neighborhood section of the appraisal report form. If you used any additional information, such as an analysis of pending sales and/or expired and withdrawn listings, to formulate your conclusions, provide both an explanation and support for your conclusions.

Based on the above search criteria, supply and demand of similar Comparable homes appears over-supplied within the 3 month data set. The statistical results in the 1004MC for the various periods can be affected by REO sales, seasonal and local economic conditions that are constantly changing throughout each period, rendering the trend conclusions on the 1004MC less reliable and subject to factors not addressed by the 1004MC form. The trend information shown on the form are not reflective of the entire market area as a whole, and may not be reflective of current or future changes in market trends. With this limited data, there is not enough statistical data form which to conclude any real market trends for a accurate analysis.

CONDO/CO-OP PROJECTS

If the subject is a unit in a condominium or cooperative project , complete the following: **Project Name:**

Subject Project Data	Prior 7–12 Months	Prior 4–6 Months	Current – 3 Months	Overall Trend		
Total # of Comparable Sales (Settled)				☐ Increasing	☐ Stable	☐ Declining
Absorption Rate (Total Sales/Months)				☐ Increasing	☐ Stable	☐ Declining
Total # of Active Comparable Listings				☐ Declining	☐ Stable	☐ Increasing
Months of Unit Supply (Total Listings/Ab.Rate)				☐ Declining	☐ Stable	☐ Increasing

Are foreclosure sales (REO sales) a factor in the project? ☐ Yes ☐ No If yes, indicate the number of REO listings and explain the trends in listings and sales of foreclosed properties.

Summarize the above trends and address the impact on the subject unit and project.

APPRAISER

Signature	Signature
Appraiser Name Scott Hedrick	Supervisory Appraiser Name
Company Name Alpine Appraisal Services, Inc.	Company Name
Company Address PO Box 8781, Pueblo, CO 81008	Company Address
State License/Certification # CR40035528 State CO	State License/Certification # State
Email Address alpineappraisal1@gmail.com	Email Address

Form 1004MC2 - "TOTAL" appraisal software by a la mode, inc. - 1-800-ALAMODE

FHA/VA Case No. 053-2178236

MLS Data

Borrower	Belinda Renee Dixon						
Property Address	1925 E 9th St						
City	Pueblo	County	Pueblo	State	CO	Zip Code	81001
Lender/Client	Paramount Residential Mortgage Group, Inc						

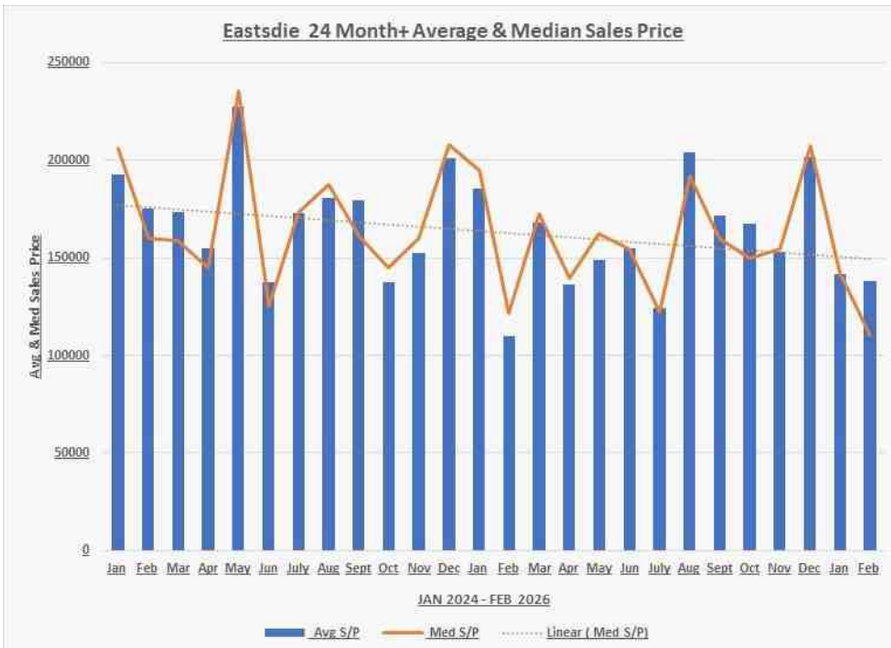

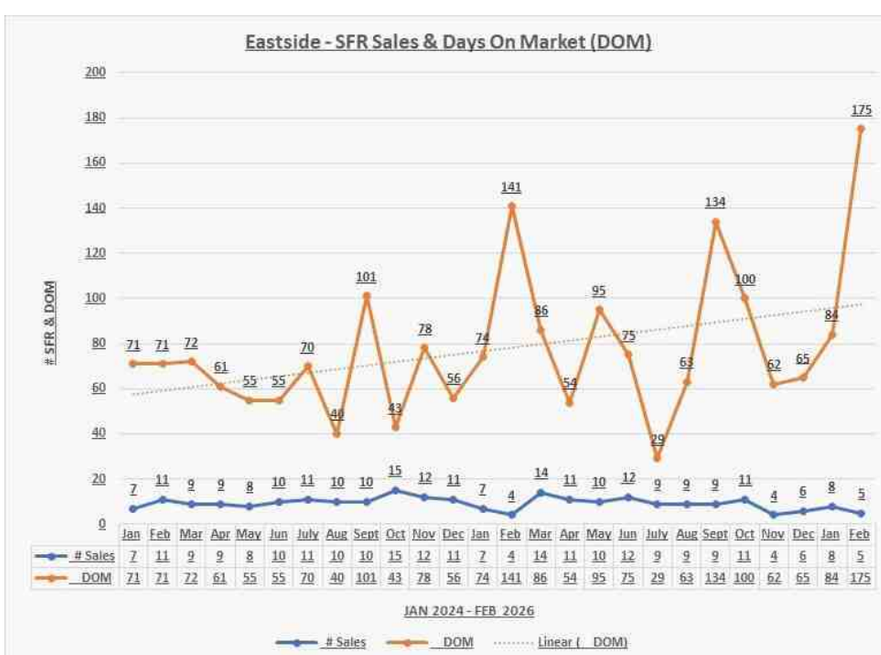

MLS DATA

14 Sold Listings

1 Under Contract Listings

11 Active Listings

2 Under Contract Still Showing Listings

Property Type

Single Family

Property Status

Active
Under Contract
Under Contract Still Showing
Under Contract-Kickout
UC Pending Short Sale Approval
Offer(s) Received
Sold

Sub Area

Eastside

Style

Ranch

Above Grade SqFt

Between 854 and 1280

How Built

Site Built

Sold Date

Between 03/27/2025 and 03/27/2026

Basement/Substructure

Partial Basement

FHA/VA Case No. 053-2178236

MLS DATA

Borrower	Belinda Renee Dixon						
Property Address	1925 E 9th St						
City	Pueblo	County	Pueblo	State	CO	Zip Code	81001
Lender/Client	Paramount Residential Mortgage Group, Inc						

Statistics on 114 Listings

Description	Low	High	Average	Median
List Price	$19,500	$355,000	$161,827	$159,700
Original List Price	$19,500	$475,000	$172,410	$169,950
Selling Price	$19,500	$325,000	$156,995	$158,250
Sold/List(%)	62.50%	122.22%	96.30%	99.58%
Price/SqFt ($)	$14.28	$306.37	$159.54	$162.74
Days on Market	12	360	99	76
Original Sold/List(%)	50.00%	122.22%	91.04%	95.80%
SqFt	440	3,032	1,059	966

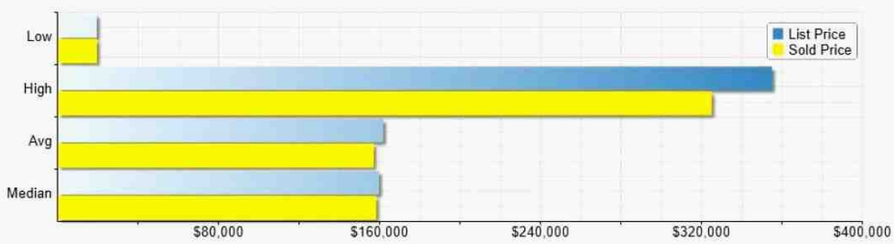

All SFR sales ; Eastside - 3/27/2025 - 3/27/2026

Statistics on 14 Listings

Description	Low	High	Average	Median
List Price	$75,000	$225,000	$166,650	$181,500
Original List Price	$75,000	$279,900	$175,964	$184,000
Selling Price	$67,500	$220,000	$162,204	$173,500
Sold/List(%)	87.21%	104.30%	96.59%	98.73%
Price/SqFt ($)	$55.79	$223.47	$154.57	$166.51
Days on Market	16	290	101	71
Original Sold/List(%)	78.60%	100.00%	92.38%	96.26%
SqFt	884	1,210	1,069	1,069

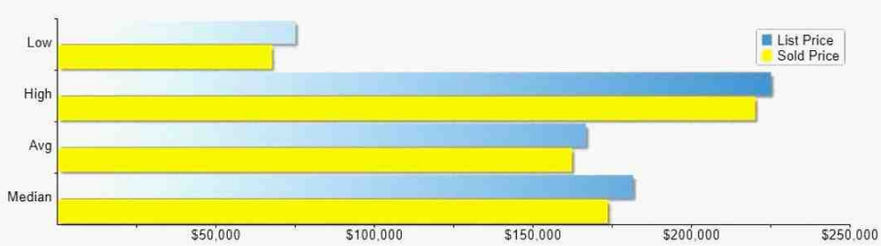

All SFR Ranch sales ; 854 - 1,280 sf ; Partial Bsmts ; Eastside - 3/27/2025 - 3/27/2026

Statistics on 14 Listings

Description	Low	High	Average	Median
List Price	$119,990	$265,000	$193,114	$199,450
Original List Price	$119,990	$265,000	$198,771	$209,500
Price/SqFt ($)	$122.44	$242.67	$186.15	$189.43
Days on Market	6	321	101	70
SqFt	868	1,266	1,043	1,056

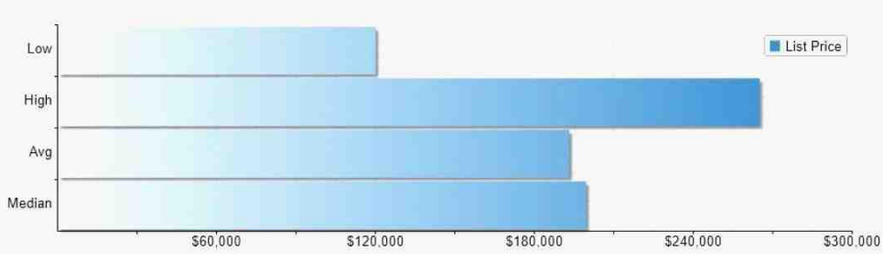

All SFR Active/Pending Ranch listings ; 854 - 1,280 sf ; Partial Bsmts ; Eastside

FHA/VA Case No. 053-2178236

BUILDING SKETCH

Borrower	Belinda Renee Dixon						
Property Address	1925 E 9th St						
City	Pueblo	County	Pueblo	State	CO	Zip Code	81001
Lender/Client	Paramount Residential Mortgage Group, Inc						

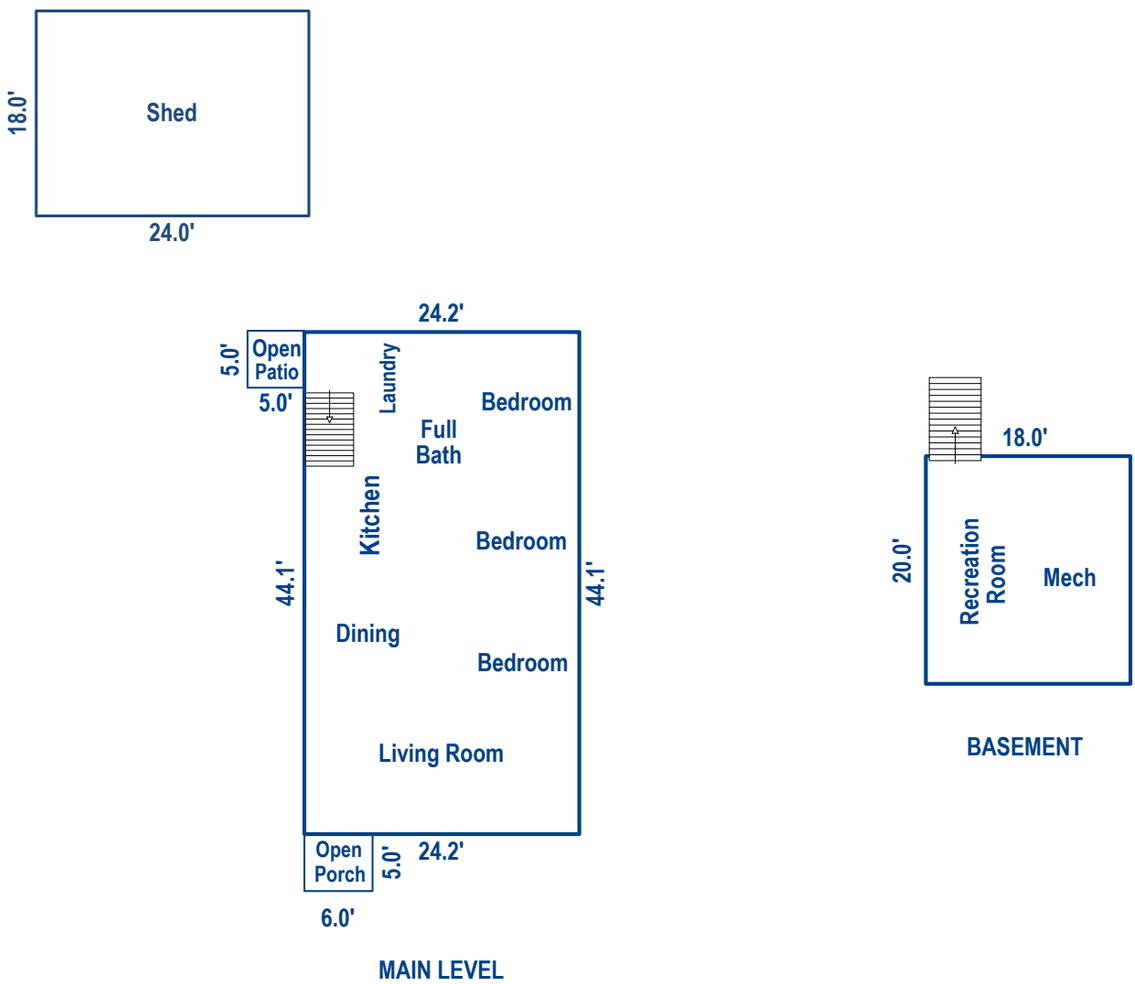

DIMENSIONS & PLACEMENTS APPROXIMATE

Sketch by ApexSketch

AREA CALCULATIONS SUMMARY

Code	Description	Factor	Net Size	Perimeter	Net Totals
GLA1	First Floor	1.0	1067.2	136.6	1067.2
BSMT	Finished BSMT	1.0	360.0	76.0	360.0
OTH	Shed	1.0	432.0	84.0	432.0
P/P	Porch	1.0	30.0	22.0	
	Patio	1.0	25.0	20.0	55.0
	Net LIVABLE	cnt	1	(rounded)	1,067

AREA CALCULATIONS BREAKDOWN

Name	Base x	Height x	Width =	Area
First Floor		44.1 x	24.2 =	1067.2
1 total items			(rounded)	1,067

© iLOOKABOUT (US) Inc. dba Apex Software

FHA/VA Case No. 053-2178236

SUBJECT PHOTOS

Borrower	Belinda Renee Dixon						
Property Address	1925 E 9th St						
City	Pueblo	County	Pueblo	State	CO	Zip Code	81001
Lender/Client	Paramount Residential Mortgage Group, Inc						

Subject Front

Subject Rear



Subject Side



Subject Side

Subject Street



Alley

FHA/VA Case No. 053-2178236

SUBJECT PHOTOS

Borrower	Belinda Renee Dixon						
Property Address	1925 E 9th St						
City	Pueblo	County	Pueblo	State	CO	Zip Code	81001
Lender/Client	Paramount Residential Mortgage Group, Inc						

Living Room

Kitchen

Dining

Bedroom

Bedroom

Bedroom

Bathroom

Laundry

Basement Recreation Room

Basement Storage

Mechanical

CO/Smoke Detector

FHA/VA Case No. 053-2178236

SUBJECT PHOTOS

Borrower	Belinda Renee Dixon						
Property Address	1925 E 9th St						
City	Pueblo	County	Pueblo	State	CO	Zip Code	81001
Lender/Client	Paramount Residential Mortgage Group, Inc						

Shed

Shed Side

Shed Interior

FHA/VA Case No. 053-2178236

COMPARABLE PHOTOS

Borrower	Belinda Renee Dixon						
Property Address	1925 E 9th St						
City	Pueblo	County	Pueblo	State	CO	Zip Code	81001
Lender/Client	Paramount Residential Mortgage Group, Inc						

Comparable 1

1601 E 10th St	
Prox. to Subject	0.39 miles W
Sales Price	210,000
Borrower	1,027
Client	5
Total Bedrooms	2
Total Bathrooms	1.0
Location	N;Res;Eastside
View	N;Res;
Site	6000 sf
Quality	Q4
Age	97

Comparable 2

1204 E 6th St	
Prox. to Subject	0.84 miles W
Sales Price	191,900
Gross Living Area	936
Total Rooms	5
Total Bedrooms	2
Total Bathrooms	1.1
Location	N;Res;Eastside
View	N;Res;
Site	6098 sf
Quality	Q4
Age	105

Comparable 3

1405 E Beech St	
Prox. to Subject	0.91 miles SW
Sales Price	186,900
Gross Living Area	1,100
Total Rooms	6
Total Bedrooms	3
Total Bathrooms	1.0
Location	N;Res;Eastside
View	N;Res;
Site	8799 sf
Quality	Q4
Age	76
Prev Appsl Photo	

FHA/VA Case No. 053-2178236

COMPARABLE PHOTOS

Borrower	Belinda Renee Dixon						
Property Address	1925 E 9th St						
City	Pueblo	County	Pueblo	State	CO	Zip Code	81001
Lender/Client	Paramount Residential Mortgage Group, Inc						

Comparable 4

2120 E 12th St

Prox. to Subject	0.28 miles NE
Sales Price	184,000
Borrower	1,190
Client	6
Total Bedrooms	3
Total Bathrooms	1.0
Location	N;Res;Eastside
View	N;Res;
Site	6000 sf
Quality	Q4
Age	74

Comparable 5

902 E 11th St

Prox. to Subject	1.07 miles W
Sales Price	199,900
Gross Living Area	868
Total Rooms	4
Total Bedrooms	2
Total Bathrooms	1.0
Location	N;Res;Eastside
View	N;Res;
Site	5760 sf
Quality	Q4
Age	120

Comparable 6

Prox. to Subject	
Sales Price	
Gross Living Area	
Total Rooms	
Total Bedrooms	
Total Bathrooms	
Location	
View	
Site	
Quality	
Age	

FHA/VA Case No. 053-2178236

COMPARABLE LOCATION MAP

Borrower	Belinda Renee Dixon						
Property Address	1925 E 9th St						
City	Pueblo	County	Pueblo	State	CO	Zip Code	81001
Lender/Client	Paramount Residential Mortgage Group, Inc						

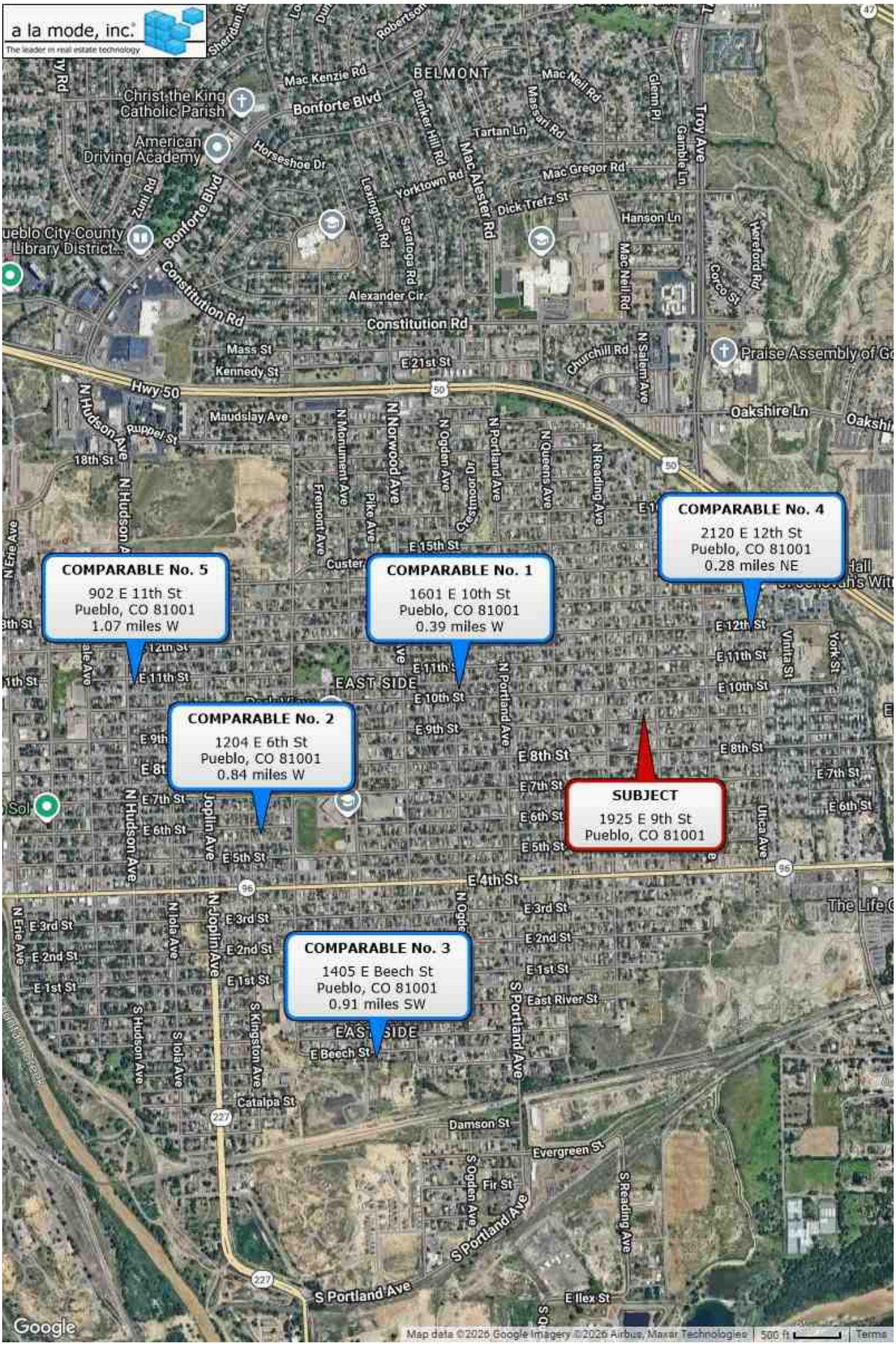

FHA/VA Case No. 053-2178236

ASSESSOR MAP

Borrower	Belinda Renee Dixon						
Property Address	1925 E 9th St						
City	Pueblo	County	Pueblo	State	CO	Zip Code	81001
Lender/Client	Paramount Residential Mortgage Group, Inc						

UNIFORM APPRAISAL DATASET (UAD) DEFINITIONS ADDENDUM

(Source: Fannie Mae UAD Appendix D: UAD Field-Specific Standardization Requirements)

Condition Ratings and Definitions

C1

The improvements have been recently constructed and have not been previously occupied. The entire structure and all components are new and the dwelling features no physical depreciation.

Note: Newly constructed improvements that feature recycled or previously used materials and/or components can be considered new dwellings provided that the dwelling is placed on a 100 percent new foundation and the recycled materials and the recycled components have been rehabilitated/remanufactured into like-new condition. Improvements that have not been previously occupied are not considered “new” if they have any significant physical depreciation (that is, newly constructed dwellings that have been vacant for an extended period of time without adequate maintenance or upkeep).

C2

The improvements feature no deferred maintenance, little or no physical depreciation, and require no repairs. Virtually all building components are new or have been recently repaired, refinished, or rehabilitated. All outdated components and finishes have been updated and/or replaced with components that meet current standards. Dwellings in this category are either almost new or have been recently completely renovated and are similar in condition to new construction.

Note: The improvements represent a relatively new property that is well maintained with no deferred maintenance and little or no physical depreciation, or an older property that has been recently completely renovated.

C3

The improvements are well maintained and feature limited physical depreciation due to normal wear and tear. Some components, but not every major building component, may be updated or recently rehabilitated. The structure has been well maintained.

Note: The improvement is in its first-cycle of replacing short-lived building components (appliances, floor coverings, HVAC, etc.) and is being well maintained. Its estimated effective age is less than its actual age. It also may reflect a property in which the majority of short-lived building components have been replaced but not to the level of a complete renovation.

C4

The improvements feature some minor deferred maintenance and physical deterioration due to normal wear and tear. The dwelling has been adequately maintained and requires only minimal repairs to building components/mechanical systems and cosmetic repairs. All major building components have been adequately maintained and are functionally adequate.

Note: The estimated effective age may be close to or equal to its actual age. It reflects a property in which some of the short-lived building components have been replaced, and some short-lived building components are at or near the end of their physical life expectancy; however, they still function adequately. Most minor repairs have been addressed on an ongoing basis resulting in an adequately maintained property.

C5

The improvements feature obvious deferred maintenance and are in need of some significant repairs. Some building components need repairs, rehabilitation, or updating. The functional utility and overall livability is somewhat diminished due to condition, but the dwelling remains useable and functional as a residence.

Note: Some significant repairs are needed to the improvements due to the lack of adequate maintenance. It reflects a property in which many of its short-lived building components are at the end of or have exceeded their physical life expectancy but remain functional.

C6

The improvements have substantial damage or deferred maintenance with deficiencies or defects that are severe enough to affect the safety, soundness, or structural integrity of the improvements. The improvements are in need of substantial repairs and rehabilitation, including many or most major components.

Note: Substantial repairs are needed to the improvements due to the lack of adequate maintenance or property damage. It reflects a property with conditions severe enough to affect the safety, soundness, or structural integrity of the improvements.

Quality Ratings and Definitions

Q1

Dwellings with this quality rating are usually unique structures that are individually designed by an architect for a specified user. Such residences typically are constructed from detailed architectural plans and specifications and feature an exceptionally high level of workmanship and exceptionally high-grade materials throughout the interior and exterior of the structure. The design features exceptionally high-quality exterior refinements and ornamentation, and exceptionally high-quality interior refinements. The workmanship, materials, and finishes throughout the dwelling are of exceptionally high quality.

Q2

Dwellings with this quality rating are often custom designed for construction on an individual property owner’s site. However, dwellings in this quality grade are also found in high-quality tract developments featuring residence constructed from individual plans or from highly modified or upgraded plans. The design features detailed, high quality exterior ornamentation, high-quality interior refinements, and detail. The workmanship, materials, and finishes throughout the dwelling are generally of high or very high quality.

UNIFORM APPRAISAL DATASET (UAD) DEFINITIONS ADDENDUM

(Source: Fannie Mae UAD Appendix D: UAD Field-Specific Standardization Requirements)

Quality Ratings and Definitions (continued)

Q3

Dwellings with this quality rating are residences of higher quality built from individual or readily available designer plans in above-standard residential tract developments or on an individual property owner's site. The design includes significant exterior ornamentation and interiors that are well finished. The workmanship exceeds acceptable standards and many materials and finishes throughout the dwelling have been upgraded from "stock" standards.

Q4

Dwellings with this quality rating meet or exceed the requirements of applicable building codes. Standard or modified standard building plans are utilized and the design includes adequate fenestration and some exterior ornamentation and interior refinements. Materials, workmanship, finish, and equipment are of stock or builder grade and may feature some upgrades.

Q5

Dwellings with this quality rating feature economy of construction and basic functionality as main considerations. Such dwellings feature a plain design using readily available or basic floor plans featuring minimal fenestration and basic finishes with minimal exterior ornamentation and limited interior detail. These dwellings meet minimum building codes and are constructed with inexpensive, stock materials with limited refinements and upgrades.

Q6

Dwellings with this quality rating are of basic quality and lower cost; some may not be suitable for year-round occupancy. Such dwellings are often built with simple plans or without plans, often utilizing the lowest quality building materials. Such dwellings are often built or expanded by persons who are professionally unskilled or possess only minimal construction skills. Electrical, plumbing, and other mechanical systems and equipment may be minimal or non-existent. Older dwellings may feature one or more substandard or non-conforming additions to the original structure

Definitions of Not Updated, Updated, and Remodeled

Not Updated

Little or no updating or modernization. This description includes, but is not limited to, new homes.

Residential properties of fifteen years of age or less often reflect an original condition with no updating, if no major components have been replaced or updated. Those over fifteen years of age are also considered not updated if the appliances, fixtures, and finishes are predominantly dated. An area that is 'Not Updated' may still be well maintained and fully functional, and this rating does not necessarily imply deferred maintenance or physical/functional deterioration.

Updated

The area of the home has been modified to meet current market expectations. These modifications are limited in terms of both scope and cost.

An updated area of the home should have an improved look and feel, or functional utility. Changes that constitute updates include refurbishment and/or replacing components to meet existing market expectations. Updates do not include significant alterations to the existing structure.

Remodeled

Significant finish and/or structural changes have been made that increase utility and appeal through complete replacement and/or expansion.

A remodeled area reflects fundamental changes that include multiple alterations. These alterations may include some or all of the following: replacement of a major component (cabinet(s), bathtub, or bathroom tile), relocation of plumbing/gas fixtures/appliances, significant structural alterations (relocating walls, and/or the addition of) square footage). This would include a complete gutting and rebuild.

Explanation of Bathroom Count

Three-quarter baths are counted as a full bath in all cases. Quarter baths (baths that feature only a toilet) are not included in the bathroom count. The number of full and half baths is reported by separating the two values using a period, where the full bath count is represented to the left of the period and the half bath count is represented to the right of the period.

Example:
3.2 indicates three full baths and two half baths.

UNIFORM APPRAISAL DATASET (UAD) DEFINITIONS ADDENDUM

(Source: Fannie Mae UAD Appendix D: UAD Field-Specific Standardization Requirements)

Abbreviations Used in Data Standardization Text

Abbreviation	Full Name	Fields Where This Abbreviation May Appear
A	Adverse	Location & View
ac	Acres	Area, Site
AdjPrk	Adjacent to Park	Location
AdjPwr	Adjacent to Power Lines	Location
ArmLth	Arms Length Sale	Sale or Financing Concessions
AT	Attached Structure	Design (Style)
B	Beneficial	Location & View
ba	Bathroom(s)	Basement & Finished Rooms Below Grade
br	Bedroom	Basement & Finished Rooms Below Grade
BsyRd	Busy Road	Location
c	Contracted Date	Date of Sale/Time
Cash	Cash	Sale or Financing Concessions
Comm	Commercial Influence	Location
Conv	Conventional	Sale or Financing Concessions
cp	Carport	Garage/Carport
CrtOrd	Court Ordered Sale	Sale or Financing Concessions
CtySky	City View Skyline View	View
CtyStr	City Street View	View
cv	Covered	Garage/Carport
DOM	Days On Market	Data Sources
DT	Detached Structure	Design (Style)
dw	Driveway	Garage/Carport
e	Expiration Date	Date of Sale/Time
Estate	Estate Sale	Sale or Financing Concessions
FHA	Federal Housing Authority	Sale or Financing Concessions
g	Garage	Garage/Carport
ga	Attached Garage	Garage/Carport
gbi	Built-in Garage	Garage/Carport
gd	Detached Garage	Garage/Carport
GlfCse	Golf Course	Location
Glfvw	Golf Course View	View
GR	Garden	Design (Style)
HR	High Rise	Design (Style)
in	Interior Only Stairs	Basement & Finished Rooms Below Grade
Ind	Industrial	Location & View
Listing	Listing	Sale or Financing Concessions
Lndfl	Landfill	Location
LtdSght	Limited Sight	View
MR	Mid-rise	Design (Style)
Mtn	Mountain View	View
N	Neutral	Location & View
NonArm	Non-Arms Length Sale	Sale or Financing Concessions
o	Other	Basement & Finished Rooms Below Grade
O	Other	Design (Style)
op	Open	Garage/Carport
Prk	Park View	View
Pstrl	Pastoral View	View
PwrLn	Power Lines	View
PubTrn	Public Transportation	Location
Relo	Relocation Sale	Sale or Financing Concessions
REO	REO Sale	Sale or Financing Concessions
Res	Residential	Location & View
RH	USDA - Rural Housing	Sale or Financing Concessions
rr	Recreational (Rec) Room	Basement & Finished Rooms Below Grade
RT	Row or Townhouse	Design (Style)
s	Settlement Date	Date of Sale/Time
SD	Semi-detached Structure	Design (Style)
Short	Short Sale	Sale or Financing Concessions
sf	Square Feet	Area, Site, Basement
sqm	Square Meters	Area, Site
Unk	Unknown	Date of Sale/Time
VA	Veterans Administration	Sale or Financing Concessions
w	Withdrawn Date	Date of Sale/Time
wo	Walk Out Basement	Basement & Finished Rooms Below Grade
Woods	Woods View	View
Wtr	Water View	View
WtrFr	Water Frontage	Location
wu	Walk Up Basement	Basement & Finished Rooms Below Grade
OLP	Original List Price	Sales Comparison Grid

APPRAISER LICENSE

Scott Hedrick
Colorado Certified Residential Real Estate Appraiser
P.O. Box 8781, Pueblo, CO 81008
719.544.7178
alpineappraisal1@gmail.com

Appraisal Licensing

- VA Roster Appraiser – 12/15/2012 to Present
- FHA Roster Appraiser – 6/21/2007 to Present
- Certified Residential Appraiser - 2/1/2011 to Present
- Licensed Appraiser Colorado – 10/31/2005 to 2/1/2011
- Registered Appraiser Colorado – 4/1/2003 to 10/31/2005
- Appraisal Assistant – 7/1/2000 to 4/1/2003

Education

- VA Appraisal Requirements
- Residential Property Inspection for Appraisers
- New URAR 3.6
- Supporting Sales Comparison Adjustments
- Appraising Complex Properties
- The New FHA Handbook 4000.1
- Advanced Residential Applications & Case Studies
- Residential Report Writing & Case Studies
- Appraisal Statistics, Modeling, & Finance
- Residential Market Analysis & Highest Best Use
- Residential Sales Comparison & Cost Approach
- Residential Property Inspection for Appraisers
- Understanding Residential Construction
- FHA Appraisal Forms & Guidelines
- Appraising Residential REO Properties 1-4 Units
- Appraising Manufactured Homes
- Perfecting the URAR FNMA Form 1004
- Residential Site Valuation & Cost Approach
- Residential Appraisal Mastery
- 2000-2025 USPAP Ethics Class - 7 Hr Updates
- Appraisal 101
- University of Southern Colorado (Colorado State University-Pueblo)
  Bachelors of Science in Automotive Industry Management/Business Minor

Appraisal Employment

- Alpine Appraisal Services, Inc. – 1/1/2006 to Present
  P.O. Box 8781, Pueblo, CO 81008
  Owner/Operator/Senior Appraiser
- Appraisal Station, Inc. – 7/1/2000 to 12/31/2005
  421 N. Main Street, Pueblo, CO 81003
  Staff Appraiser

Scott Gregory Hedrick
PO Box 8781
Pueblo, CO 81008

State of Colorado
Department of Regulatory Agencies
Division of Real Estate

Board of Real Estate Appraisers

Scott Gregory Hedrick

Certified Residential Appraiser

COPY

Marcia Waters
Director: Marcia Waters

License #: CR40035528
Status: Active
Expires: 12/31/2027